BUTLLETÍ DEL PERILL D'ALLAUS DEL PRINCIPAT D'ANDORRA

Servei meteorològic nacional
Principat d'Andorra

Prepared on 19/02/2026 16:00
Next update 20/02/2026 at 16 am

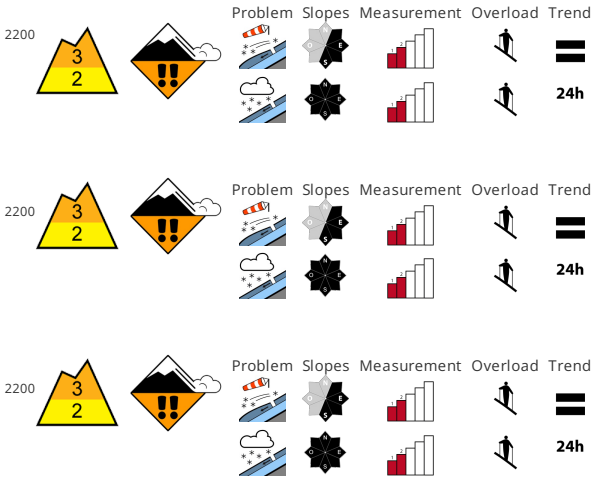

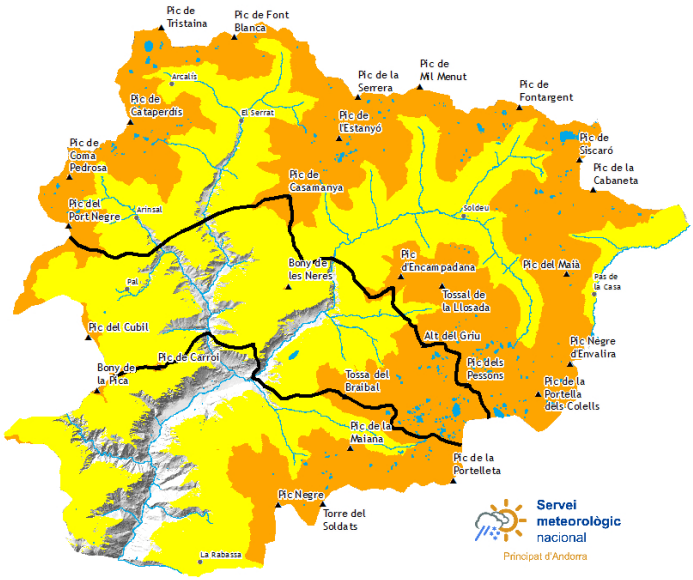

SNOW QUALITY

The fresh snow and in particular the sometimes deep wind slabs can be released easily, or, in isolated cases naturally on northeast to east to south facing aspects above approximately 2200 m. They will become increasingly prone to triggering. Northeast, east and southeast facing slopes where weaknesses exist in the old snowpack are especially dangerous. In addition the new snow-covered wind slabs must be taken into account. As a consequence of warming during the day and solar radiation only isolated small moist snow slides are to be expected. This applies in particular at the base of rock walls , as well as in steep rocky terrain.

STABILITY OF THE SNOW MANTLE

10 cm of snow, and even more in some localities, fell in the past few hours above approximately 2000 m. Snow depths vary greatly above approximately 2500 m , depending on the infuence of the wind. More recent wind slabs are lying on a crust.

OFF-PISTE SNOW COVER THICKNESSES

North zone		Snow thickness		
Snowpack		1500m	2000m	2500m
N	1300 m	30 cm	150 cm	200 cm
S	1500 m	0 cm	100 cm	150 cm

Center area		Snow thickness		
Snowpack		1500m	2000m	2500m
N	1300 m	20 cm	150 cm	200 cm
S	1500 m	0 cm	100 cm	150 cm

South zone		Snow thickness		
Snowpack		1500m	2000m	2500m
N	1300 m	20 cm	120 cm	150 cm
S	1500 m	0 cm	60 cm	100 cm

Govern d'Andorra

EAWS
EUROPEAN AVALANCHE WARNING SERVICES

Aquest butlletí ha estat elaborat seguint les normes i recomanacions de l'**European Avalanche Warning Services**, del qual el **Servei meteorològic Nacional** n'és membre

Detailed information for protected areas

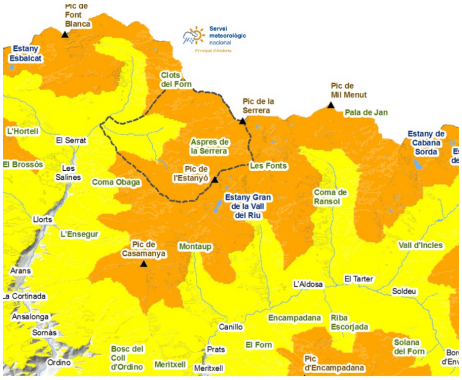

SORTENY

This Thursday's snowfall has added a few centimeters to low elevations above the ice crust. More snow has accumulated at high altitudes, which will make the hikes more pleasant, especially below the forest line. At altitude the snow will be more windy. We find snow on all the roads from Llorts and access with skis to the Refuge can be done as it has not been seen for so many weeks in a row for years. We will have to follow the recommendations of the stability of the snow cover to avoid putting ourselves in danger on the eastern slopes. Towards the weekend, with the increase in temperatures, wet snow problems will appear on the southern slopes.

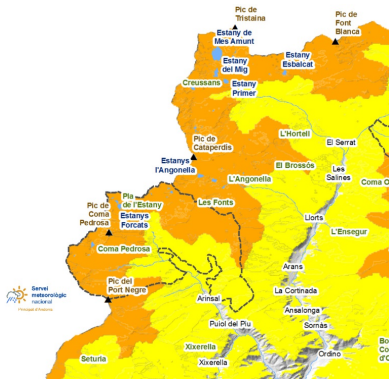

COMAPEDROSA

At low altitudes the snow has compacted and reduced its thickness due to the humidification caused by the recent rains. Above this crust, however, there is some new snow. Inside the forest it will be less abundant and we will have to be careful not to slip, but in the clearings and in the higher parts the ice will isolate. On the east-facing slopes, such as the access from Arinsal via Port Negre (Sanfons), we will have to take extreme precautions or avoid them in order not to trigger the wind plates formed in recent days. As early as Friday, some snow showers or small avalanches of wet snow may fall on the steeper southern slopes, a problem that will increase during the weekend.

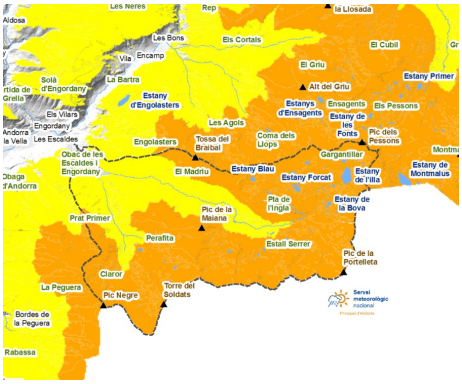

MADRIU-PERAFITA-CLAROR

The eastern slopes must be driven with great caution, as this is where the most important and dangerous accumulations of blown snow are. At high altitudes the wind will have left the hard snow exposed and with difficult conditions to descend on some occasions.

BUTLLETÍ DEL PERILL D'ALLAUS DEL PRINCIPAT D'ANDORRA

Servei meteorològic nacional
Principat d'Andorra

Thick snow in recent days (last 24 hours measured at 06:00 UTC)

	15/02/2026	16/02/2026	17/02/2026	18/02/2026
FEDA (Central)	0 cm	0 cm	0 cm	0 cm
Engolasters - FEDA	0 cm	0 cm	0 cm	0 cm
Bony de les Neres	0 cm	0 cm	0 cm	0 cm
Sorteny	2 cm	6 cm	0 cm	3 cm
Perafita	0 cm	0 cm	0 cm	0 cm
Tossa Espiolets	0 cm	0 cm	0 cm	1 cm
Grau Roig - FEDA	0 cm	0 cm	0 cm	3 cm
Fontverd	0 cm	0 cm	0 cm	3 cm
Ransol - FEDA	0 cm	0 cm	2 cm	0 cm
Setúria	0 cm	0 cm	0 cm	2 cm
Caborreu	4 cm	6 cm	0 cm	0 cm
La Solana	0 cm	0 cm	0 cm	6 cm
Envalira Antenes	0 cm	0 cm	3 cm	2 cm