MINISTERO DELLA DIFESA

meteomont Servizio Nazionale di previsione neve e valanghe

EAWS EUROPEAN AVALANCHE WARNING SERVICES

CARABINIERI

In collaborazione con: arpav

# PREALPI

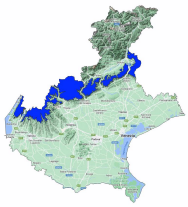

Avalanche Bulletin N. 346/2026 issued at 14:00 on 18/02/2026
48 hours validity. Next issue on 19/02/2026

**By the METEOMONT Service of the ARMA dei CARABINIERI ITALY**
**In collaboration with Air Force Meteorological Service**

## Situation on 18/02/2026

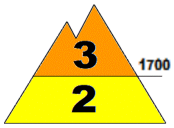


**DANGER PATTERNS: loose snow and wind.**

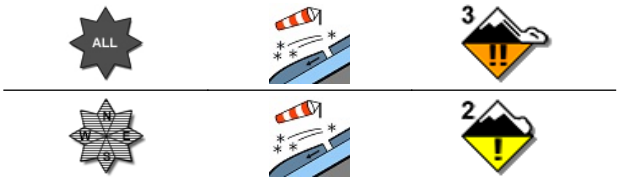


**DANGER PATTERNS: loose snow and wind.**

| Snow line (m.a.s.l.) | North | South |
|---|---|---|
| | 1000 - 1200 | 1400 |

| Snow depth (cm) | ground snow | new snow | Elevation (m.a.s.l.) |
|---|---|---|---|
| | 65 | 00 | 2236 |
| | 111 | 000 | 1488 |

**REGISTERED AVALANCHES: Small avalanches, Both types of surface avalanches.**

## FORECAST 19/02/2026

# Danger level: CONSIDERABLE 3

## DANGER PATTERNS: loose snow and wind.




## DANGER PATTERNS: loose snow and wind.

**SNOWPACK: Snowpack stability is very poor on many points (areas) above 1700 m.a.s.l. All aspects are critical. medium avalanches are possible.**
**Snowpack stability is poor on few points (areas) below 1700 m.a.s.l. All aspects are critical. Medium avalanches are possible.**

## WARNING

Due to observed wind activity, avoid accumulation zones, bowls, gullies, irregular slopes and leeward slopes in general.

## EUROPEAN AVALANCHE WARNING SERVICE

## AVALANCHE PROBLEMS

According to EAWS standards Meteomont bulletin is a synoptic-scale system (regional scale). It shall be the user's responsibility to correlate the danger level evaluation of the bulletin with a detailed and expertise analysis of the zonal hazards (single slope), that could be markedly different. Meteorological forecast are issued at UTC (for Italy: in winter time UTC+1: in summer time UTC+2).

Bulletin is subjected to check processes through: the record of Observers and Avalanches and snow Experts data in C-Sifa; the validation by forecasters; the certification by Meteomont Section.

MINISTERO DELLA DIFESA

meteomont
Servizio Nazionale di previsione neve e valanghe

EAWS EUROPEAN AVALANCHE WARNING SERVICES

CARABINIERI

In collaborazione con: arpav

# PREALPI

## WEATHER FORECAST FOR

| Elevation | | 19/02/2026 h6:00 | 19/02/2026 h12:00 | 19/02/2026 h18:00 |
|---|---|---|---|---|
| 1000 | Wind | 03 Knots from N-East | 01 Knots from North | 02 Knots from N-East |
| | Temperatures | -01 °C | +00 °C | +01 °C |
| | Wind chill | -3 °C | 0 °C | 1 °C |
| 2000 | Wind | 10 Knots from South | 03 Knots from S-East | 07 Knots from North |
| | Temperatures | -02 °C | -04 °C | -02 °C |
| | Wind chill | -8 °C | -6 °C | -6 °C |
| 3000 | Wind | 21 Knots from South | 06 Knots from South | 16 Knots from North |
| | Temperatures | -06 °C | -09 °C | -09 °C |
| | Wind chill | -15 °C | -14 °C | -18 °C |
| Freezing level | | 0800-1000 m. | 0900-1100 m. | 1500-1700 m. |
| Atmospheric phenomenon | | | | |
| Keys to sky condition | | | | |

## KEYS TO ATMOSPHERIC PHENOMENON

Absence of adverse weather phenomena · Fog · Mist · Light rain · Moderate rain · Heavy rain · Thunderstorm · Weak snowfall · Moderate snowfall · Heavy snowfall

## KEYS TO SKY CONDITION

Clear · Partly cloudy · Cloudy · Mostly cloudy · Overcast

## Weather and snow data recorded during field and out of field obsevations on 18/02/2026.

| Observation field | District | Elevation (m.a.s.l.) | Snow depth (cm) | Snowfall in previous 24 hours (cm) | Temp. Min (°C) | Temp. Max (°C) | General weather conditions |
|---|---|---|---|---|---|---|---|
| MONTE BALDO | Malcesine (VR) | 1828 | 105 | 0 | N.P. | N.P. | Absence of rain or other precipitation |
| PIAN CANTON | Tambre (BL) | 1280 | 16 | 0 | -4 | +7 | Absence of rain or other precipitation |
| MONTE GUSLON * | Chies d'Alpago (BL) | 2236 | 65 | 0 | N.P. | N.P. | Absence of rain or other precipitation |
| SENGIO ALTO - MALGA BOVENTAL * | Vallarsa (TN) | 1488 | 111 | 0 | N.P. | N.P. | Absence of rain or other precipitation |

(*) Out of field survey

**INFORMATION MEANS PREVENTION - SCAN QRCODE TO KNOW DAILY AVALANCHE DANGER LEVEL!**

**IL CAPO DEL CENTRO NAZIONALE METEOMONT**
**(Ten. Col. RFI Emanuela Gini)**
**FIRMA AUTOGRAFA OMESSA AI SENSI**
**DELL'ART.3 DEL D.LGS N.39/1993**

According to EAWS standards Meteomont bulletin is a synoptic-scale system (regional scale). It shall be the user's responsibility to correlate the danger level evaluation of the bulletin with a detailed and expertise analysis of the zonal hazards (single slope), that could be markedly different. Meteorological forecast are issued at UTC (for Italy: in winter time UTC+1: in summer time UTC+2).

Bulletin is subjected to check processes through: the record of Observers and Avalanches and snow Experts data in C-Sifa; the validation by forecasters; the certification by Meteomont Section.