MINISTERO DELLA DIFESA

meteomont Servizio Nazionale di previsione neve e valanghe

EAWS EUROPEAN AVALANCHE WARNING SERVICES

CARABINIERI

In collaborazione con: arpav

# PREALPI

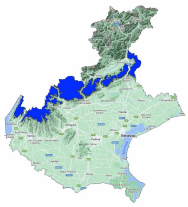

Avalanche Bulletin N. 347/2026 issued at 14:00 on 19/02/2026
48 hours validity. Next issue on 20/02/2026

**By the METEOMONT Service of the ARMA dei CARABINIERI ITALY**
**In collaboration with Air Force Meteorological Service**

## Situation on 19/02/2026

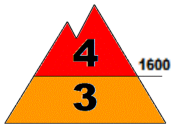


**DANGER PATTERNS: loose snow and wind.**

**DANGER PATTERNS: loose snow and wind.**

| Snow line (m.a.s.l.) | North | South |
|---|---|---|
| | 600 | 600 |

| Snow depth (cm) | ground snow | new snow | Elevation (m.a.s.l.) |
|---|---|---|---|
| | 103 | 13 | 1828 |
| | 93 | 10 | 1460 |

**REGISTERED AVALANCHES: No avalanches detected.**

## FORECAST 20/02/2026

# Danger level: HIGH 4

## DANGER PATTERNS: loose snow and wind.

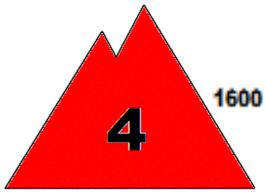


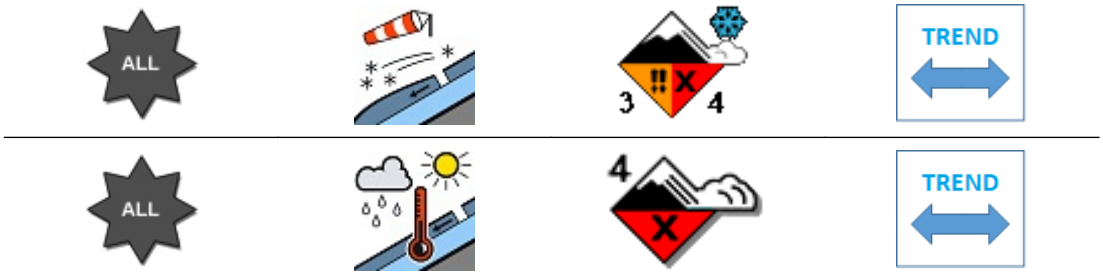


## DANGER PATTERNS: rain on snow.

**SNOWPACK: Snowpack stability is very poor on many points (areas) above 1600 m.a.s.l. All aspects are critical. large avalanches are possible.**
**Snowpack stability is very poor on many points (areas) below 1600 m.a.s.l. All aspects are critical. Large avalanches are possible.**

## WARNING

Due to new snow,careful route choice and an excellent evaluation of snowpack stability is required.

## EUROPEAN AVALANCHE WARNING SERVICE

## AVALANCHE PROBLEMS

According to EAWS standards Meteomont bulletin is a synoptic-scale system (regional scale). It shall be the user's responsibility to correlate the danger level evaluation of the bulletin with a detailed and expertise analysis of the zonal hazards (single slope), that could be markedly different. Meteorological forecast are issued at UTC (for Italy: in winter time UTC+1: in summer time UTC+2).

Bulletin is subjected to check processes through: the record of Observers and Avalanches and snow Experts data in C-Sifa; the validation by forecasters; the certification by Meteomont Section.

MINISTERO DELLA DIFESA

meteomont
Servizio Nazionale di previsione neve e valanghe

EAWS EUROPEAN AVALANCHE WARNING SERVICES

CARABINIERI

In collaborazione con: arpav

# PREALPI

## WEATHER FORECAST FOR

| Elevation | | 20/02/2026 h6:00 | 20/02/2026 h12:00 | 20/02/2026 h18:00 |
|---|---|---|---|---|
| 1000 | Wind | 03 Knots from N-East | 03 Knots from N-East | 04 Knots from N-East |
| | Temperatures | +01 °C | +03 °C | +02 °C |
| | Wind chill | -1 °C | 2 °C | -0 °C |
| 2000 | Wind | 16 Knots from North | 13 Knots from North | 12 Knots from North |
| | Temperatures | -02 °C | -01 °C | +01 °C |
| | Wind chill | -9 °C | -7 °C | -4 °C |
| 3000 | Wind | 17 Knots from North | 20 Knots from N-East | 15 Knots from North |
| | Temperatures | -06 °C | -07 °C | -05 °C |
| | Wind chill | -14 °C | -16 °C | -13 °C |
| Freezing level | | 1400-1600 m. | 1600-1800 m. | 2000-2200 m. |
| Atmospheric phenomenon | | — | — | — |
| Keys to sky condition | | | | |

## KEYS TO ATMOSPHERIC PHENOMENON

— Absence of adverse weather phenomena
Fog
Mist
Light rain
Moderate rain
Heavy rain
Thunderstorm
Weak snowfall
Moderate snowfall
Heavy snowfall

## KEYS TO SKY CONDITION

Clear
Partly cloudy
Cloudy
Mostly cloudy
Overcast

## Weather and snow data recorded during field and out of field obsevations on 19/02/2026.

| Observation field | District | Elevation (m.a.s.l.) | Snow depth (cm) | Snowfall in previous 24 hours (cm) | Temp. Min (°C) | Temp. Max (°C) | General weather conditions |
|---|---|---|---|---|---|---|---|
| PIAN CANSIGLIO | Tambre (BL) | 1025 | 19 | 6 | N.P. | N.P. | Heavy snow |
| GALLIO - BUSA FONDA | Gallio (VI) | 1460 | 93 | 10 | N.P. | N.P. | Moderate snow |
| PIAN CANTON | Tambre (BL) | 1280 | 24 | 5 | N.P. | N.P. | Heavy or moderate rain and snow or drizzle |
| VALON DI MALERA * | Bosco Chiesanuova (VR) | 1685 | 127 | 25 | N.P. | N.P. | Heavy snow |
| SAN GIORGIO * | Bosco Chiesanuova (VR) | 1625 | 140 | 3 | N.P. | N.P. | Moderate snow |

(*) Out of field survey

**INFORMATION MEANS PREVENTION - SCAN QRCODE TO KNOW DAILY AVALANCHE DANGER LEVEL!**

**IL CAPO DEL CENTRO NAZIONALE METEOMONT**
**(Ten. Col. RFI Emanuela Gini)**
**FIRMA AUTOGRAFA OMESSA AI SENSI**
**DELL'ART.3 DEL D.LGS N.39/1993**

According to EAWS standards Meteomont bulletin is a synoptic-scale system (regional scale). It shall be the user's responsibility to correlate the danger level evaluation of the bulletin with a detailed and expertise analysis of the zonal hazards (single slope), that could be markedly different. Meteorological forecast are issued at UTC (for Italy: in winter time UTC+1: in summer time UTC+2).

Bulletin is subjected to check processes through: the record of Observers and Avalanches and snow Experts data in C-Sifa; the validation by forecasters; the certification by Meteomont Section.