MINISTERO DELLA DIFESA

meteomont
Servizio Nazionale di previsione neve e valanghe

EAWS EUROPEAN AVALANCHE WARNING SERVICES

CARABINIERI

ALPI RETICHE

Avalanche Bulletin N. 351/2026 issued at 14:00 on 18/02/2026
48 hours validity. Next issue on 19/02/2026

By the METEOMONT Service of the ARMA dei CARABINIERI ITALY
In collaboration with Air Force Meteorological Service

Situation on 18/02/2026

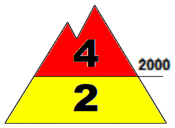

DANGER PATTERNS: loose snow and wind.



DANGER PATTERNS: deep persistent weak layer.

Snow line (m.a.s.l.)	North	South
	900 - 1000	1200 - 1500

Snow depth (cm)	ground snow	new snow	Elevation (m.a.s.l.)
	127	20	2407
	058	0	1640

REGISTERED AVALANCHES: Several very large avalanches, Both types of ground avalanches.

FORECAST 19/02/2026

Danger level: HIGH 4

DANGER PATTERNS: loose snow and wind.

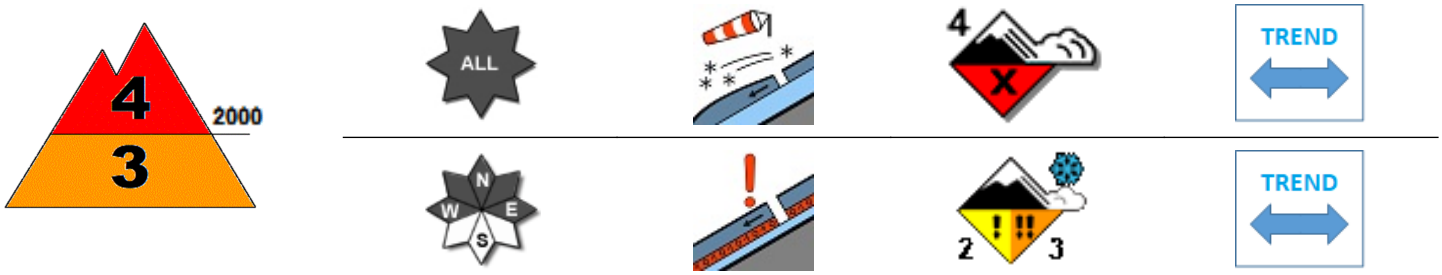

DANGER PATTERNS: deep persistent weak layer.

SNOWPACK: Snowpack stability is very poor on many points (areas) above 2000 m.a.s.l. All aspects are critical. large avalanches are possible.
Snowpack stability is poor on many points (areas) below 2000 m.a.s.l. All From west to east-facing slopes are critical. Medium avalanches are possible.

WARNING

Due to severe weather conditions forecast, do not attempt to practice outdoor activities beyond the maintained and marked tracks are not advised.

EUROPEAN AVALANCHE WARNING SERVICE

AVALANCHE PROBLEMS

According to EAWS standards Meteomont bulletin is a synoptic-scale system (regional scale). It shall be the user's responsibility to correlate the danger level evaluation of the bulletin with a detailed and expertise analysis of the zonal hazards (single slope), that could be markedly different. Meteorological forecast are issued at UTC (for Italy: in winter time UTC+1: in summer time UTC+2).

Bulletin is subjected to check processes through: the record of Observers and Avalanches and snow Experts data in C-Sifa; the validation by forecasters; the certification by Meteomont Section.

MINISTERO DELLA DIFESA

meteomont
Servizio Nazionale di previsione neve e valanghe

EAWS EUROPEAN AVALANCHE WARNING SERVICES

CARABINIERI

ALPI RETICHE

WEATHER FORECAST FOR

Elevation		19/02/2026 h6:00	19/02/2026 h12:00	19/02/2026 h18:00
1000	Wind	02 Knots from N-East	01 Knots from N-West	02 Knots from N-West
	Temperatures	-05 °C	-03 °C	-02 °C
	Wind chill	-5 °C	-3 °C	-2 °C
2000	Wind	02 Knots from N-East	01 Knots from N-West	02 Knots from N-West
	Temperatures	-05 °C	-03 °C	-02 °C
	Wind chill	-5 °C	-3 °C	-2 °C
3000	Wind	10 Knots from South	10 Knots from North	13 Knots from North
	Temperatures	-09 °C	-10 °C	-10 °C
	Wind chill	-16 °C	-18 °C	-19 °C
Freezing level		1100-1300 m.	1500-1700 m.	1600-1800 m.
Atmospheric phenomenon				—
Keys to sky condition				

KEYS TO ATMOSPHERIC PHENOMENON

— Absence of adverse weather phenomena
Fog
Mist
Light rain
Moderate rain
Heavy rain
Thunderstorm
Weak snowfall
Moderate snowfall
Heavy snowfall

KEYS TO SKY CONDITION

Clear
Partly cloudy
Cloudy
Mostly cloudy
Overcast

Weather and snow data recorded during field and out of field obsevations on 18/02/2026.

Observation field	District	Elevation (m.a.s.l.)	Snow depth (cm)	Snowfall in previous 24 hours (cm)	Temp. Min (°C)	Temp. Max (°C)	General weather conditions
SPONDA	Livigno (SO)	2150	83	0	-15	+1	Absence of rain or other precipitation
BORMIO2000-LECCIONA	Valdisotto (SO)	2050	68	1	-10	-3	Absence of rain or other precipitation
VALAR	Valdidentro (SO)	1930	76	9	-15	+0	Absence of rain or other precipitation
DOSSO DEL VALLONE	Valfurva (SO)	2582	70	6	N.P.	N.P.	Absence of rain or other precipitation
COREN DI CASPOI *	Vezza d'Oglio (BS)	1815	24	6	N.P.	N.P.	Absence of rain or other precipitation
ALPE PALU'	Chiesa in Valmalenco (SO)	2010	79	4	-11	-1	Absence of rain or other precipitation
COLONIA VIGILI	Ponte di Legno (BS)	1640	58	Snow traces	-9	0	Absence of rain or other precipitation
PARÉ DI LIVIGNO *	Livigno (SO)	2113	87	20	N.P.	N.P.	Absence of rain or other precipitation
COSTACCIA *	Livigno (SO)	2407	127	20	N.P.	N.P.	Absence of rain or other precipitation

(*) Out of field survey

INFORMATION MEANS PREVENTION - SCAN QRCODE TO KNOW DAILY AVALANCHE DANGER LEVEL!

IL CAPO DEL CENTRO NAZIONALE METEOMONT
(Ten. Col. RFI Emanuela Gini)
FIRMA AUTOGRAFA OMESSA AI SENSI
DELL'ART.3 DEL D.LGS N.39/1993

According to EAWS standards Meteomont bulletin is a synoptic-scale system (regional scale). It shall be the user's responsibility to correlate the danger level evaluation of the bulletin with a detailed and expertise analysis of the zonal hazards (single slope), that could be markedly different. Meteorological forecast are issued at UTC (for Italy: in winter time UTC+1: in summer time UTC+2).

Bulletin is subjected to check processes through: the record of Observers and Avalanches and snow Experts data in C-Sifa; the validation by forecasters; the certification by Meteomont Section.