MINISTERO DELLA DIFESA

meteomont
Servizio Nazionale di previsione neve e valanghe

EAWS EUROPEAN AVALANCHE WARNING SERVICES

CARABINIERI

# GRAN SASSO OVEST

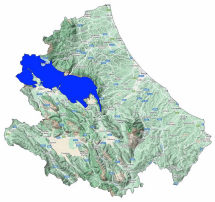

Avalanche Bulletin N. 340/2026 issued at 14:00 on 19/02/2026
48 hours validity. Next issue on 20/02/2026
**By the METEOMONT Service of the ARMA dei CARABINIERI ITALY**
**In collaboration with Air Force Meteorological Service**

## Situation on 19/02/2026

**DANGER PATTERNS: loose snow and wind.**

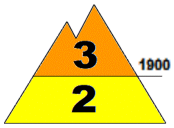

**DANGER PATTERNS: loose snow and wind.**

| Snow line (m.a.s.l.) | North | South |
|---|---|---|
| | 1500 - 1700 | 1700 - 1800 |

| Snow depth (cm) | ground snow | new snow | Elevation (m.a.s.l.) |
|---|---|---|---|
| | 028 | 000 | 1693 |
| | 000 | 000 | 1384 |

**REGISTERED AVALANCHES: No avalanches detected.**

## FORECAST 20/02/2026

# Danger level: CONSIDERABLE 3

## DANGER PATTERNS: loose snow and wind.

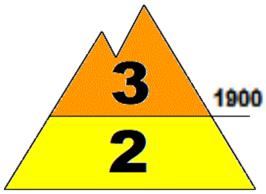

## DANGER PATTERNS: loose snow and wind.

**SNOWPACK: Snowpack stability is poor on some points (areas) above 1900 m.a.s.l. All aspects are critical. large avalanches are possible.**
**Snowpack stability is poor on few points (areas) below 1900 m.a.s.l. All Isolated slopes are critical. Medium avalanches are possible.**

## WARNING

Due to observed wind activity, avoid accumulation zones, bowls, gullies, irregular slopes and leeward slopes in general.

## EUROPEAN AVALANCHE WARNING SERVICE

5 - VERY HIGH | 4 - HIGH | 3 - CONSIDERABLE | 2 - MODERATE | 1 - LOW | NO SNOW | NO INFO

## AVALANCHE PROBLEMS

NEW SNOW | WIND - DRIFTED SNOW | PERSISTENT WEAK LAYERS | WET SNOW | GLIDING SNOW | SNOW CORNICES | NO EVIDENT AVALANCHE PROBLEM. | NO INFO

According to EAWS standards Meteomont bulletin is a synoptic-scale system (regional scale). It shall be the user's responsibility to correlate the danger level evaluation of the bulletin with a detailed and expertise analysis of the zonal hazards (single slope), that could be markedly different. Meteorological forecast are issued at UTC (for Italy: in winter time UTC+1: in summer time UTC+2).

Bulletin is subjected to check processes through: the record of Observers and Avalanches and snow Experts data in C-Sifa; the validation by forecasters; the certification by Meteomont Section.

# GRAN SASSO OVEST

## WEATHER FORECAST FOR

| Elevation | | 20/02/2026 h6:00 | 20/02/2026 h12:00 | 20/02/2026 h18:00 |
|---|---|---|---|---|
| 1000 | Wind | 03 Knots from West | 01 Knots from West | 04 Knots from North |
| | Temperatures | +00 °C | +03 °C | -02 °C |
| | Wind chill | -2 °C | 3 °C | -5 °C |
| 2000 | Wind | 09 Knots from West | 03 Knots from N-West | 10 Knots from North |
| | Temperatures | -04 °C | -02 °C | -06 °C |
| | Wind chill | -10 °C | -4 °C | -13 °C |
| 3000 | Wind | 14 Knots from West | 08 Knots from N-West | 13 Knots from North |
| | Temperatures | -09 °C | -09 °C | -08 °C |
| | Wind chill | -18 °C | -15 °C | -16 °C |
| Freezing level | | 1400-1600 m. | 1700-1900 m. | 1200-1400 m. |
| Atmospheric phenomenon | | — | — | — |
| Keys to sky condition | | | | |

## KEYS TO ATMOSPHERIC PHENOMENON

— Absence of adverse weather phenomena
Fog
Mist
Light rain
Moderate rain
Heavy rain
Thunderstorm
Weak snowfall
Moderate snowfall
Heavy snowfall

## KEYS TO SKY CONDITION

Clear
Partly cloudy
Cloudy
Mostly cloudy
Overcast

## Weather and snow data recorded during field and out of field obsevations on 19/02/2026.

| Observation field | District | Elevation (m.a.s.l.) | Snow depth (cm) | Snowfall in previous 24 hours (cm) | Temp. Min (°C) | Temp. Max (°C) | General weather conditions |
|---|---|---|---|---|---|---|---|
| S. DONATO | Castel del Monte (AQ) | 1400 | 0 | 0 | +1 | +7 | Absence of rain or other precipitation |
| LA GUARDIA * | L'Aquila (AQ) | 1693 | 28 | 0 | N.P. | N.P. | Absence of rain or other precipitation |

(*) Out of field survey

**INFORMATION MEANS PREVENTION - SCAN QRCODE TO KNOW DAILY AVALANCHE DANGER LEVEL!**

**IL CAPO DEL CENTRO NAZIONALE METEOMONT**
**(Ten. Col. RFI Emanuela Gini)**
**FIRMA AUTOGRAFA OMESSA AI SENSI**
**DELL'ART.3 DEL D.LGS N.39/1993**

According to EAWS standards Meteomont bulletin is a synoptic-scale system (regional scale). It shall be the user's responsibility to correlate the danger level evaluation of the bulletin with a detailed and expertise analysis of the zonal hazards (single slope), that could be markedly different. Meteorological forecast are issued at UTC (for Italy: in winter time UTC+1: in summer time UTC+2).

Bulletin is subjected to check processes through: the record of Observers and Avalanches and snow Experts data in C-Sifa; the validation by forecasters; the certification by Meteomont Section.