MAJELLA

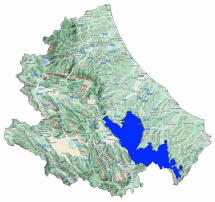

Avalanche Bulletin N. 337/2026 issued at 14:00 on 18/02/2026
48 hours validity. Next issue on 19/02/2026

By the METEOMONT Service of the ARMA dei CARABINIERI ITALY
In collaboration with Air Force Meteorological Service

Situation on 18/02/2026

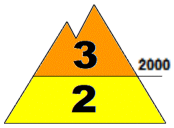

DANGER PATTERNS: loose snow and wind.



DANGER PATTERNS: loose snow and wind.

Snow line (m.a.s.l.)	North	South
	1300 - 1500	1300 - 1500

Snow depth (cm)	ground snow	new snow	Elevation (m.a.s.l.)
	120	002	2742
	036	000	1650

REGISTERED AVALANCHES: No avalanches detected.

FORECAST 19/02/2026

Danger level: MODERATE 2

DANGER PATTERNS: loose snow and wind.

SNOWPACK: Snowpack stability is poor on few points (areas) for All aspects, large avalanches are possible.

WARNING

Due to observed wind activity, avoid accumulation zones, bowls, gullies, irregular slopes and leeward slopes in general.

EUROPEAN AVALANCHE WARNING SERVICE

AVALANCHE PROBLEMS

According to EAWS standards Meteomont bulletin is a synoptic-scale system (regional scale). It shall be the user's responsibility to correlate the danger level evaluation of the bulletin with a detailed and expertise analysis of the zonal hazards (single slope), that could be markedly different. Meteorological forecast are issued at UTC (for Italy: in winter time UTC+1: in summer time UTC+2).

Bulletin is subjected to check processes through: the record of Observers and Avalanches and snow Experts data in C-Sifa; the validation by forecasters; the certification by Meteomont Section.

MINISTERO DELLA DIFESA

meteomont
Servizio Nazionale di previsione neve e valanghe

EAWS EUROPEAN AVALANCHE WARNING SERVICES

CARABINIERI

MAJELLA

WEATHER FORECAST FOR

Elevation		19/02/2026 h6:00	19/02/2026 h12:00	19/02/2026 h18:00
1000	Wind	06 Knots from S-West	08 Knots from S-West	05 Knots from S-West
	Temperatures	+02 °C	+03 °C	-01 °C
	Wind chill	-1 °C	-1 °C	-4 °C
2000	Wind	16 Knots from S-West	20 Knots from S-West	12 Knots from S-West
	Temperatures	+01 °C	+01 °C	-04 °C
	Wind chill	-5 °C	-6 °C	-11 °C
3000	Wind	27 Knots from S-West	29 Knots from S-West	19 Knots from West
	Temperatures	-05 °C	-05 °C	-11 °C
	Wind chill	-15 °C	-15 °C	-22 °C
Freezing level		2000-2200 m.	2000-2200 m.	1400-1600 m.
Atmospheric phenomenon		—	—	
Keys to sky condition				

KEYS TO ATMOSPHERIC PHENOMENON

— Absence of adverse weather phenomena
Fog
Mist
Light rain
Moderate rain
Heavy rain
Thunderstorm
Weak snowfall
Moderate snowfall
Heavy snowfall

KEYS TO SKY CONDITION

Clear
Partly cloudy
Cloudy
Mostly cloudy
Overcast

Weather and snow data recorded during field and out of field obsevations on 18/02/2026.

Observation field	District	Elevation (m.a.s.l.)	Snow depth (cm)	Snowfall in previous 24 hours (cm)	Temp. Min (°C)	Temp. Max (°C)	General weather conditions
QUARTARANA	Campo di Giove (AQ)	1200	0	0	-2	+6	Absence of rain or other precipitation
PASSOLANCIANO	Lettomanoppello (PE)	1300	0	0	-2	+3	Absence of rain or other precipitation
VALICO DELLA FORCHETTA	Palena (CH)	1270	3	3	-7	+2	Absence of rain or other precipitation
VALLE DEL SOLE	Pizzoferrato (CH)	1440	0	0	-4	+7	Absence of rain or other precipitation
MAIELETTA MAMMA ROSA	Pretoro (CH)	1650	36	0	-5	0	Absence of rain or other precipitation
PASSO SAN LEONARDO	Sant'Eufemia a Maiella (PE)	1145	0	0	-2	+12	Absence of rain or other precipitation
MONTE AMMARO *	Pacentro (AQ)	2742	120	2	N.P.	N.P.	Absence of rain or other precipitation

(*) Out of field survey

INFORMATION MEANS PREVENTION - SCAN QRCODE TO KNOW DAILY AVALANCHE DANGER LEVEL!

IL CAPO DEL CENTRO NAZIONALE METEOMONT
(Ten. Col. RFI Emanuela Gini)
FIRMA AUTOGRAFA OMESSA AI SENSI
DELL'ART.3 DEL D.LGS N.39/1993

According to EAWS standards Meteomont bulletin is a synoptic-scale system (regional scale). It shall be the user's responsibility to correlate the danger level evaluation of the bulletin with a detailed and expertise analysis of the zonal hazards (single slope), that could be markedly different. Meteorological forecast are issued at UTC (for Italy: in winter time UTC+1: in summer time UTC+2).

Bulletin is subjected to check processes through: the record of Observers and Avalanches and snow Experts data in C-Sifa; the validation by forecasters; the certification by Meteomont Section.