Saturday 21.02.2026

Published 20 02 2026, 17:00

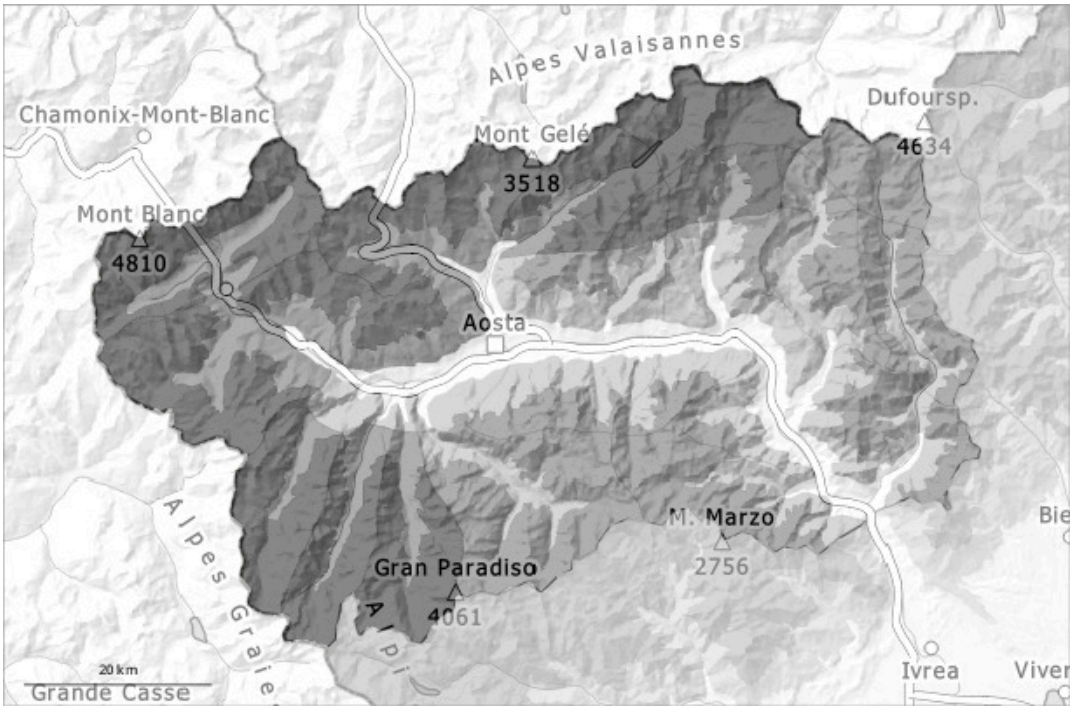

1	2	3	4	5
low	moderate	considerable	high	very high

Danger Level 4 - High

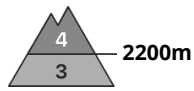

Tendency: Constant avalanche danger
on Sunday 22 02 2026

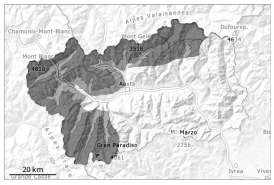

Wind slab

2200m

Wet snow

2600m

Fresh and older wind slabs represent the main danger. In addition the danger of moist and wet avalanches will increase from the early morning. The conditions are dangerous for backcountry touring and other off-piste activities. Careful route selection is required.

As a consequence of the strong to storm force northerly foehn wind, fresh snow drift accumulations formed during the last few days. In the course of the day the already large wind slabs will increase in size additionally. High-altitude starting zones will be replenished as a consequence of the wind. Here more medium-sized and large natural dry avalanches are possible.
In the typical avalanche paths the avalanches can as before reach fairly large size.
With the freezing level at 2600 metres combined with the foehn wind and solar radiation, numerous wet and moist avalanches are expected from the morning onwards, some of which may be large in isolated areas.
Single winter sport participants can release avalanches easily, including large ones. Caution is to be exercised on steep slopes, and in gullies and bowls, and behind abrupt changes in the terrain.

Snowpack

Danger patterns dp.6: cold, loose snow and wind | dp.1: deep persistent weak layer

Little snow fell during the night. Over a wide area 5 to 10 cm of snow has fallen above approximately 1800 m.
Over a wide area 60 to 100 cm of snow, and even more in some localities, has fallen since Sunday above approximately 1800 m.
Until Saturday the wind will be strong over a wide area.
The snowpack is unfavourably layered.
Adjacent to ridgelines and in pass areas snow depths vary greatly, depending on the infuence of the wind.
Some large and, in isolated cases, very large powder avalanches have been released last week. Isolated medium-sized and, in isolated cases, large slab avalanches have been released by people in the last two days.

Tendency

The danger of moist and wet avalanches will increase during the day.

Danger Level 3 - Considerable

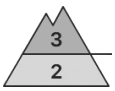

2100m

Tendency: Constant avalanche danger
on Sunday 22 02 2026

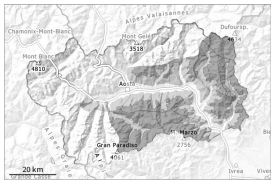

Wind slab

2100m

Persistent
weak layer

2000m

Slab avalanches are the main danger. Moist and wet avalanches are possible from the morning.

As a consequence of the strong to storm force northerly foehn wind, fresh snow drift accumulations formed during the last few days. In the course of the day the wind slabs will increase in size additionally. Caution is to be exercised on very steep slopes, and in gullies and bowls, and behind abrupt changes in the terrain. Avalanches can be released, even by a single winter sport participant.
Weak layers in the old snowpack necessitate caution. In some places the avalanches can be triggered in the old snow and reach quite a large size.
Remotely triggered avalanches are possible. Whumpfing sounds and the formation of shooting cracks when stepping on the snowpack serve as an alarm sign.
With the freezing level at 2600 metres combined with the foehn wind and solar radiation, wet and moist avalanches are expected from the morning onwards, including large ones in isolated areas.

Snowpack

Danger patterns dp.6: cold, loose snow and wind | dp.1: deep persistent weak layer

Over a wide area 20 to 50 cm of snow has fallen since Sunday above approximately 1600 m. Until Saturday the wind will be strong.
Adjacent to ridgelines and in pass areas snow depths vary greatly, depending on the infuence of the wind.
The snowpack is unfavourably layered.
Faceted weak layers exist in the old snowpack in particular on west, north and east facing slopes.
Some medium-sized to large natural dry avalanches have been released in the last few days.

Tendency

The danger of moist and wet avalanches will increase during the day.