BUTLLETÍ DEL PERILL D'ALLAUS DEL PRINCIPAT D'ANDORRA

Servei meteorològic nacional
Principat d'Andorra

Prepared on 20/02/2026 16:00
Next update 21/02/2026 at 16 am

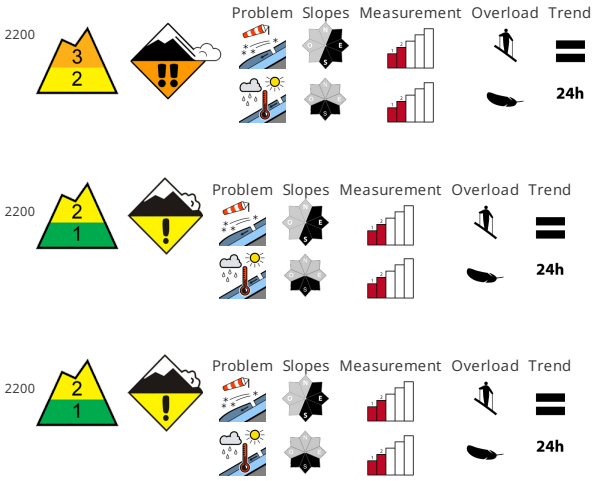

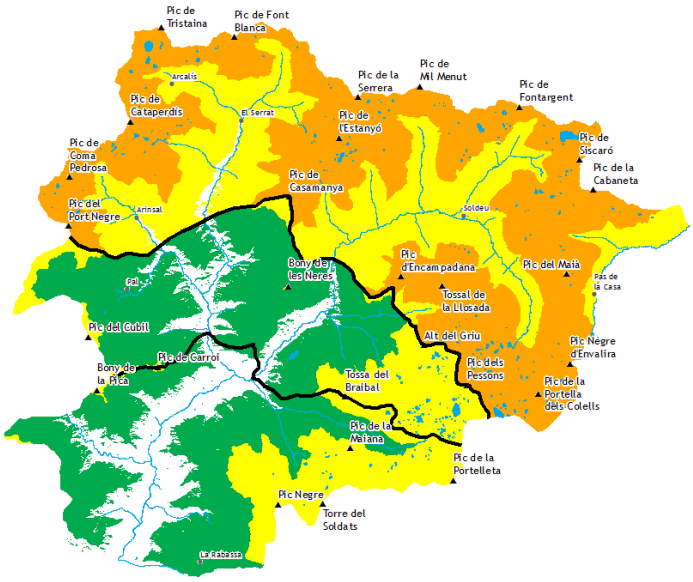

SNOW QUALITY

The fresh snow and in particular the sometimes deep wind slabs can be released easily, or, in isolated cases naturally on northeast to east to south facing aspects above approximately 2200 m. Northeast, east and southeast facing slopes where weaknesses exist in the old snowpack are especially dangerous. In addition the new snow-covered wind slabs must be taken into account. As a consequence of warming during the day and solar radiation only isolated medium-sized moist slab avalanches are to be expected. From the middle of the day the likelihood of moist avalanches being released will increase significantly in particular on steep sunny slopes. This applies in particular at the base of rock walls , as well as in steep rocky terrain. Gliding avalanches can also occur at any time.

STABILITY OF THE SNOW MANTLE

Up to 20 cm of snow, and up to 20 cm in some localities, fell in the last two days above approximately 2000 m. Snow depths vary greatly above approximately 2500 m , depending on the infuence of the wind. More recent wind slabs are lying on a crust. Areas with glide cracks are to be avoided.

OFF-PISTE SNOW COVER THICKNESSES

North zone		Snow thickness		
Snowpack		1500m	2000m	2500m
N	1300 m	30 cm	150 cm	200 cm
S	1500 m	0 cm	100 cm	150 cm

Center area		Snow thickness		
Snowpack		1500m	2000m	2500m
N	1300 m	20 cm	150 cm	200 cm
S	1500 m	0 cm	100 cm	150 cm

South zone		Snow thickness		
Snowpack		1500m	2000m	2500m
N	1300 m	20 cm	120 cm	150 cm
S	1500 m	0 cm	60 cm	100 cm

Govern d'Andorra

EAWS EUROPEAN AVALANCHE WARNING SERVICES

Aquest butlletí ha estat elaborat seguint les normes i recomanacions de l'**European Avalanche Warning Services**, del qual el **Servei meteorològic Nacional** n'és membre

Detailed information for protected areas

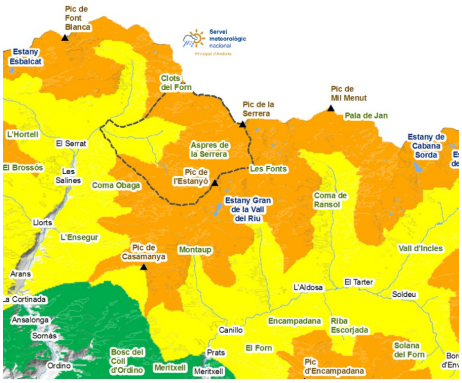

SORTENY

Thursday's snowfall added a few inches to low elevations above the frost crust. More snow has accumulated at high altitudes, which will make the hikes more pleasant, especially below the forest line. At altitude, the snow will be more windy and with very irregular distributions. We find snow on all the roads from Llorts and access with skis to the Refuge can be done as it has not been seen for so many weeks in a row for years. We will have to follow the recommendations of the stability of the snow cover to avoid putting ourselves in danger on the eastern slopes. With the increase in temperatures, wet snow problems will appear on the southern slopes, which will initially lead to an increase in avalanche activity, but will help to stabilize the mantle.

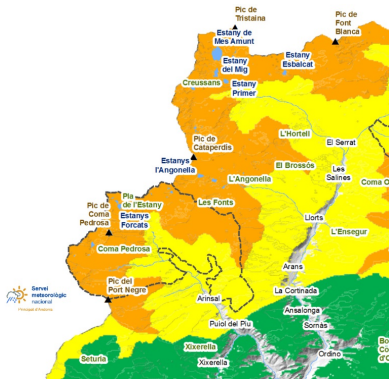

COMAPEDROSA

At low altitudes the snow has compacted and reduced its thickness due to the humidification caused by the rains of a week ago. Above this crust, however, there is some new snow. Inside the forest it will be less abundant and we will have to be careful not to slip, but in the clearings and in the higher parts the ice will isolate. Even so, the snow distribution is very uneven due to the wind. On the east-facing slopes, such as the access from Arinsal via Port Negre (Sanfons), we will have to take extreme precautions or avoid them in order not to trigger the wind plates formed in recent days. The wet snow problem will increase during the weekend.

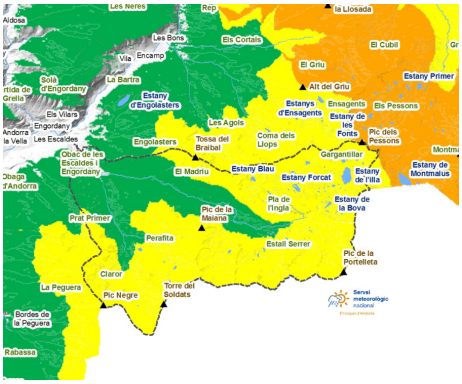

MADRIU-PERAFITA-CLAROR

The eastern slopes must be driven with great caution, as this is where the most important and dangerous accumulations of blown snow are. At high altitudes the wind will have left the hard snow exposed and with difficult conditions to descend on some occasions.

BUTLLETÍ DEL PERILL D'ALLAUS DEL PRINCIPAT D'ANDORRA

Servei meteorològic nacional
Principat d'Andorra

Thick snow in recent days (last 24 hours measured at 06:00 UTC)

	16/02/2026	17/02/2026	18/02/2026	19/02/2026
FEDA (Central)	0 cm	0 cm	0 cm	0 cm
Engolasters - FEDA	0 cm	0 cm	0 cm	0 cm
Bony de les Neres	0 cm	0 cm	0 cm	4 cm
Sorteny	6 cm	0 cm	3 cm	16 cm
Perafita	0 cm	0 cm	0 cm	9 cm
Tossa Espiolets	0 cm	0 cm	1 cm	0 cm
Grau Roig - FEDA	0 cm	0 cm	3 cm	1 cm
Fontverd	0 cm	0 cm	3 cm	2 cm
Ransol - FEDA	0 cm	2 cm	0 cm	0 cm
Setúria	0 cm	0 cm	2 cm	4 cm
Caborreu	6 cm	0 cm	0 cm	0 cm
La Solana	0 cm	0 cm	6 cm	0 cm
Envalira Antenes	0 cm	3 cm	2 cm	1 cm
Vall del Riu FEDA	0 cm	0 cm	2 cm	19 cm