MINISTERO DELLA DIFESA

meteomont Servizio Nazionale di previsione neve e valanghe

EAWS EUROPEAN AVALANCHE WARNING SERVICES

CARABINIERI

In collaborazione con: arpav

PREALPI

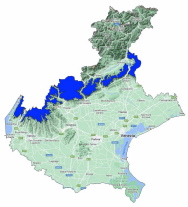

Avalanche Bulletin N. 348/2026 issued at 14:00 on 20/02/2026
48 hours validity. Next issue on 21/02/2026

By the METEOMONT Service of the ARMA dei CARABINIERI ITALY
In collaboration with Air Force Meteorological Service

Situation on 20/02/2026

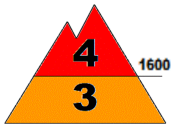

DANGER PATTERNS: loose snow and wind.



DANGER PATTERNS: loose snow and wind.

Snow line (m.a.s.l.)	North	South
	1000 - 1200	1000 - 1200

Snow depth (cm)	ground snow	new snow	Elevation (m.a.s.l.)
	129	24	1828
	68	10	1460

REGISTERED AVALANCHES: No avalanches detected.

FORECAST 21/02/2026

Danger level: CONSIDERABLE 3

DANGER PATTERNS: loose snow and wind.

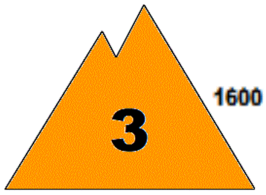



DANGER PATTERNS: rain on snow.

SNOWPACK: Snowpack stability is poor on some points (areas) above 1600 m.a.s.l. All aspects are critical. large avalanches are possible.
Snowpack stability is poor on many points (areas) below 1600 m.a.s.l. All aspects are critical. Medium avalanches are possible.

WARNING

Due to new snow,careful route choice and an excellent evaluation of snowpack stability is required.

EUROPEAN AVALANCHE WARNING SERVICE

AVALANCHE PROBLEMS

According to EAWS standards Meteomont bulletin is a synoptic-scale system (regional scale). It shall be the user's responsibility to correlate the danger level evaluation of the bulletin with a detailed and expertise analysis of the zonal hazards (single slope), that could be markedly different. Meteorological forecast are issued at UTC (for Italy: in winter time UTC+1: in summer time UTC+2).

Bulletin is subjected to check processes through: the record of Observers and Avalanches and snow Experts data in C-Sifa; the validation by forecasters; the certification by Meteomont Section.

MINISTERO DELLA DIFESA

meteomont
Servizio Nazionale di previsione neve e valanghe

EAWS EUROPEAN AVALANCHE WARNING SERVICES

CARABINIERI

In collaborazione con: arpav

PREALPI

WEATHER FORECAST FOR

Elevation		21/02/2026 h6:00	21/02/2026 h12:00	21/02/2026 h18:00
1000	Wind	02 Knots from N-East	01 Knots from N-West	02 Knots from N-East
	Temperatures	+02 °C	+05 °C	+04 °C
	Wind chill	2 °C	5 °C	4 °C
2000	Wind	04 Knots from North	03 Knots from West	05 Knots from North
	Temperatures	+00 °C	+00 °C	+01 °C
	Wind chill	-3 °C	-2 °C	-2 °C
3000	Wind	10 Knots from North	13 Knots from North	19 Knots from North
	Temperatures	-07 °C	-06 °C	-06 °C
	Wind chill	-14 °C	-13 °C	-15 °C
Freezing level		2000-2200 m.	1900-2100 m.	2000-2200 m.
Atmospheric phenomenon		—	—	—
Keys to sky condition				

KEYS TO ATMOSPHERIC PHENOMENON

— Absence of adverse weather phenomena
Fog
Mist
Light rain
Moderate rain
Heavy rain
Thunderstorm
Weak snowfall
Moderate snowfall
Heavy snowfall

KEYS TO SKY CONDITION

Clear
Partly cloudy
Cloudy
Mostly cloudy
Overcast

Weather and snow data recorded during field and out of field obsevations on 20/02/2026.

Observation field	District	Elevation (m.a.s.l.)	Snow depth (cm)	Snowfall in previous 24 hours (cm)	Temp. Min (°C)	Temp. Max (°C)	General weather conditions
PIAN CANSIGLIO	Tambre (BL)	1025	12	0	N.P.	N.P.	Absence of rain or other precipitation
GALLIO - BUSA FONDA	Gallio (VI)	1460	108	17	-4	+2	Absence of rain or other precipitation
MONTI LESSINI - MALGA SAN GIORGIO	Bosco Chiesanuova (VR)	1461	68	N.P.	N.P.	N.P.	Absence of rain or other precipitation
MONTE BALDO	Malcesine (VR)	1828	129	24	N.P.	N.P.	Absence of rain or other precipitation
PIAN CANTON	Tambre (BL)	1280	20	N.P.	+0	+4	Absence of rain or other precipitation

(*) Out of field survey

INFORMATION MEANS PREVENTION - SCAN QRCODE TO KNOW DAILY AVALANCHE DANGER LEVEL!

IL CAPO DEL CENTRO NAZIONALE METEOMONT
(Ten. Col. RFI Emanuela Gini)
FIRMA AUTOGRAFA OMESSA AI SENSI
DELL'ART.3 DEL D.LGS N.39/1993

According to EAWS standards Meteomont bulletin is a synoptic-scale system (regional scale). It shall be the user's responsibility to correlate the danger level evaluation of the bulletin with a detailed and expertise analysis of the zonal hazards (single slope), that could be markedly different. Meteorological forecast are issued at UTC (for Italy: in winter time UTC+1: in summer time UTC+2).

Bulletin is subjected to check processes through: the record of Observers and Avalanches and snow Experts data in C-Sifa; the validation by forecasters; the certification by Meteomont Section.