MINISTERO DELLA DIFESA

meteomont
Servizio Nazionale di previsione neve e valanghe

EAWS EUROPEAN AVALANCHE WARNING SERVICES

CARABINIERI

GRAN SASSO EST - LAGA EST

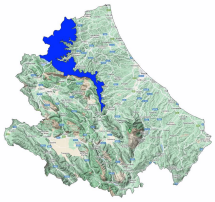

Avalanche Bulletin N. 339/2026 issued at 14:00 on 19/02/2026
48 hours validity. Next issue on 20/02/2026

By the METEOMONT Service of the ARMA dei CARABINIERI ITALY
In collaboration with Air Force Meteorological Service

Situation on 19/02/2026

DANGER PATTERNS: loose snow and wind.

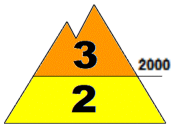



DANGER PATTERNS: springtime situation.

Snow line (m.a.s.l.)	North	South
	1400 - 1700	1500 - 1700

Snow depth (cm)	ground snow	new snow	Elevation (m.a.s.l.)
	000	000	1400
	000	000	1380

REGISTERED AVALANCHES: No avalanches detected.

FORECAST 20/02/2026

Danger level: CONSIDERABLE 3

DANGER PATTERNS: loose snow and wind.



DANGER PATTERNS: springtime situation.

SNOWPACK: Snowpack stability is poor on some points (areas) above 2000 m.a.s.l. All From west to east-facing slopes are critical. large avalanches are possible.
Snowpack stability is moderate on some points (areas) below 2000 m.a.s.l. All Isolated slopes are critical. Medium avalanches are possible.

WARNING

Due to observed wind activity, avoid accumulation zones, bowls, gullies, irregular slopes and leeward slopes in general.

EUROPEAN AVALANCHE WARNING SERVICE

AVALANCHE PROBLEMS

According to EAWS standards Meteomont bulletin is a synoptic-scale system (regional scale). It shall be the user's responsibility to correlate the danger level evaluation of the bulletin with a detailed and expertise analysis of the zonal hazards (single slope), that could be markedly different. Meteorological forecast are issued at UTC (for Italy: in winter time UTC+1: in summer time UTC+2).

Bulletin is subjected to check processes through: the record of Observers and Avalanches and snow Experts data in C-Sifa; the validation by forecasters; the certification by Meteomont Section.

MINISTERO DELLA DIFESA

meteomont
Servizio Nazionale di previsione neve e valanghe

EAWS EUROPEAN AVALANCHE WARNING SERVICES

CARABINIERI

GRAN SASSO EST - LAGA EST

WEATHER FORECAST FOR

Elevation		20/02/2026 h6:00	20/02/2026 h12:00	20/02/2026 h18:00
1000	Wind	*03 Knots from S-West*	*02 Knots from N-West*	*05 Knots from N-East*
	Temperatures	*+00 °C*	*+02 °C*	*-03 °C*
	Wind chill	*-2 °C*	*2 °C*	*-7 °C*
2000	Wind	*10 Knots from West*	*04 Knots from N-West*	*13 Knots from North*
	Temperatures	*-04 °C*	*-03 °C*	*-06 °C*
	Wind chill	*-10 °C*	*-6 °C*	*-13 °C*
3000	Wind	*15 Knots from West*	*08 Knots from N-West*	*16 Knots from North*
	Temperatures	*-09 °C*	*-09 °C*	*-08 °C*
	Wind chill	*-18 °C*	*-15 °C*	*-17 °C*
Freezing level		*1400-1600 m.*	*1600-1800 m.*	*1000-1200 m.*
Atmospheric phenomenon		—		—
Keys to sky condition				

KEYS TO ATMOSPHERIC PHENOMENON

— *Absence of adverse weather phenomena* — *Fog* — *Mist* — *Light rain* — *Moderate rain* — *Heavy rain* — *Thunderstorm*

Weak snowfall — *Moderate snowfall* — *Heavy snowfall*

KEYS TO SKY CONDITION

Clear — *Partly cloudy* — *Cloudy* — *Mostly cloudy* — *Overcast*

Weather and snow data recorded during field and out of field obsevations on 19/02/2026.

Observation field	*District*	*Elevation (m.a.s.l.)*	*Snow depth (cm)*	*Snowfall in previous 24 hours (cm)*	*Temp. Min (°C)*	*Temp. Max (°C)*	*General weather conditions*
FAVACCHIOLE	Crognaleto (TE)	1016	0	0	+5	+9	Absence of rain or other precipitation
PRATO SELVA	Fano Adriano (TE)	1355	0	0	+3	+8	Absence of rain or other precipitation
RIGOPIANO	Farindola (PE)	1135	0	0	+2	+9	Absence of rain or other precipitation
PRATI DI TIVO	Pietracamela (TE)	1380	0	0	N.P.	N.P.	Absence of rain or other precipitation
CEPPO	Rocca Santa Maria (TE)	1349	0	0	+4	+9	Absence of rain or other precipitation
SAN PAOLO	Acquasanta Terme (AP)	960	0	0	+2	+12	Intermittent light rain
COLLE SAN GIACOMO	Civitella del Tronto (TE)	1075	0	0	+4	+11	Absence of rain or other precipitation

(*) Out of field survey

INFORMATION MEANS PREVENTION - SCAN QRCODE TO KNOW DAILY AVALANCHE DANGER LEVEL!

IL CAPO DEL CENTRO NAZIONALE METEOMONT
(Ten. Col. RFI Emanuela Gini)
FIRMA AUTOGRAFA OMESSA AI SENSI
DELL'ART.3 DEL D.LGS N.39/1993

According to EAWS standards Meteomont bulletin is a synoptic-scale system (regional scale). It shall be the user's responsibility to correlate the danger level evaluation of the bulletin with a detailed and expertise analysis of the zonal hazards (single slope), that could be markedly different. Meteorological forecast are issued at UTC (for Italy: in winter time UTC+1: in summer time UTC+2).

Bulletin is subjected to check processes through: the record of Observers and Avalanches and snow Experts data in C-Sifa; the validation by forecasters; the certification by Meteomont Section.