MINISTERO DELLA DIFESA

meteomont
Servizio Nazionale di previsione neve e valanghe

EAWS EUROPEAN AVALANCHE WARNING SERVICES

CARABINIERI

# MAJELLA

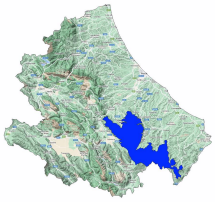

Avalanche Bulletin N. 339/2026 issued at 14:00 on 20/02/2026
48 hours validity. Next issue on 21/02/2026

**By the METEOMONT Service of the ARMA dei CARABINIERI ITALY**
**In collaboration with Air Force Meteorological Service**

## Situation on 20/02/2026

**DANGER PATTERNS: loose snow and wind.**

**DANGER PATTERNS: loose snow and wind.**

| Snow line (m.a.s.l.) | North | South |
|---|---|---|
| | 1300 - 1500 | 1300 - 1500 |

| Snow depth (cm) | ground snow | new snow | Elevation (m.a.s.l.) |
|---|---|---|---|
| | 040 | 010 | 1650 |
| | 002 | 000 | 1270 |

**REGISTERED AVALANCHES: No avalanches detected.**

## FORECAST 21/02/2026

# Danger level: CONSIDERABLE 3

## DANGER PATTERNS: loose snow and wind.

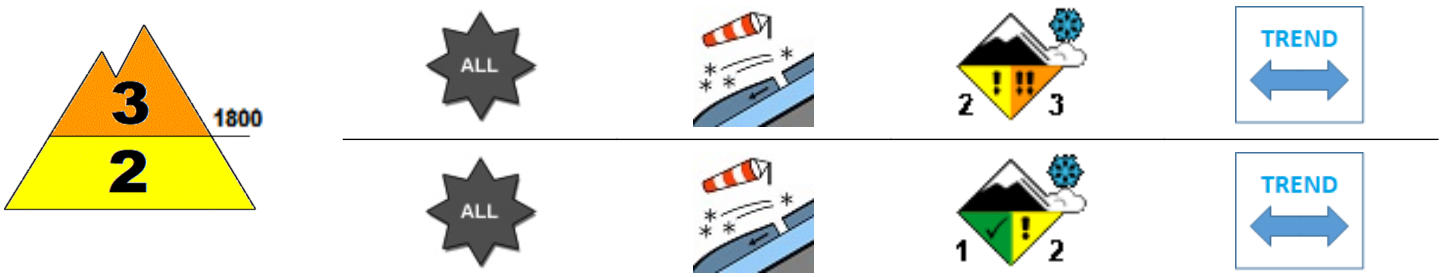


## DANGER PATTERNS: loose snow and wind.

**SNOWPACK: Snowpack stability is poor on some points (areas) above 1800 m.a.s.l. All aspects are critical. large avalanches are possible.**
**Snowpack stability is poor on some points (areas) below 1800 m.a.s.l. All aspects are critical. Medium avalanches are possible.**

## WARNING

Due to observed wind activity, avoid accumulation zones, bowls, gullies, irregular slopes and leeward slopes in general.

## EUROPEAN AVALANCHE WARNING SERVICE

## AVALANCHE PROBLEMS




According to EAWS standards Meteomont bulletin is a synoptic-scale system (regional scale). It shall be the user's responsibility to correlate the danger level evaluation of the bulletin with a detailed and expertise analysis of the zonal hazards (single slope), that could be markedly different. Meteorological forecast are issued at UTC (for Italy: in winter time UTC+1: in summer time UTC+2).

Bulletin is subjected to check processes through: the record of Observers and Avalanches and snow Experts data in C-Sifa; the validation by forecasters; the certification by Meteomont Section.

MINISTERO DELLA DIFESA

meteomont
Servizio Nazionale di previsione neve e valanghe

EAWS EUROPEAN AVALANCHE WARNING SERVICES

CARABINIERI

# MAJELLA

## WEATHER FORECAST FOR

| Elevation | | 21/02/2026 h6:00 | 21/02/2026 h12:00 | 21/02/2026 h18:00 |
|---|---|---|---|---|
| 1000 | Wind | 03 Knots from North | 03 Knots from North | 02 Knots from N-East |
| | Temperatures | -04 °C | -03 °C | -02 °C |
| | Wind chill | -6 °C | -5 °C | -2 °C |
| 2000 | Wind | 08 Knots from North | 09 Knots from North | 07 Knots from North |
| | Temperatures | -05 °C | -04 °C | -02 °C |
| | Wind chill | -11 °C | -10 °C | -6 °C |
| 3000 | Wind | 12 Knots from North | 15 Knots from North | 16 Knots from North |
| | Temperatures | -07 °C | -06 °C | -08 °C |
| | Wind chill | -14 °C | -14 °C | -17 °C |
| Freezing level | | 1000-1200 m. | 1200-1400 m. | 1300-1500 m. |
| Atmospheric phenomenon | | — | — | — |
| Keys to sky condition | | | | |

## KEYS TO ATMOSPHERIC PHENOMENON

— Absence of adverse weather phenomena
Fog
Mist
Light rain
Moderate rain
Heavy rain
Thunderstorm
Weak snowfall
Moderate snowfall
Heavy snowfall

## KEYS TO SKY CONDITION

Clear
Partly cloudy
Cloudy
Mostly cloudy
Overcast

## Weather and snow data recorded during field and out of field obsevations on 20/02/2026.

| Observation field | District | Elevation (m.a.s.l.) | Snow depth (cm) | Snowfall in previous 24 hours (cm) | Temp. Min (°C) | Temp. Max (°C) | General weather conditions |
|---|---|---|---|---|---|---|---|
| QUARTARANA | Campo di Giove (AQ) | 1200 | 2 | 2 | -1 | +11 | Absence of rain or other precipitation |
| PASSOLANCIANO | Lettomanoppello (PE) | 1300 | 0 | N.P. | 0 | +10 | Absence of rain or other precipitation |
| VALICO DELLA FORCHETTA | Palena (CH) | 1270 | 2 | Snow traces | 0 | +4 | Absence of rain or other precipitation |
| VALLE DEL SOLE | Pizzoferrato (CH) | 1440 | 1 | 1 | -1 | +4 | Absence of rain or other precipitation |
| MAIELETTA MAMMA ROSA | Pretoro (CH) | 1650 | 40 | 10 | -4 | +5 | Absence of rain or other precipitation |

(*) Out of field survey

**INFORMATION MEANS PREVENTION - SCAN QRCODE TO KNOW DAILY AVALANCHE DANGER LEVEL!**

IL CAPO DEL CENTRO NAZIONALE METEOMONT
(Ten. Col. RFI Emanuela Gini)
FIRMA AUTOGRAFA OMESSA AI SENSI
DELL'ART.3 DEL D.LGS N.39/1993

According to EAWS standards Meteomont bulletin is a synoptic-scale system (regional scale). It shall be the user's responsibility to correlate the danger level evaluation of the bulletin with a detailed and expertise analysis of the zonal hazards (single slope), that could be markedly different. Meteorological forecast are issued at UTC (for Italy: in winter time UTC+1: in summer time UTC+2).

Bulletin is subjected to check processes through: the record of Observers and Avalanches and snow Experts data in C-Sifa; the validation by forecasters; the certification by Meteomont Section.