MINISTERO DELLA DIFESA

meteomont
Servizio Nazionale di previsione neve e valanghe

EAWS EUROPEAN AVALANCHE WARNING SERVICES

CARABINIERI

ALPI RETICHE

Avalanche Bulletin N. 354/2026 issued at 14:00 on 21/02/2026
48 hours validity. Next issue on 22/02/2026

By the METEOMONT Service of the ARMA dei CARABINIERI ITALY
In collaboration with Air Force Meteorological Service

Situation on 21/02/2026

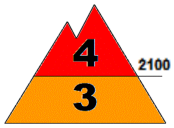

DANGER PATTERNS: loose snow and wind.

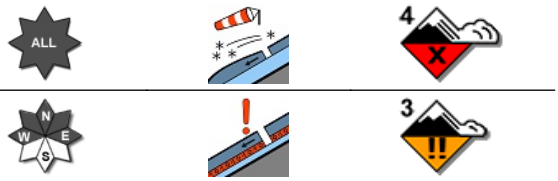

DANGER PATTERNS: deep persistent weak layer.

Snow line (m.a.s.l.)	North	South
	800	1000

Snow depth (cm)	ground snow	new snow	Elevation (m.a.s.l.)
	65	0	2582
	86	0	2150

REGISTERED AVALANCHES: Several medium avalanches, Surface loose snow avalanches.

FORECAST 22/02/2026

Danger level: HIGH 4

DANGER PATTERNS: loose snow and wind.

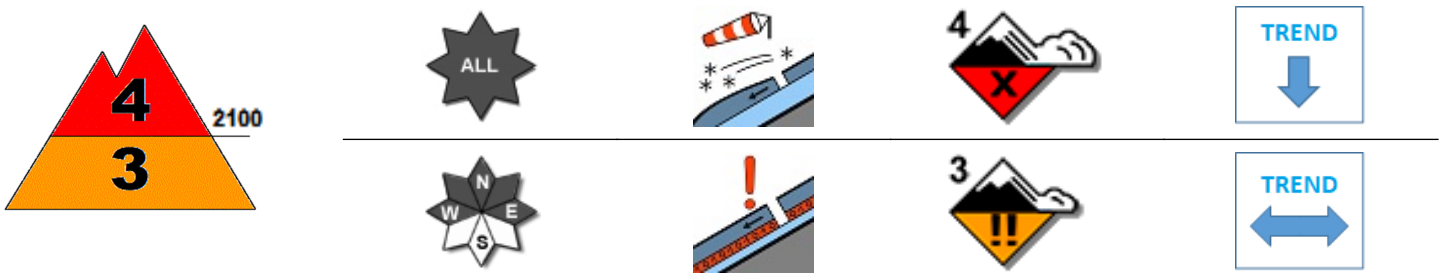

DANGER PATTERNS: deep persistent weak layer.

SNOWPACK: Snowpack stability is very poor on many points (areas) above 2100 m.a.s.l. All aspects are critical. large avalanches are possible.
Snowpack stability is poor on many points (areas) below 2100 m.a.s.l. All From west to east-facing slopes are critical. Medium avalanches are possible.

WARNING

Due to observed wind activity, avoid accumulation zones, bowls, gullies, irregular slopes and leeward slopes in general.

EUROPEAN AVALANCHE WARNING SERVICE

AVALANCHE PROBLEMS

According to EAWS standards Meteomont bulletin is a synoptic-scale system (regional scale). It shall be the user's responsibility to correlate the danger level evaluation of the bulletin with a detailed and expertise analysis of the zonal hazards (single slope), that could be markedly different. Meteorological forecast are issued at UTC (for Italy: in winter time UTC+1: in summer time UTC+2).

Bulletin is subjected to check processes through: the record of Observers and Avalanches and snow Experts data in C-Sifa; the validation by forecasters; the certification by Meteomont Section.

MINISTERO DELLA DIFESA

meteomont
Servizio Nazionale di previsione neve e valanghe

EAWS EUROPEAN AVALANCHE WARNING SERVICES

CARABINIERI

ALPI RETICHE

WEATHER FORECAST FOR

Elevation		22/02/2026 h6:00	22/02/2026 h12:00	22/02/2026 h18:00
1000	Wind	02 Knots from N-West	00 Calm	01 Knots from N-West
	Temperatures	+01 °C	+04 °C	+04 °C
	Wind chill	1 °C	4 °C	4 °C
2000	Wind	02 Knots from N-West	00 Calm	01 Knots from N-West
	Temperatures	+01 °C	+04 °C	+04 °C
	Wind chill	1 °C	4 °C	4 °C
3000	Wind	09 Knots from N-West	04 Knots from N-West	06 Knots from N-West
	Temperatures	-03 °C	-02 °C	-02 °C
	Wind chill	-8 °C	-5 °C	-6 °C
Freezing level		2400-2600 m.	2600-2800 m.	2600-2800 m.
Atmospheric phenomenon		—	—	—
Keys to sky condition				

KEYS TO ATMOSPHERIC PHENOMENON

— Absence of adverse weather phenomena
Fog
Mist
Light rain
Moderate rain
Heavy rain
Thunderstorm
Weak snowfall
Moderate snowfall
Heavy snowfall

KEYS TO SKY CONDITION

Clear
Partly cloudy
Cloudy
Mostly cloudy
Overcast

Weather and snow data recorded during field and out of field obsevations on 21/02/2026.

Observation field	District	Elevation (m.a.s.l.)	Snow depth (cm)	Snowfall in previous 24 hours (cm)	Temp. Min (°C)	Temp. Max (°C)	General weather conditions
SPONDA	Livigno (SO)	2150	86	Snow traces	-5	0	Absence of rain or other precipitation
BORMIO2000-LECCIONA	Valdisotto (SO)	2050	86	0	-3	0	Absence of rain or other precipitation
VALAR	Valdidentro (SO)	1930	77	0	-6	+2	Absence of rain or other precipitation
DOSSO DEL VALLONE	Valfurva (SO)	2582	65	0	-10	-5	Absence of rain or other precipitation
ALPE PALU'	Chiesa in Valmalenco (SO)	2010	90	0	-5	+4	Absence of rain or other precipitation
COLONIA VIGILI	Ponte di Legno (BS)	1640	85	0	-2	+4	Absence of rain or other precipitation
PISTA STELVIO *	Valfurva (SO)	2668	173	0	N.P.	N.P.	Absence of rain or other precipitation
MONTE COLOMBE' *	Paspardo (BS)	2156	90	0	N.P.	N.P.	Absence of rain or other precipitation

(*) Out of field survey

INFORMATION MEANS PREVENTION - SCAN QRCODE TO KNOW DAILY AVALANCHE DANGER LEVEL!

IL CAPO DEL CENTRO NAZIONALE METEOMONT
(Ten. Col. RFI Emanuela Gini)
FIRMA AUTOGRAFA OMESSA AI SENSI
DELL'ART.3 DEL D.LGS N.39/1993

According to EAWS standards Meteomont bulletin is a synoptic-scale system (regional scale). It shall be the user's responsibility to correlate the danger level evaluation of the bulletin with a detailed and expertise analysis of the zonal hazards (single slope), that could be markedly different. Meteorological forecast are issued at UTC (for Italy: in winter time UTC+1: in summer time UTC+2).

Bulletin is subjected to check processes through: the record of Observers and Avalanches and snow Experts data in C-Sifa; the validation by forecasters; the certification by Meteomont Section.