MINISTERO DELLA DIFESA

meteomont
Servizio Nazionale di previsione neve e valanghe

EAWS EUROPEAN AVALANCHE WARNING SERVICES

CARABINIERI

# ALPI RETICHE

Avalanche Bulletin N. 353/2026 issued at 14:00 on 20/02/2026
48 hours validity. Next issue on 21/02/2026

**By the METEOMONT Service of the ARMA dei CARABINIERI ITALY**
**In collaboration with Air Force Meteorological Service**

## Situation on 20/02/2026

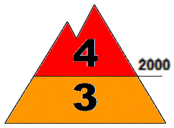


**DANGER PATTERNS: loose snow and wind.**




**DANGER PATTERNS: deep persistent weak layer.**

| Snow line (m.a.s.l.) | North | South |
|---|---|---|
| | 500 | 700 |

| Snow depth (cm) | ground snow | new snow | Elevation (m.a.s.l.) |
|---|---|---|---|
| | 75 | 1 | 2582 |
| | 91 | 12 | 2150 |

**REGISTERED AVALANCHES: Some large avalanches, Both types of surface avalanches.**

## FORECAST 21/02/2026

# Danger level: HIGH 4

## DANGER PATTERNS: loose snow and wind.

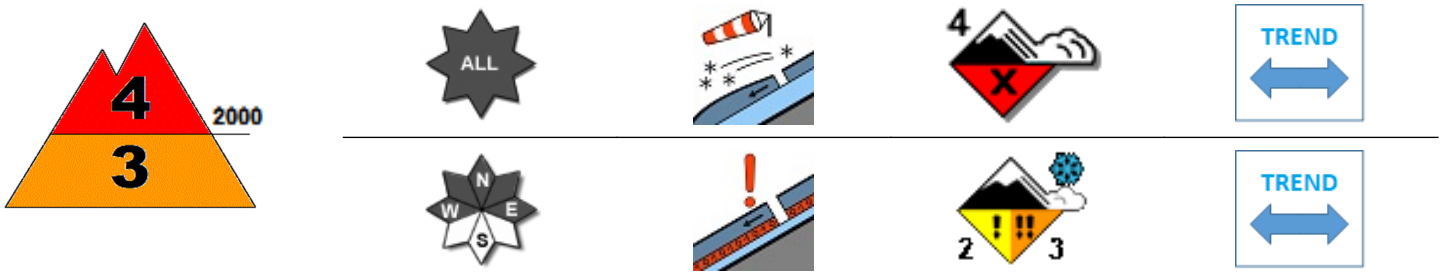


## DANGER PATTERNS: deep persistent weak layer.

**SNOWPACK: Snowpack stability is very poor on many points (areas) above 2000 m.a.s.l. All aspects are critical. large avalanches are possible.**
**Snowpack stability is poor on many points (areas) below 2000 m.a.s.l. All From west to east-facing slopes are critical. Medium avalanches are possible.**

## WARNING

Due to observed wind activity, avoid accumulation zones, bowls, gullies, irregular slopes and leeward slopes in general.

## EUROPEAN AVALANCHE WARNING SERVICE

## AVALANCHE PROBLEMS

According to EAWS standards Meteomont bulletin is a synoptic-scale system (regional scale). It shall be the user's responsibility to correlate the danger level evaluation of the bulletin with a detailed and expertise analysis of the zonal hazards (single slope), that could be markedly different. Meteorological forecast are issued at UTC (for Italy: in winter time UTC+1: in summer time UTC+2).

Bulletin is subjected to check processes through: the record of Observers and Avalanches and snow Experts data in C-Sifa; the validation by forecasters; the certification by Meteomont Section.

MINISTERO DELLA DIFESA

meteomont
Servizio Nazionale di previsione neve e valanghe

EAWS EUROPEAN AVALANCHE WARNING SERVICES

CARABINIERI

# ALPI RETICHE

## WEATHER FORECAST FOR

| Elevation | | 21/02/2026 h6:00 | 21/02/2026 h12:00 | 21/02/2026 h18:00 |
|---|---|---|---|---|
| 1000 | Wind | 03 Knots from N-West | 03 Knots from N-West | 04 Knots from N-West |
| | Temperatures | -01 °C | +00 °C | +01 °C |
| | Wind chill | -3 °C | -2 °C | -1 °C |
| 2000 | Wind | 03 Knots from N-West | 03 Knots from N-West | 04 Knots from N-West |
| | Temperatures | -01 °C | +00 °C | +01 °C |
| | Wind chill | -3 °C | -2 °C | -1 °C |
| 3000 | Wind | 18 Knots from N-West | 20 Knots from N-West | 21 Knots from North |
| | Temperatures | -08 °C | -07 °C | -06 °C |
| | Wind chill | -17 °C | -16 °C | -15 °C |
| Freezing level | | 1600-1800 m. | 2000-2200 m. | 2100-2300 m. |
| Atmospheric phenomenon | | — | — | — |
| Keys to sky condition | | | | |

## KEYS TO ATMOSPHERIC PHENOMENON

— Absence of adverse weather phenomena
Fog
Mist
Light rain
Moderate rain
Heavy rain
Thunderstorm
Weak snowfall
Moderate snowfall
Heavy snowfall

## KEYS TO SKY CONDITION

Clear
Partly cloudy
Cloudy
Mostly cloudy
Overcast

## Weather and snow data recorded during field and out of field obsevations on 20/02/2026.

| Observation field | District | Elevation (m.a.s.l.) | Snow depth (cm) | Snowfall in previous 24 hours (cm) | Temp. Min (°C) | Temp. Max (°C) | General weather conditions |
|---|---|---|---|---|---|---|---|
| SPONDA | Livigno (SO) | 2150 | 91 | 12 | -5 | -1 | Absence of rain or other precipitation |
| BORMIO2000-LECCIONA | Valdisotto (SO) | 2050 | 86 | 23 | -5 | -2 | Absence of rain or other precipitation |
| VALAR | Valdidentro (SO) | 1930 | 89 | 18 | N.P. | N.P. | Absence of rain or other precipitation |
| DOSSO DEL VALLONE | Valfurva (SO) | 2582 | 75 | Snow traces | -12 | -7 | Absence of rain or other precipitation |
| APRICA * | Corteno Golgi (BS) | 1199 | 25 | 0 | N.P. | N.P. | Absence of rain or other precipitation |
| PREDA | Edolo (BS) | 1580 | 56 | 16 | -1 | 0 | Absence of rain or other precipitation |
| COLONIA VIGILI | Ponte di Legno (BS) | 1640 | 87 | 30 | -9 | +1 | Absence of rain or other precipitation |
| PARÈ DI LIVIGNO * | Livigno (SO) | 2302 | 113 | 20 | N.P. | N.P. | Drifting snow (storm) on the station |

(*) Out of field survey

**INFORMATION MEANS PREVENTION - SCAN QRCODE TO KNOW DAILY AVALANCHE DANGER LEVEL!**

IL CAPO DEL CENTRO NAZIONALE METEOMONT
(Ten. Col. RFI Emanuela Gini)
FIRMA AUTOGRAFA OMESSA AI SENSI
DELL'ART.3 DEL D.LGS N.39/1993

According to EAWS standards Meteomont bulletin is a synoptic-scale system (regional scale). It shall be the user's responsibility to correlate the danger level evaluation of the bulletin with a detailed and expertise analysis of the zonal hazards (single slope), that could be markedly different. Meteorological forecast are issued at UTC (for Italy: in winter time UTC+1: in summer time UTC+2).

Bulletin is subjected to check processes through: the record of Observers and Avalanches and snow Experts data in C-Sifa; the validation by forecasters; the certification by Meteomont Section.