Monday 23.02.2026

Published 22 02 2026, 17:00

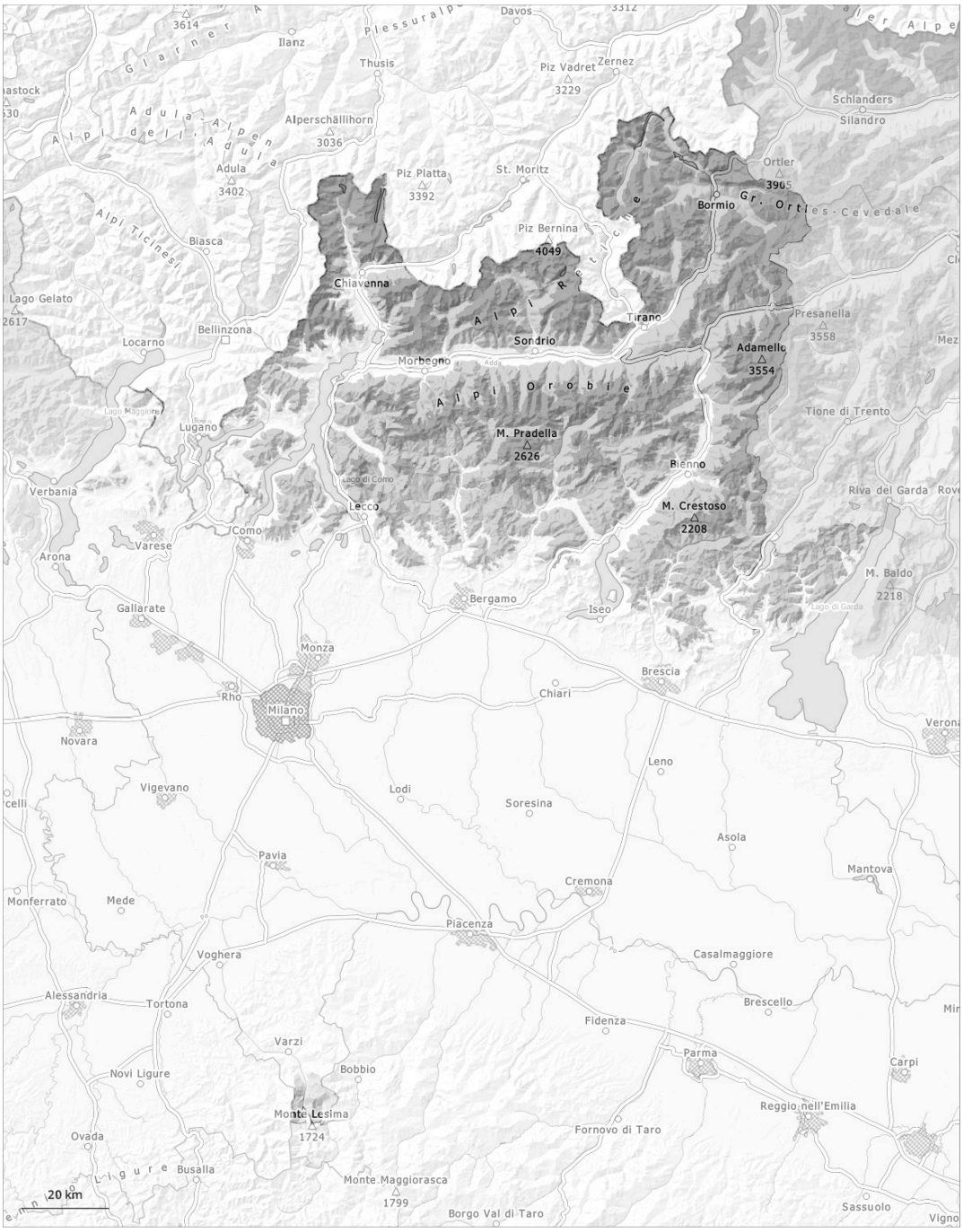

1	2	3	4	5
low	moderate	considerable	high	very high

Danger Level 3 - Considerable

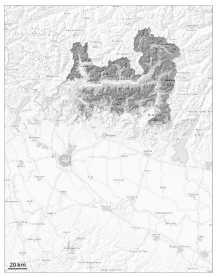

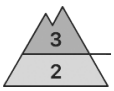

2100m

Tendency: Increasing avalanche danger
on Tuesday 24 02 2026

Persistent weak layer

2100m

Wind slab

Treeline

The snowpack will be prone to triggering above approximately 1700 m. New snow and wind slabs represent the main danger. Weak layers in the old snowpack necessitate defensive route selection.

Avalanches can be released easily. New snow and wind slabs require caution. Weak layers in the old snowpack can be released even easily by individual winter sport participants, especially on steep west, north and east facing slopes above the tree line as well as in areas close to the tree line. Avalanches can penetrate down to the ground and reach very large size. The avalanche prone locations are numerous difficult to recognise.
Whumpfing sounds and the formation of shooting cracks when stepping on the snowpack serve as an alarm indicating the danger. A high (level 4) danger of natural avalanches exists.

Snowpack

Danger patterns dp.6: cold, loose snow and wind | dp.1: deep persistent weak layer

The new snow and wind slabs are lying on surface hoar in particular on wind-protected shady slopes. Towards its base, the snowpack is faceted and weak. Avalanches can be released in deeper layers very easily.
In addition the fresh wind slabs adjacent to ridgelines and in gullies and bowls are easily triggered. Large to very large natural avalanches are possible on wind-loaded slopes.

Tendency

As a consequence of the new snow the prevalence of the avalanche prone locations will increase as the day progresses.

Danger Level 2 - Moderate

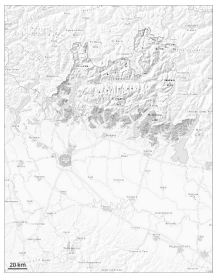

Tendency: Constant avalanche danger
on Tuesday 24 02 2026

Wind slab

1500m

Wet snow

1400m

Weak layers in the old snowpack necessitate caution and restraint. The wind slabs can be released easily or naturally in particular on steep shady slopes.

Dry avalanches can be released in deeper layers also.
The fresh snow and in particular the sometimes large wind slabs can be released by a single winter sport participant.

Snowpack

Danger patterns dp.6: cold, loose snow and wind | dp.1: deep persistent weak layer

Precarious weak layers exist in the old snowpack in particular on steep northwest, north and northeast facing slopes.

Danger Level 2 - Moderate

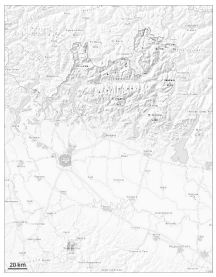

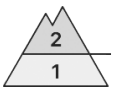

Tendency: Decreasing avalanche danger
on Tuesday 24 02 2026

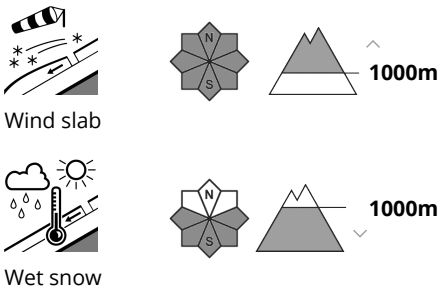

Especially adjacent to ridgelines and in gullies and bowls and on wind-loaded slopes small and medium-sized slab avalanches are possible. Single backcountry tourers can release avalanches in some places, including medium-sized ones. As a consequence of warming, the likelihood of moist loose snow avalanches being released will increase gradually in particular on steep south facing slopes at low and intermediate altitudes.

Avalanche prone locations for dry avalanches are to be found in particular on wind-loaded slopes.

Snowpack

Danger patterns dp.6: cold, loose snow and wind | dp.10: springtime scenario

Tendency

As a consequence of mild temperatures the snowpack will consolidate.