Monday 23.02.2026

Published 22 02 2026, 17:00

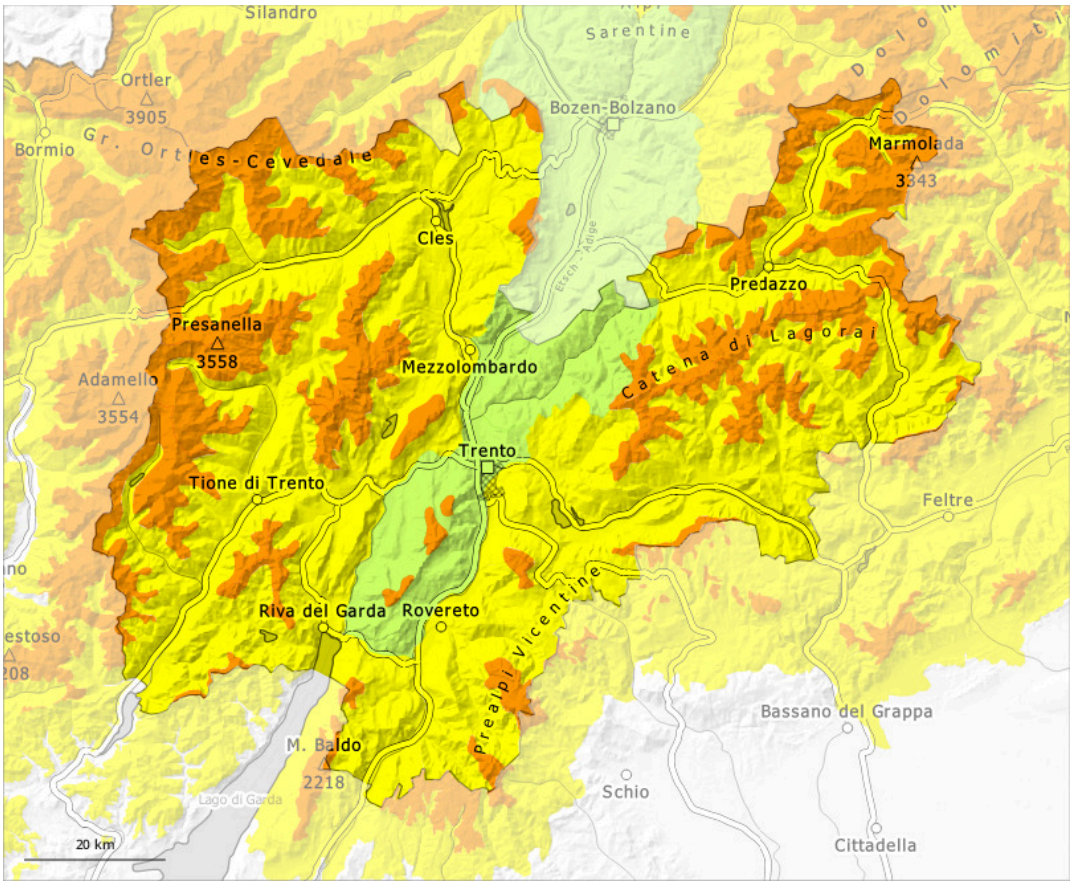

1	2	3	4	5
low	moderate	considerable	high	very high

Danger Level 3 - Considerable

Treeline

Tendency: Constant avalanche danger
on Tuesday 24 02 2026

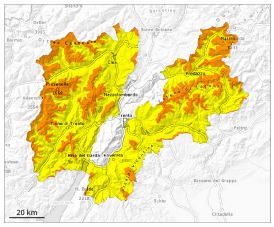

Wind slab

Treeline

Persistent weak layer

Treeline

Wet snow

The new snow and wind slabs represent the main danger. Outside marked and open pistes a very precarious avalanche situation will be encountered over a wide area.

The sometimes storm force wind has transported a lot of snow. Above the tree line avalanche prone wind slabs formed, especially adjacent to ridgelines and in pass areas in all altitude zones, as well as in gullies and bowls, and behind abrupt changes in the terrain at elevated altitudes.
On very steep sunny slopes medium-sized natural avalanches must be expected. In some places the avalanches can penetrate down to the ground and reach large size. Mostly the dry avalanches are medium-sized and can be released by a single winter sport participant.
Remotely triggered avalanches are possible. Whumpfing sounds and the formation of shooting cracks when stepping on the snowpack serve as an alarm indicating the danger.
The avalanche prone locations are prevalent and are barely recognisable, even to the trained eye. Backcountry touring calls for meticulous route selection.

Snowpack

Danger patterns dp.6: cold, loose snow and wind | dp.1: deep persistent weak layer

Over a wide area over a wide area 20 to 40 cm of snow, and up to 50 cm in some localities, has fallen since Thursday. The new snow and wind slabs are lying on top of a weakly bonded old snowpack in particular on steep shady slopes above the tree line. Distinct weak layers exist in the bottom section of the old snowpack. The meteorological conditions will foster a gradual weakening of the snowpack on sunny slopes. The snowpack remains unstable over a wide area, especially adjacent to ridgelines and in pass areas in all altitude zones, as well as in gullies and bowls, and behind abrupt changes in the terrain at elevated altitudes.

Tendency

The snowpack remains prone to triggering over a wide area. The avalanche danger will persist.

Danger Level 3 - Considerable

Treeline

Tendency: Constant avalanche danger
on Tuesday 24 02 2026

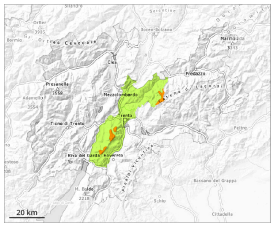

Persistent weak layer

Treeline

Wind slab

Treeline

Wet snow

1800m

Fresh wind slabs are to be evaluated critically. Weak layers in the old snowpack can be released in isolated cases.

Weak layers in the old snowpack can be released in isolated cases by individual winter sport participants especially in little used terrain. Caution is to be exercised in particular on steep west, north and east facing slopes above the tree line. The avalanche prone locations are difficult to recognise. Mostly avalanches are medium-sized.

In addition the wind slabs in gullies and bowls, and behind abrupt changes in the terrain are prone to triggering in some cases still. Such avalanche prone locations are to be found on north, east and southeast facing slopes above the tree line.

Restraint is advisable.

Snowpack

Danger patterns dp.1: deep persistent weak layer | dp.6: cold, loose snow and wind

The sometimes storm force wind has transported some snow. Sometimes avalanche prone wind slabs formed.

The snowpack will be in some cases prone to triggering. The new snow and wind slabs are lying on top of a weakly bonded old snowpack. This applies in particular on west, north and east facing slopes above the tree line.
The meteorological conditions will foster a gradual weakening of the snowpack on sunny slopes.

Tendency

Weak layers in the old snowpack represent the main danger.