MINISTERO DELLA DIFESA

meteomont Servizio Nazionale di previsione neve e valanghe

EAWS EUROPEAN AVALANCHE WARNING SERVICES

CARABINIERI

# ALPI OROBICHE

Avalanche Bulletin N. 353/2026 issued at 14:00 on 22/02/2026
48 hours validity. Next issue on 23/02/2026

**By the METEOMONT Service of the ARMA dei CARABINIERI ITALY**
**In collaboration with Air Force Meteorological Service**

## Situation on 22/02/2026

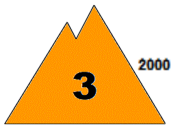


**DANGER PATTERNS: loose snow and wind.**

**DANGER PATTERNS: springtime situation.**

| Snow line (m.a.s.l.) | North | South |
|---|---|---|
| | 800 | 1000 |

| Snow depth (cm) | ground snow | new snow | Elevation (m.a.s.l.) |
|---|---|---|---|
| | 77 | 0 | 1760 |
| | 78 | 0 | 1635 |

**REGISTERED AVALANCHES: No avalanches detected.**

## FORECAST 23/02/2026

# Danger level: CONSIDERABLE 3

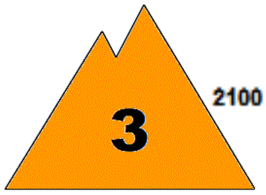


## DANGER PATTERNS: loose snow and wind.




## DANGER PATTERNS: springtime situation.

**SNOWPACK: Snowpack stability is poor on some points (areas) above 2100 m.a.s.l. All aspects are critical. large avalanches are possible.**
**Snowpack stability is poor on many points (areas) below 2100 m.a.s.l. All Sunny slopes are critical. Medium avalanches are possible.**

## WARNING

Due to daytime rising temperatures,careful evaluation of the timing of outdoor activities, in order to avoid crossing steep slopes during the warmest hours of the day , is required.

## EUROPEAN AVALANCHE WARNING SERVICE

## AVALANCHE PROBLEMS

According to EAWS standards Meteomont bulletin is a synoptic-scale system (regional scale). It shall be the user's responsibility to correlate the danger level evaluation of the bulletin with a detailed and expertise analysis of the zonal hazards (single slope), that could be markedly different. Meteorological forecast are issued at UTC (for Italy: in winter time UTC+1: in summer time UTC+2).

Bulletin is subjected to check processes through: the record of Observers and Avalanches and snow Experts data in C-Sifa; the validation by forecasters; the certification by Meteomont Section.

# ALPI OROBICHE

## WEATHER FORECAST FOR

| Elevation | | 23/02/2026 h6:00 | 23/02/2026 h12:00 | 23/02/2026 h18:00 |
|---|---|---|---|---|
| 1000 | Wind | 02 Knots from North | 01 Knots from N-West | 02 Knots from North |
| | Temperatures | +07 °C | +06 °C | +05 °C |
| | Wind chill | 7 °C | 6 °C | 5 °C |
| 2000 | Wind | 03 Knots from North | 02 Knots from N-West | 03 Knots from North |
| | Temperatures | +05 °C | +05 °C | +04 °C |
| | Wind chill | 4 °C | 5 °C | 3 °C |
| 3000 | Wind | 10 Knots from N-West | 07 Knots from N-West | 09 Knots from N-West |
| | Temperatures | -03 °C | -04 °C | -04 °C |
| | Wind chill | -9 °C | -9 °C | -10 °C |
| Freezing level | | 2200-2400 m. | 2400-2600 m. | 2300-2500 m. |
| Atmospheric phenomenon | | — | — | — |
| Keys to sky condition | | | | |

## KEYS TO ATMOSPHERIC PHENOMENON

— Absence of adverse weather phenomena
Fog
Mist
Light rain
Moderate rain
Heavy rain
Thunderstorm
Weak snowfall
Moderate snowfall
Heavy snowfall

## KEYS TO SKY CONDITION

Clear
Partly cloudy
Cloudy
Mostly cloudy
Overcast

## Weather and snow data recorded during field and out of field obsevations on 22/02/2026.

| Observation field | District | Elevation (m.a.s.l.) | Snow depth (cm) | Snowfall in previous 24 hours (cm) | Temp. Min (°C) | Temp. Max (°C) | General weather conditions |
|---|---|---|---|---|---|---|---|
| VODALA | Gromo (BG) | 1635 | 78 | 0 | +3 | +6 | Absence of rain or other precipitation |
| QUARTA BAITA | Foppolo (BG) | 1760 | 77 | 0 | 0 | +10 | Absence of rain or other precipitation |
| CIMA LAVAZZA * | Teglio (SO) | 2300 | 120 | 0 | N.P. | N.P. | Absence of rain or other precipitation |

(*) Out of field survey

**INFORMATION MEANS PREVENTION - SCAN QRCODE TO KNOW DAILY AVALANCHE DANGER LEVEL!**

**IL CAPO DEL CENTRO NAZIONALE METEOMONT**
**(Ten. Col. RFI Emanuela Gini)**
**FIRMA AUTOGRAFA OMESSA AI SENSI**
**DELL'ART.3 DEL D.LGS N.39/1993**

According to EAWS standards Meteomont bulletin is a synoptic-scale system (regional scale). It shall be the user's responsibility to correlate the danger level evaluation of the bulletin with a detailed and expertise analysis of the zonal hazards (single slope), that could be markedly different. Meteorological forecast are issued at UTC (for Italy: in winter time UTC+1: in summer time UTC+2).

Bulletin is subjected to check processes through: the record of Observers and Avalanches and snow Experts data in C-Sifa; the validation by forecasters; the certification by Meteomont Section.