MINISTERO DELLA DIFESA

meteomont Servizio Nazionale di previsione neve e valanghe

EAWS EUROPEAN AVALANCHE WARNING SERVICES

CARABINIERI

# GRAN SASSO EST - LAGA EST

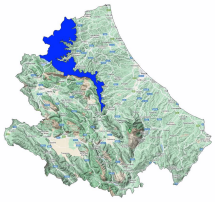

Avalanche Bulletin N. 342/2026 issued at 14:00 on 22/02/2026
48 hours validity. Next issue on 23/02/2026

**By the METEOMONT Service of the ARMA dei CARABINIERI ITALY**
**In collaboration with Air Force Meteorological Service**

## Situation on 22/02/2026

**DANGER PATTERNS: loose snow and wind.**

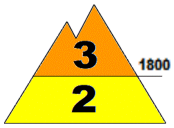


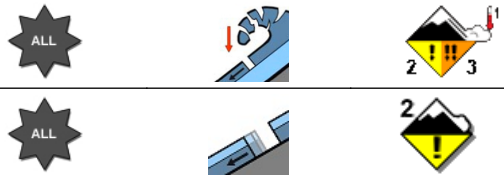


**DANGER PATTERNS: gliding snow.**

| Snow line (m.a.s.l.) | North | South |
|---|---|---|
| | 1200 - 1400 | 1300 - 1700 |

| Snow depth (cm) | ground snow | new snow | Elevation (m.a.s.l.) |
|---|---|---|---|
| | 000 | 000 | 1355 |
| | 000 | 000 | 1349 |

**REGISTERED AVALANCHES: No avalanches detected.**

## FORECAST 23/02/2026

# Danger level: CONSIDERABLE 3

## DANGER PATTERNS: loose snow and wind.

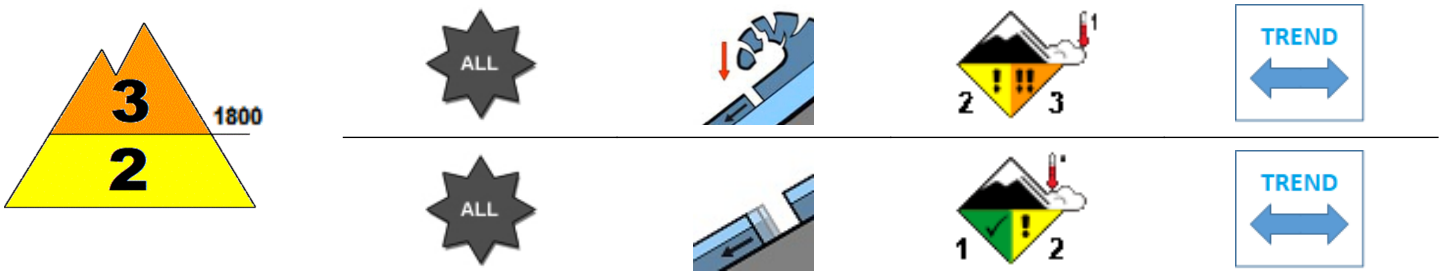


## DANGER PATTERNS: gliding snow.

**SNOWPACK: Snowpack stability is poor on some points (areas) above 1800 m.a.s.l. All aspects are critical. large avalanches are possible.**
**Snowpack stability is poor on some points (areas) below 1800 m.a.s.l. All aspects are critical. Medium avalanches are possible.**

## WARNING

Predicted temperature rise could trigger the release of cornices with resulting overloading of the slopes below.

## EUROPEAN AVALANCHE WARNING SERVICE

## AVALANCHE PROBLEMS

According to EAWS standards Meteomont bulletin is a synoptic-scale system (regional scale). It shall be the user's responsibility to correlate the danger level evaluation of the bulletin with a detailed and expertise analysis of the zonal hazards (single slope), that could be markedly different. Meteorological forecast are issued at UTC (for Italy: in winter time UTC+1: in summer time UTC+2).

Bulletin is subjected to check processes through: the record of Observers and Avalanches and snow Experts data in C-Sifa; the validation by forecasters; the certification by Meteomont Section.

MINISTERO DELLA DIFESA

meteomont
Servizio Nazionale di previsione neve e valanghe

EAWS EUROPEAN AVALANCHE WARNING SERVICES

CARABINIERI

# GRAN SASSO EST - LAGA EST

## WEATHER FORECAST FOR

| Elevation | | 23/02/2026 h6:00 | 23/02/2026 h12:00 | 23/02/2026 h18:00 |
|---|---|---|---|---|
| 1000 | Wind | 02 Knots from S-West | 02 Knots from S-West | 01 Knots from S-West |
| | Temperatures | +04 °C | +07 °C | +04 °C |
| | Wind chill | 4 °C | 7 °C | 4 °C |
| 2000 | Wind | 11 Knots from West | 08 Knots from West | 04 Knots from West |
| | Temperatures | +03 °C | +03 °C | +04 °C |
| | Wind chill | -1 °C | -1 °C | 2 °C |
| 3000 | Wind | 13 Knots from N-West | 08 Knots from N-West | 09 Knots from N-West |
| | Temperatures | +00 °C | +01 °C | +00 °C |
| | Wind chill | -6 °C | -3 °C | -5 °C |
| Freezing level | | 2900-3100 m. | 3000-3200 m. | 2900-3100 m. |
| Atmospheric phenomenon | | — | — | — |
| Keys to sky condition | | | | |

## KEYS TO ATMOSPHERIC PHENOMENON

— Absence of adverse weather phenomena
Fog
Mist
Light rain
Moderate rain
Heavy rain
Thunderstorm
Weak snowfall
Moderate snowfall
Heavy snowfall

## KEYS TO SKY CONDITION

Clear
Partly cloudy
Cloudy
Mostly cloudy
Overcast

## Weather and snow data recorded during field and out of field obsevations on 22/02/2026.

| Observation field | District | Elevation (m.a.s.l.) | Snow depth (cm) | Snowfall in previous 24 hours (cm) | Temp. Min (°C) | Temp. Max (°C) | General weather conditions |
|---|---|---|---|---|---|---|---|
| FAVACCHIOLE | Crognaleto (TE) | 1016 | 0 | 0 | 0 | +8 | Absence of rain or other precipitation |
| PRATO SELVA | Fano Adriano (TE) | 1355 | 0 | 0 | N.P. | N.P. | Absence of rain or other precipitation |
| CEPPO | Rocca Santa Maria (TE) | 1349 | 0 | 0 | +1 | +6 | Absence of rain or other precipitation |
| SAN PAOLO | Acquasanta Terme (AP) | 960 | 0 | 0 | 0 | +9 | Absence of rain or other precipitation |

(*) Out of field survey

**INFORMATION MEANS PREVENTION - SCAN QRCODE TO KNOW DAILY AVALANCHE DANGER LEVEL!**

**IL CAPO DEL CENTRO NAZIONALE METEOMONT**
**(Ten. Col. RFI Emanuela Gini)**
**FIRMA AUTOGRAFA OMESSA AI SENSI**
**DELL'ART.3 DEL D.LGS N.39/1993**

According to EAWS standards Meteomont bulletin is a synoptic-scale system (regional scale). It shall be the user's responsibility to correlate the danger level evaluation of the bulletin with a detailed and expertise analysis of the zonal hazards (single slope), that could be markedly different. Meteorological forecast are issued at UTC (for Italy: in winter time UTC+1: in summer time UTC+2).

Bulletin is subjected to check processes through: the record of Observers and Avalanches and snow Experts data in C-Sifa; the validation by forecasters; the certification by Meteomont Section.