MINISTERO DELLA DIFESA

meteomont Servizio Nazionale di previsione neve e valanghe

EAWS EUROPEAN AVALANCHE WARNING SERVICES

CARABINIERI

In collaborazione con: MARCHE

APPENNINO UMBRO-MARCHIG. MERID. - MONTI SIBILLINI

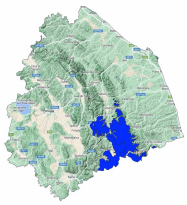

Avalanche Bulletin N. 308/2026 issued at 14:00 on 23/02/2026
48 hours validity. Next issue on 24/02/2026

By the METEOMONT Service of the ARMA dei CARABINIERI ITALY
In collaboration with Air Force Meteorological Service

Situation on 23/02/2026

DANGER PATTERNS: springtime situation.

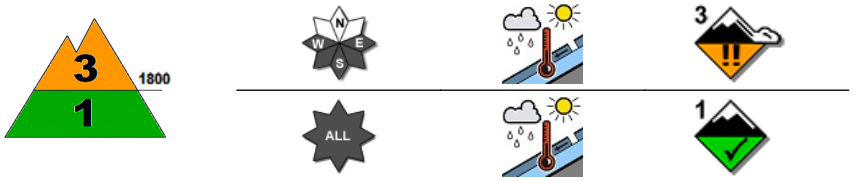

DANGER PATTERNS: springtime situation.

Snow line (m.a.s.l.)	North	South
	1500	1600

Snow depth (cm)	ground snow	new snow	Elevation (m.a.s.l.)
	100-150	00	2000
	40 - 60	00	1700

REGISTERED AVALANCHES: Small avalanches, Full-depth slab avalanches.

FORECAST 24/02/2026

Danger level: CONSIDERABLE 3

DANGER PATTERNS: springtime situation.



DANGER PATTERNS: springtime situation.

SNOWPACK: Snowpack stability is poor on many points (areas) above 1800 m.a.s.l. All From east to west-facing slopes are critical. medium avalanches are possible.
Snowpack stability is good on some points (areas) below 1800 m.a.s.l. All aspects are critical. Medium avalanches are possible.

WARNING

Due to daytime rising temperatures,careful evaluation of the timing of outdoor activities, in order to avoid crossing steep slopes during the warmest hours of the day , is required.

EUROPEAN AVALANCHE WARNING SERVICE

5 - VERY HIGH | 4 - HIGH | 3 - CONSIDERABLE | 2 - MODERATE | 1 - LOW | NO SNOW | NO INFO

AVALANCHE PROBLEMS

NEW SNOW | WIND - DRIFTED SNOW | PERSISTENT WEAK LAYERS | WET SNOW | GLIDING SNOW | SNOW CORNICES | NO EVIDENT AVALANCHE PROBLEM. | NO INFO

According to EAWS standards Meteomont bulletin is a synoptic-scale system (regional scale). It shall be the user's responsibility to correlate the danger level evaluation of the bulletin with a detailed and expertise analysis of the zonal hazards (single slope), that could be markedly different. Meteorological forecast are issued at UTC (for Italy: in winter time UTC+1: in summer time UTC+2).

Bulletin is subjected to check processes through: the record of Observers and Avalanches and snow Experts data in C-Sifa; the validation by forecasters; the certification by Meteomont Section.

MINISTERO DELLA DIFESA

meteomont
Servizio Nazionale di previsione neve e valanghe

EAWS EUROPEAN AVALANCHE WARNING SERVICES

CARABINIERI

In collaborazione con: MARCHE

APPENNINO UMBRO-MARCHIG. MERID. - MONTI SIBILLINI

WEATHER FORECAST FOR

Elevation		24/02/2026 h6:00	24/02/2026 h12:00	24/02/2026 h18:00
1000	Wind	02 Knots from West	02 Knots from North	02 Knots from N-West
	Temperatures	+05 °C	+11 °C	+07 °C
	Wind chill	5 °C	11 °C	7 °C
2000	Wind	05 Knots from N-West	05 Knots from N-West	04 Knots from North
	Temperatures	+06 °C	+06 °C	+05 °C
	Wind chill	4 °C	4 °C	3 °C
3000	Wind	11 Knots from North	09 Knots from N-West	09 Knots from N-West
	Temperatures	-01 °C	-01 °C	+00 °C
	Wind chill	-7 °C	-6 °C	-5 °C
Freezing level		2800-3000 m.	2800-3000 m.	2900-3100 m.
Atmospheric phenomenon		—	—	—
Keys to sky condition				

KEYS TO ATMOSPHERIC PHENOMENON

— Absence of adverse weather phenomena
Fog
Mist
Light rain
Moderate rain
Heavy rain
Thunderstorm
Weak snowfall
Moderate snowfall
Heavy snowfall

KEYS TO SKY CONDITION

Clear
Partly cloudy
Cloudy
Mostly cloudy
Overcast

Weather and snow data recorded during field and out of field obsevations on 23/02/2026.

Observation field	District	Elevation (m.a.s.l.)	Snow depth (cm)	Snowfall in previous 24 hours (cm)	Temp. Min (°C)	Temp. Max (°C)	General weather conditions
FORCA DI GUALDO	Castelsantangelo sul Nera (MC)	1496	50	0	0	+11	Absence of rain or other precipitation
LA VALLETTA	Bolognola (MC)	1352	0	0	-1	+8	Absence of rain or other precipitation
COLLE	Montegallo (AP)	1036	0	0	+4	+14	Absence of rain or other precipitation
PARCO GUARNIERI	Montemonaco (AP)	980	0	0	+6	+16	Absence of rain or other precipitation
RIFUGIO PERUGIA	Norcia (PG)	1500	0	0	-1	+11	Absence of rain or other precipitation
FRONTIGNANO *	Ussita (MC)	1589	10	0	N.P.	N.P.	Absence of rain or other precipitation

(*) Out of field survey

INFORMATION MEANS PREVENTION - SCAN QRCODE TO KNOW DAILY AVALANCHE DANGER LEVEL!

IL CAPO DEL CENTRO NAZIONALE METEOMONT
(Ten. Col. RFI Emanuela Gini)
FIRMA AUTOGRAFA OMESSA AI SENSI
DELL'ART.3 DEL D.LGS N.39/1993

According to EAWS standards Meteomont bulletin is a synoptic-scale system (regional scale). It shall be the user's responsibility to correlate the danger level evaluation of the bulletin with a detailed and expertise analysis of the zonal hazards (single slope), that could be markedly different. Meteorological forecast are issued at UTC (for Italy: in winter time UTC+1: in summer time UTC+2).

Bulletin is subjected to check processes through: the record of Observers and Avalanches and snow Experts data in C-Sifa; the validation by forecasters; the certification by Meteomont Section.