BUTLLETÍ DEL PERILL D'ALLAUS DEL PRINCIPAT D'ANDORRA

Servei meteorològic nacional
Principat d'Andorra

Prepared on 24/02/2026 16:00
Next update 25/02/2026 at 16 am

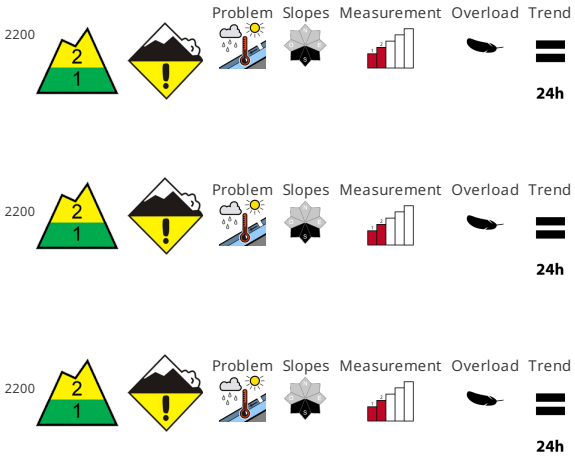

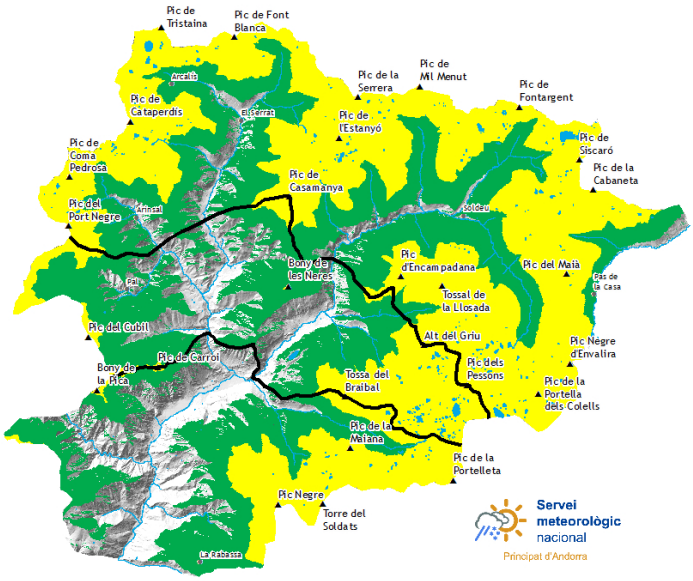

SNOW QUALITY

The avalanche conditions in the morning, after a clear night, are favourable over a wide area. As a consequence of warming during the day and solar radiation only isolated medium-sized moist slab avalanches are to be expected. From the middle of the day the likelihood of moist avalanches being released will increase significantly in particular on steep sunny slopes. This applies in particular at the base of rock walls, as well as in steep rocky terrain. Gliding avalanches can also occur at any time. In steep terrain there is a danger of falling on the hard crust.

STABILITY OF THE SNOW MANTLE

The conditions are spring-like. Outgoing longwave radiation during the night will be good. The surface of the snowpack will freeze to form a strong crust and will soften during the day. Snow depths vary greatly above approximately 2500 m, depending on the infuence of the wind. Areas with glide cracks are to be avoided.

OFF-PISTE SNOW COVER THICKNESSES

North zone		Snow thickness		
Snowpack		1500m	2000m	2500m
N	1400 m	30 cm	150 cm	200 cm
S	1800 m	0 cm	100 cm	150 cm

Center area		Snow thickness		
Snowpack		1500m	2000m	2500m
N	1400 m	20 cm	150 cm	200 cm
S	1800 m	0 cm	100 cm	150 cm

South zone		Snow thickness		
Snowpack		1500m	2000m	2500m
N	1400 m	20 cm	120 cm	150 cm
S	1800 m	0 cm	60 cm	100 cm

Detailed information for protected areas

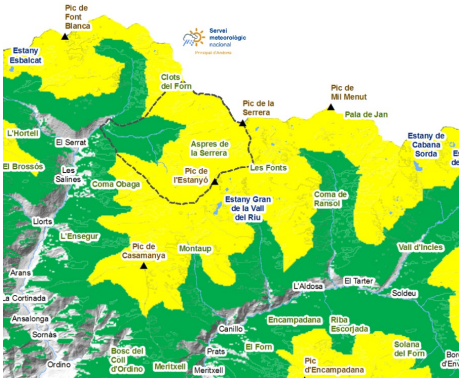

SORTENY

We find snow on all the roads from Llorts and access with skis to the Refuge can be done as it has not been seen for so many weeks in a row for years. We will have to follow the recommendations of the stability of the snow cover to avoid putting ourselves in danger on the more inclined southern slopes.

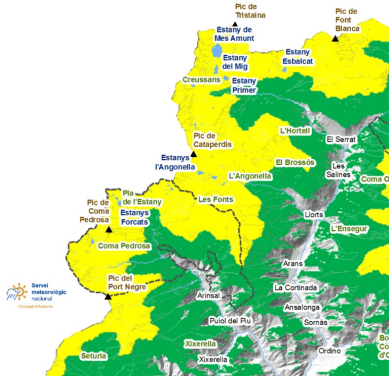

COMAPEDROSA

At low altitudes the snow has compacted and reduced its thickness due to humidification. We will have to be careful not to slip because of the frost crust. The distribution of the snow is very irregular due to the wind. On the slopes facing east, such as the access from Arinsal via Port Negre (Sanfons), we will have to take extreme precautions not to trigger wet patches that may still come down formed by the wind of the last episodes.

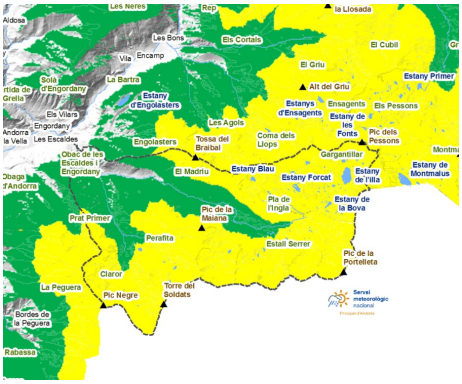

MADRIU-PERAFITA-CLAROR

On the eastern slopes you have to drive with more caution, as this is where the most important accumulations of wind-blown snow are and they can still come down in the form of a wet plate. At high altitudes the wind left the hard snow exposed and with difficult conditions to descend on some occasions, as it is often encrusted. On the southern slopes and at low altitudes the conditions are spring-like, hard snow in the morning and snow in the afternoon.

BUTLLETÍ DEL PERILL D'ALLAUS DEL PRINCIPAT D'ANDORRA

Servei meteorològic nacional
Principat d'Andorra

Thick snow in recent days (last 24 hours measured at 06:00 UTC)

	20/02/2026	21/02/2026	22/02/2026	23/02/2026
FEDA (Central)	0 cm	0 cm	0 cm	0 cm
Engolasters - FEDA	0 cm	0 cm	0 cm	0 cm
Bony de les Neres	0 cm	0 cm	0 cm	0 cm
Sorteny	0 cm	0 cm	0 cm	0 cm
Perafita	0 cm	0 cm	0 cm	0 cm
Tossa Espiolets	0 cm	0 cm	0 cm	0 cm
Grau Roig - FEDA	0 cm	0 cm	0 cm	0 cm
Fontverd	0 cm	0 cm	0 cm	0 cm
Ransol - FEDA	0 cm	0 cm	0 cm	0 cm
Setúria	0 cm	0 cm	0 cm	0 cm
Caborreu	0 cm	0 cm	0 cm	0 cm
La Solana	0 cm	0 cm	0 cm	0 cm
Envalira Antenes	0 cm	0 cm	0 cm	0 cm
Vall del Riu FEDA	0 cm	0 cm	0 cm	0 cm