MINISTERO DELLA DIFESA

meteomont Servizio Nazionale di previsione neve e valanghe

EAWS EUROPEAN AVALANCHE WARNING SERVICES

CARABINIERI

In collaborazione con: arpav

DOLOMITI SETTENTRIONALI

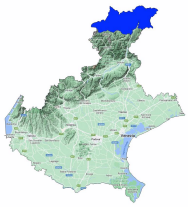

Avalanche Bulletin N. 355/2026 issued at 14:00 on 24/02/2026
48 hours validity. Next issue on 25/02/2026

By the METEOMONT Service of the ARMA dei CARABINIERI ITALY
In collaboration with Air Force Meteorological Service

Situation on 24/02/2026

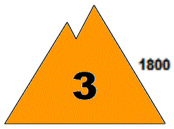

DANGER PATTERNS: loose snow and wind.

DANGER PATTERNS: springtime situation.

Snow line (m.a.s.l.)	North	South
	800 - 1100	800 - 1400

Snow depth (cm)	ground snow	new snow	Elevation (m.a.s.l.)
	101	00	2592
	78	00	1530

REGISTERED AVALANCHES: Some large avalanches, Both types of surface avalanches.

FORECAST 25/02/2026

Danger level: CONSIDERABLE 3

DANGER PATTERNS: loose snow and wind.

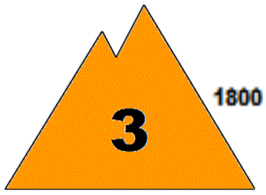



DANGER PATTERNS: springtime situation.

SNOWPACK: Snowpack stability is poor on some points (areas) above 1800 m.a.s.l. All aspects are critical. large avalanches are possible.
Snowpack stability is poor on some points (areas) below 1800 m.a.s.l. All Sunny slopes are critical. Large avalanches are possible.

WARNING

Due to observed wind activity, avoid accumulation zones, bowls, gullies, irregular slopes and leeward slopes in general.

EUROPEAN AVALANCHE WARNING SERVICE

AVALANCHE PROBLEMS

According to EAWS standards Meteomont bulletin is a synoptic-scale system (regional scale). It shall be the user's responsibility to correlate the danger level evaluation of the bulletin with a detailed and expertise analysis of the zonal hazards (single slope), that could be markedly different. Meteorological forecast are issued at UTC (for Italy: in winter time UTC+1: in summer time UTC+2).

Bulletin is subjected to check processes through: the record of Observers and Avalanches and snow Experts data in C-Sifa; the validation by forecasters; the certification by Meteomont Section.

MINISTERO DELLA DIFESA

meteomont
Servizio Nazionale di previsione neve e valanghe

EAWS EUROPEAN AVALANCHE WARNING SERVICES

CARABINIERI

In collaborazione con: arpav

DOLOMITI SETTENTRIONALI

WEATHER FORECAST FOR

Elevation		25/02/2026 h6:00	25/02/2026 h12:00	25/02/2026 h18:00
1000	Wind	01 Knots from N-West	01 Knots from West	02 Knots from North
	Temperatures	+01 °C	+04 °C	+04 °C
	Wind chill	1 °C	4 °C	4 °C
2000	Wind	02 Knots from N-West	02 Knots from N-West	03 Knots from North
	Temperatures	+02 °C	+04 °C	+06 °C
	Wind chill	2 °C	4 °C	5 °C
3000	Wind	09 Knots from N-West	09 Knots from North	07 Knots from North
	Temperatures	-01 °C	+01 °C	+02 °C
	Wind chill	-6 °C	-3 °C	-2 °C
Freezing level		2400-2600 m.	3000-3200 m.	3100-3300 m.
Atmospheric phenomenon		—	—	—
Keys to sky condition				

KEYS TO ATMOSPHERIC PHENOMENON

— Absence of adverse weather phenomena
Fog
Mist
Light rain
Moderate rain
Heavy rain
Thunderstorm
Weak snowfall
Moderate snowfall
Heavy snowfall

KEYS TO SKY CONDITION

Clear
Partly cloudy
Cloudy
Mostly cloudy
Overcast

Weather and snow data recorded during field and out of field obsevations on 24/02/2026.

Observation field	District	Elevation (m.a.s.l.)	Snow depth (cm)	Snowfall in previous 24 hours (cm)	Temp. Min (°C)	Temp. Max (°C)	General weather conditions
MISURINA	Auronzo di Cadore (BL)	1759	66	0	-6	+19	Absence of rain or other precipitation
MONTE AGUDO	Auronzo di Cadore (BL)	1530	78	0	-3	+6	Absence of rain or other precipitation
MONTE FALORIA	Cortina d'Ampezzo (BL)	2119	84	0	-2	+16	Absence of rain or other precipitation
COL DELLA TENDA	Comelico Superiore (BL)	1930	95	0	-1	+15	Absence of rain or other precipitation
FELIZON *	Cortina d'Ampezzo (BL)	1439	78	0	N.P.	N.P.	Absence of rain or other precipitation
PLATTINGER *	Sarentino (BZ)	2182	112	0	N.P.	N.P.	Absence of rain or other precipitation
MERANO - 2000 *	Avelengo (BZ)	2234	100	0	N.P.	N.P.	Absence of rain or other precipitation

(*) Out of field survey

INFORMATION MEANS PREVENTION - SCAN QRCODE TO KNOW DAILY AVALANCHE DANGER LEVEL!

IL CAPO DEL CENTRO NAZIONALE METEOMONT
(Ten. Col. RFI Emanuela Gini)
FIRMA AUTOGRAFA OMESSA AI SENSI
DELL'ART.3 DEL D.LGS N.39/1993

According to EAWS standards Meteomont bulletin is a synoptic-scale system (regional scale). It shall be the user's responsibility to correlate the danger level evaluation of the bulletin with a detailed and expertise analysis of the zonal hazards (single slope), that could be markedly different. Meteorological forecast are issued at UTC (for Italy: in winter time UTC+1: in summer time UTC+2).

Bulletin is subjected to check processes through: the record of Observers and Avalanches and snow Experts data in C-Sifa; the validation by forecasters; the certification by Meteomont Section.