Thursday 26.02.2026

Published 25 02 2026, 17:00

AM

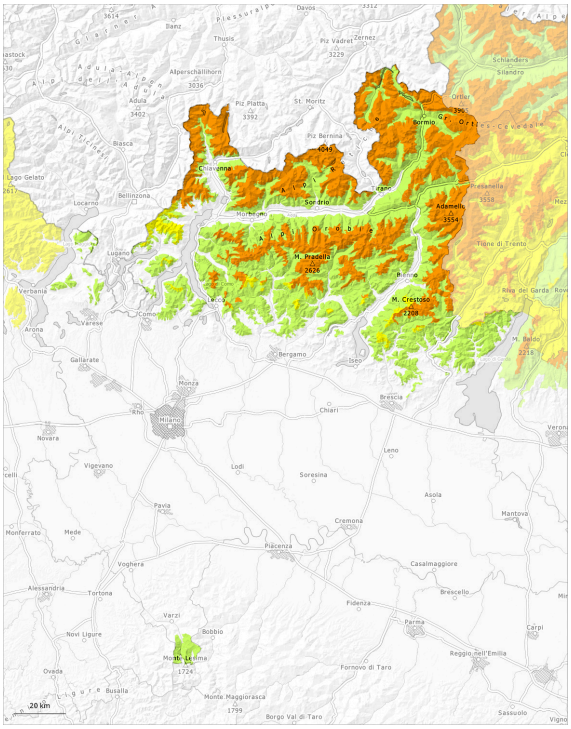

PM

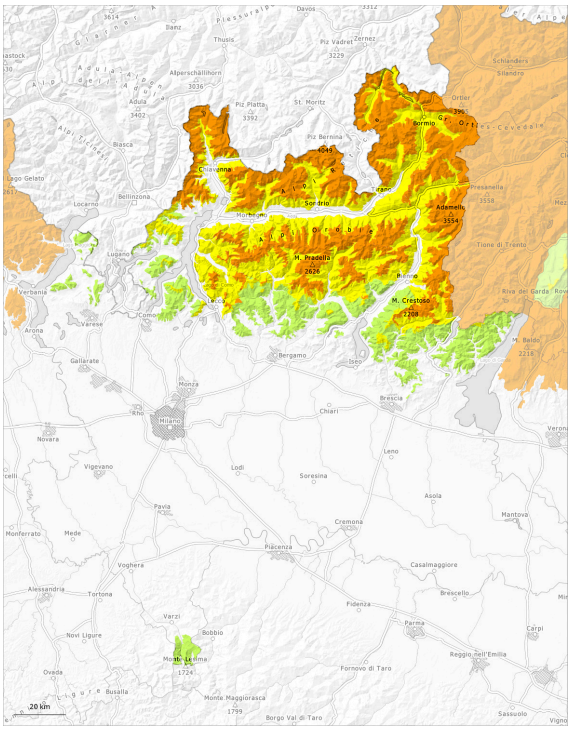

1	2	3	4	5
low	moderate	considerable	high	very high

Danger Level 3 - Considerable

AM:

Treeline

Tendency: Constant avalanche danger
on Friday 27 02 2026

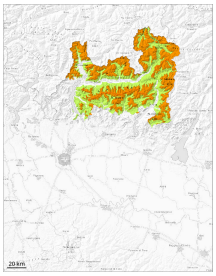

Wind slab

Treeline

Persistent weak layer

Treeline

Wet snow

2000m

PM:

2000m

Tendency: Constant avalanche danger
on Friday 27 02 2026

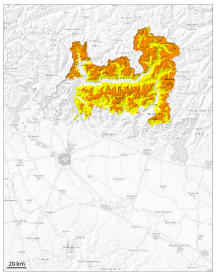

Wet snow

2000m

Wind slab

Treeline

Persistent weak layer

Treeline

The snowpack will be prone to triggering above approximately 1800 m. Wind slabs and weakly bonded old snow represent the main danger. Weak layers in the old snowpack necessitate defensive route selection.
As a consequence of warming during the day, the likelihood of moist avalanches being released will increase on south facing slopes below approximately 2500 m.

Wind slabs require caution. Weak layers in the old snowpack can be released even easily by individual winter sport participants, especially on steep west, north and east facing slopes at high altitudes and in

high Alpine regions. Avalanches can penetrate down to the ground and reach very large size. The avalanche prone locations are prevalent barely recognisable for beginners.
Whumpfing sounds and the formation of shooting cracks when stepping on the snowpack serve as an alarm indicating the danger.
As a consequence of warming during the day, the likelihood of moist and wet avalanches being released will increase on south facing slopes below approximately 2500 m.

Snowpack

Danger patterns dp.4: cold following warm / warm following cold | dp.1: deep persistent weak layer

The new snow and wind slabs are lying on surface hoar in particular on wind-protected shady slopes. Towards its base, the snowpack is faceted and weak. Avalanches can be released in deeper layers also. In addition the fresh wind slabs adjacent to ridgelines and in gullies and bowls are easily triggered. Large natural avalanches are possible on wind-loaded slopes.

Tendency

As a consequence of warming during the day the prevalence of the avalanche prone locations will increase as the day progresses.

Danger Level 2 - Moderate

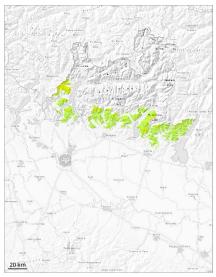

1500m

Tendency: Constant avalanche danger
on Friday 27 02 2026

Wind slab

1500m

Wet snow

1000m

The wind slabs can be released easily. or in isolated cases naturally, in particular on steep shady slopes. Weak layers in the old snowpack necessitate caution and restraint.
As a consequence of warming moist small and medium sized avalanches are to be expected.

Dry avalanches can be released in deeper layers also.
And in particular the sometimes large wind slabs can be released by a single winter sport participant.
As a consequence of warming during the day, the likelihood of moist and wet avalanches being released will increase on south facing slopes below approximately 2500 m.

Snowpack

Danger patterns dp.6: cold, loose snow and wind | dp.10: springtime scenario

Precarious weak layers exist in the old snowpack in particular on steep northwest, north and northeast facing slopes.

Tendency

As a consequence of warming during the day the prevalence of the avalanche prone locations will increase as the day progresses.

Danger Level 1 - Low

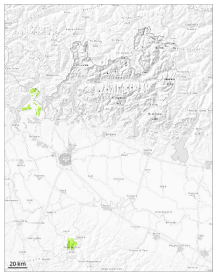

Tendency: Constant avalanche danger
on Friday 27 02 2026

Wet snow

As a consequence of warming, the likelihood of moist and wet avalanches being released will increase gradually in particular on steep south facing slopes at low and intermediate altitudes.

As a consequence of warming, the likelihood of moist avalanches being released will increase gradually on steep south facing slopes at low and intermediate altitudes.
Single backcountry tourers can release avalanches in some places, including medium-sized ones.

Snowpack

Danger patterns dp.10: springtime scenario

Tendency

As a consequence of mild temperatures the snowpack will consolidate.