BUTLLETÍ DEL PERILL D'ALLAUS DEL PRINCIPAT D'ANDORRA

Servei meteorològic nacional
Principat d'Andorra

Prepared on 25/02/2026 16:00
Next update 26/02/2026 at 16 am

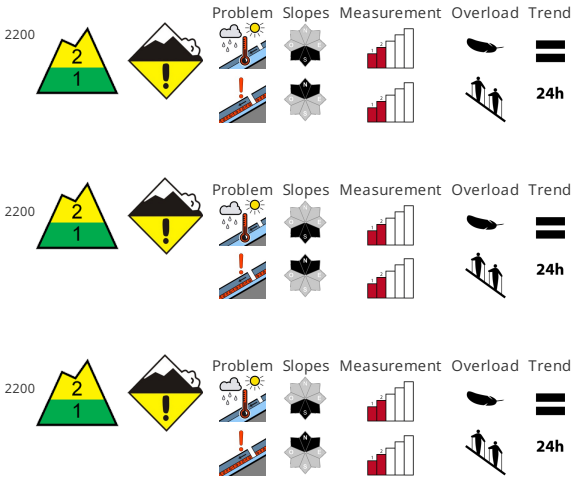

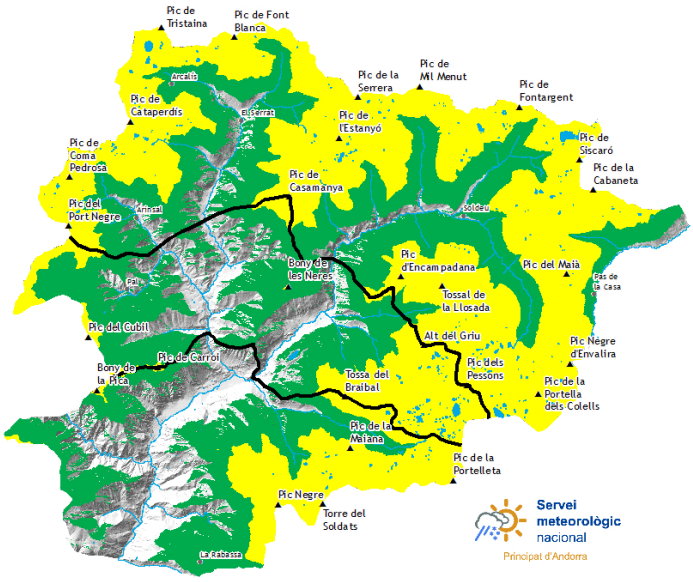

SNOW QUALITY

The avalanche conditions in the morning, after a clear night, are favourable over a wide area. Weak layers exist in the centre of the snowpack also on very steep north facing slopes. These can in isolated cases be released by large loads and reach medium size. Maintaining distances between individuals is recommended. From the middle of the day the likelihood of moist avalanches being released will increase significantly in particular on steep sunny slopes. This applies in particular at the base of rock walls, as well as in steep rocky terrain. Gliding avalanches can also occur at any time. In steep terrain there is a danger of falling on the hard crust.

STABILITY OF THE SNOW MANTLE

The conditions are spring-like. Outgoing longwave radiation during the night will be good. The surface of the snowpack will freeze to form a strong crust and will soften during the day. This applies on steep southeast, south and southwest facing slopes. Snow depths vary greatly above approximately 2500 m , depending on the infuence of the wind. Areas with glide cracks are to be avoided.

OFF-PISTE SNOW COVER THICKNESSES

North zone		Snow thickness		
Snowpack		1500m	2000m	2500m
N	1400 m	30 cm	150 cm	200 cm
S	1800 m	0 cm	100 cm	150 cm

Center area		Snow thickness		
Snowpack		1500m	2000m	2500m
N	1400 m	20 cm	150 cm	200 cm
S	1800 m	0 cm	100 cm	150 cm

South zone		Snow thickness		
Snowpack		1500m	2000m	2500m
N	1400 m	20 cm	120 cm	150 cm
S	1800 m	0 cm	60 cm	100 cm

Govern d'Andorra

EAWS
EUROPEAN AVALANCHE WARNING SERVICES

Aquest butlletí ha estat elaborat seguint les normes i recomanacions de l'**European Avalanche Warning Services**, del qual el **Servei meteorològic Nacional** n'és membre

Detailed information for protected areas

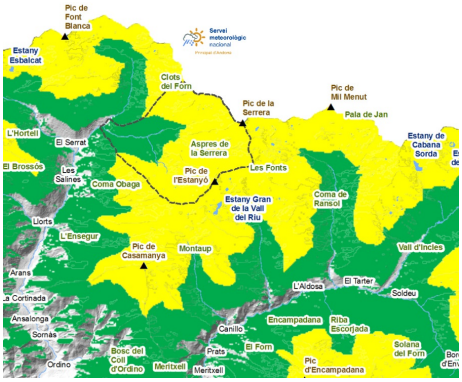

SORTENY

We find snow on all the roads from Llorts and access with skis to the Refuge can be done as it has not been seen for so many weeks in a row for years. Above the lake, on the northern slopes we find persistent weak layers hidden under the powder snow. These persistent weak layers could trigger medium slab avalanches that could create significant snow cuts or scars that could have serious consequences. Therefore, although this type of stability has only been identified on the steepest slopes, above 2,400 meters and oriented to the north (obacs), we must take it into account to choose our itinerary safely.

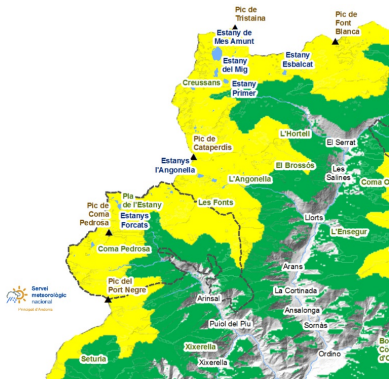

COMAPEDROSA

At low altitudes the snow has compacted and reduced its thickness due to humidification. We will have to be careful not to slip because of the frost crust. The distribution of the snow is very irregular due to the wind. On the more inclined northern slopes we will have to drive with caution and keeping a safe distance to avoid activating the persistent weak layers.

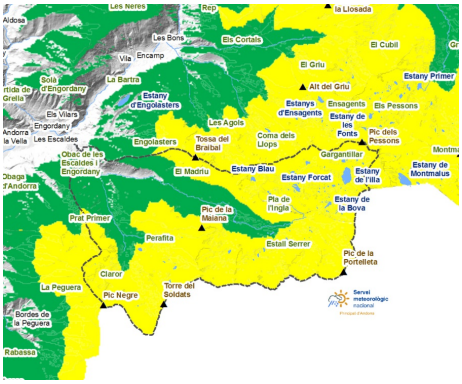

MADRIU-PERAFITA-CLAROR

On the southern slopes and at low altitudes the conditions are spring-like, hard snow in the morning and soft snow in the afternoon, with typical forms of melting when the sun hits perpendicular to the slope. On the northern slopes and flat areas the snow remains powdery.

BUTLLETÍ DEL PERILL D'ALLAUS DEL PRINCIPAT D'ANDORRA

Servei meteorològic nacional
Principat d'Andorra

Thick snow in recent days (last 24 hours measured at 06:00 UTC)

	21/02/2026	22/02/2026	23/02/2026	24/02/2026
FEDA (Central)	0 cm	0 cm	0 cm	0 cm
Engolasters - FEDA	0 cm	0 cm	0 cm	0 cm
Bony de les Neres	0 cm	0 cm	0 cm	0 cm
Sorteny	0 cm	0 cm	0 cm	0 cm
Perafita	0 cm	0 cm	0 cm	0 cm
Tossa Espiolets	0 cm	0 cm	0 cm	0 cm
Grau Roig - FEDA	0 cm	0 cm	0 cm	0 cm
Fontverd	0 cm	0 cm	0 cm	0 cm
Ransol - FEDA	0 cm	0 cm	0 cm	0 cm
Setúria	0 cm	0 cm	0 cm	0 cm
Caborreu	0 cm	0 cm	0 cm	0 cm
La Solana	0 cm	0 cm	0 cm	0 cm
Envalira Antenes	0 cm	0 cm	0 cm	0 cm
Vall del Riu FEDA	0 cm	0 cm	0 cm	0 cm