MINISTERO DELLA DIFESA

meteomont Servizio Nazionale di previsione neve e valanghe

EAWS EUROPEAN AVALANCHE WARNING SERVICES

CARABINIERI

In collaborazione con: arpav

# PREALPI

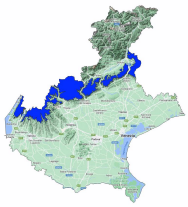

Avalanche Bulletin N. 353/2026 issued at 14:00 on 25/02/2026
48 hours validity. Next issue on 26/02/2026

**By the METEOMONT Service of the ARMA dei CARABINIERI ITALY**
**In collaboration with Air Force Meteorological Service**

## Situation on 25/02/2026

**DANGER PATTERNS: loose snow and wind.**

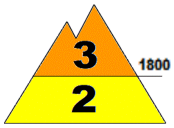

**DANGER PATTERNS: springtime situation.**

| Snow line (m.a.s.l.) | North | South |
|---|---|---|
| | 1000 - 1200 | 1200 - 1400 |

| Snow depth (cm) | ground snow | new snow | Elevation (m.a.s.l.) |
|---|---|---|---|
| | 122 | 000 | 1828 |
| | 95 | 00 | 1460 |

**REGISTERED AVALANCHES: No avalanches detected.**

## FORECAST 26/02/2026

# Danger level: CONSIDERABLE 3

## DANGER PATTERNS: loose snow and wind.

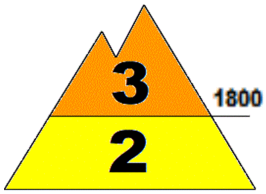





## DANGER PATTERNS: springtime situation.

**SNOWPACK: Snowpack stability is poor on some points (areas) above 1800 m.a.s.l. All aspects are critical. large avalanches are possible.**
**Snowpack stability is moderate on some points (areas) below 1800 m.a.s.l. All South-facing slopes are critical. Medium avalanches are possible.**

## WARNING

Due to daytime rising temperatures,careful evaluation of the timing of outdoor activities, in order to avoid crossing steep slopes during the warmest hours of the day , is required.

## EUROPEAN AVALANCHE WARNING SERVICE

## AVALANCHE PROBLEMS

According to EAWS standards Meteomont bulletin is a synoptic-scale system (regional scale). It shall be the user's responsibility to correlate the danger level evaluation of the bulletin with a detailed and expertise analysis of the zonal hazards (single slope), that could be markedly different. Meteorological forecast are issued at UTC (for Italy: in winter time UTC+1: in summer time UTC+2).

Bulletin is subjected to check processes through: the record of Observers and Avalanches and snow Experts data in C-Sifa; the validation by forecasters; the certification by Meteomont Section.

MINISTERO DELLA DIFESA

meteomont
Servizio Nazionale di previsione neve e valanghe

EAWS EUROPEAN AVALANCHE WARNING SERVICES

CARABINIERI

In collaborazione con: arpav

# PREALPI

## WEATHER FORECAST FOR

| Elevation | | 26/02/2026 h6:00 | 26/02/2026 h12:00 | 26/02/2026 h18:00 |
|---|---|---|---|---|
| 1000 | Wind | 01 Knots from S-West | 01 Knots from West | 01 Knots from West |
| | Temperatures | +06 °C | +06 °C | +06 °C |
| | Wind chill | 6 °C | 6 °C | 6 °C |
| 2000 | Wind | 03 Knots from West | 02 Knots from West | 02 Knots from N-East |
| | Temperatures | +06 °C | +06 °C | +07 °C |
| | Wind chill | 5 °C | 6 °C | 7 °C |
| 3000 | Wind | 05 Knots from West | 04 Knots from West | 02 Knots from N-West |
| | Temperatures | +01 °C | +01 °C | +02 °C |
| | Wind chill | -2 °C | -1 °C | 2 °C |
| Freezing level | | 3100-3300 m. | 3100-3300 m. | 3200-3400 m. |
| Atmospheric phenomenon | | — | — | — |
| Keys to sky condition | | | | |

## KEYS TO ATMOSPHERIC PHENOMENON

— Absence of adverse weather phenomena
Fog
Mist
Light rain
Moderate rain
Heavy rain
Thunderstorm
Weak snowfall
Moderate snowfall
Heavy snowfall

## KEYS TO SKY CONDITION

Clear
Partly cloudy
Cloudy
Mostly cloudy
Overcast

## Weather and snow data recorded during field and out of field obsevations on 25/02/2026.

| Observation field | District | Elevation (m.a.s.l.) | Snow depth (cm) | Snowfall in previous 24 hours (cm) | Temp. Min (°C) | Temp. Max (°C) | General weather conditions |
|---|---|---|---|---|---|---|---|
| M.TE PIZZOC 1556 * | Tambre (BL) | 1556 | 45 | 0 | +0 | +2 | Absence of rain or other precipitation |
| GALLIO - BUSA FONDA | Gallio (VI) | 1460 | 87 | 0 | 0 | +15 | Absence of rain or other precipitation |
| MONTI LESSINI - MALGA SAN GIORGIO | Bosco Chiesanuova (VR) | 1461 | 58 | 0 | -1 | +11 | Absence of rain or other precipitation |
| MONTE BALDO | Malcesine (VR) | 1828 | 112 | 0 | -2 | +9 | Absence of rain or other precipitation |
| VALON DI MALERA LESSINIA * | Bosco Chiesanuova (VR) | 1684 | 75 | 0 | N.P. | N.P. | Absence of rain or other precipitation |

(*) Out of field survey

**INFORMATION MEANS PREVENTION - SCAN QRCODE TO KNOW DAILY AVALANCHE DANGER LEVEL!**

IL CAPO DEL CENTRO NAZIONALE METEOMONT
(Ten. Col. RFI Emanuela Gini)
FIRMA AUTOGRAFA OMESSA AI SENSI
DELL'ART.3 DEL D.LGS N.39/1993

According to EAWS standards Meteomont bulletin is a synoptic-scale system (regional scale). It shall be the user's responsibility to correlate the danger level evaluation of the bulletin with a detailed and expertise analysis of the zonal hazards (single slope), that could be markedly different. Meteorological forecast are issued at UTC (for Italy: in winter time UTC+1: in summer time UTC+2).

Bulletin is subjected to check processes through: the record of Observers and Avalanches and snow Experts data in C-Sifa; the validation by forecasters; the certification by Meteomont Section.