MINISTERO DELLA DIFESA

meteomont
Servizio Nazionale di previsione neve e valanghe

EAWS EUROPEAN AVALANCHE WARNING SERVICES

CARABINIERI

# ALPI GIULIE

Avalanche Bulletin N. 358/2026 issued at 14:00 on 26/02/2026
48 hours validity. Next issue on 27/02/2026

**By the METEOMONT Service of the ARMA dei CARABINIERI ITALY**
**In collaboration with Air Force Meteorological Service**

## Situation on 26/02/2026

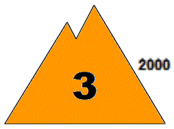


**DANGER PATTERNS: shallow snow next to deep snow.**




**DANGER PATTERNS: springtime situation.**

| Snow line (m.a.s.l.) | North | South |
|---|---|---|
| | 700 - 800 | 1100 - 1300 |

| Snow depth (cm) | ground snow | new snow | Elevation (m.a.s.l.) |
|---|---|---|---|
| | 117 | 000 | 1750 |
| | 82 | 00 | 1130 |

**REGISTERED AVALANCHES: Small avalanches, Surface loose snow avalanches.**

## FORECAST 27/02/2026

# Danger level: CONSIDERABLE 3

## DANGER PATTERNS: shallow snow next to deep snow.

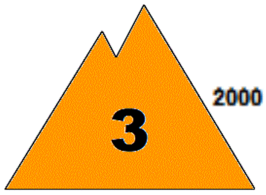





## DANGER PATTERNS: springtime situation.

**SNOWPACK: Snowpack stability is very poor on some points (areas) above 2000 m.a.s.l. All From west to east-facing slopes are critical. medium avalanches are possible.**
**Snowpack stability is poor on many points (areas) below 2000 m.a.s.l. All From east to west-facing slopes are critical. Medium avalanches are possible.**

## WARNING

Due to daytime rising temperatures,careful evaluation of the timing of outdoor activities, in order to avoid crossing steep slopes during the warmest hours of the day , is required.

## EUROPEAN AVALANCHE WARNING SERVICE

## AVALANCHE PROBLEMS

According to EAWS standards Meteomont bulletin is a synoptic-scale system (regional scale). It shall be the user's responsibility to correlate the danger level evaluation of the bulletin with a detailed and expertise analysis of the zonal hazards (single slope), that could be markedly different. Meteorological forecast are issued at UTC (for Italy: in winter time UTC+1: in summer time UTC+2).

Bulletin is subjected to check processes through: the record of Observers and Avalanches and snow Experts data in C-Sifa; the validation by forecasters; the certification by Meteomont Section.

# ALPI GIULIE

## WEATHER FORECAST FOR

| Elevation | | 27/02/2026 h6:00 | 27/02/2026 h12:00 | 27/02/2026 h18:00 |
|---|---|---|---|---|
| 1000 | Wind | 01 Knots from North | 01 Knots from West | 01 Knots from S-West |
| | Temperatures | +06 °C | +07 °C | +08 °C |
| | Wind chill | 6 °C | 7 °C | 8 °C |
| 2000 | Wind | 01 Knots from West | 01 Knots from S-West | 01 Knots from South |
| | Temperatures | +06 °C | +06 °C | +06 °C |
| | Wind chill | 6 °C | 6 °C | 6 °C |
| 3000 | Wind | 02 Knots from West | 02 Knots from S-West | 02 Knots from S-West |
| | Temperatures | +00 °C | +00 °C | +00 °C |
| | Wind chill | 0 °C | 0 °C | 0 °C |
| Freezing level | | 2300-2500 m. | 3000-3200 m. | 3000-3200 m. |
| Atmospheric phenomenon | | — | — | — |
| Keys to sky condition | | | | |

## KEYS TO ATMOSPHERIC PHENOMENON

— Absence of adverse weather phenomena
Fog
Mist
Light rain
Moderate rain
Heavy rain
Thunderstorm
Weak snowfall
Moderate snowfall
Heavy snowfall

## KEYS TO SKY CONDITION

Clear
Partly cloudy
Cloudy
Mostly cloudy
Overcast

## Weather and snow data recorded during field and out of field obsevations on 26/02/2026.

| Observation field | District | Elevation (m.a.s.l.) | Snow depth (cm) | Snowfall in previous 24 hours (cm) | Temp. Min (°C) | Temp. Max (°C) | General weather conditions |
|---|---|---|---|---|---|---|---|
| MALBORGHETTO - VAL SAISERA | Tarvisio (UD) | 875 | 52 | 0 | -2 | +13 | Absence of rain or other precipitation |
| PASSO PRAMOLLO | Pontebba (UD) | 1530 | 126 | 0 | -3 | +9 | Absence of rain or other precipitation |
| MONTE LUSSARI | Tarvisio (UD) | 1750 | 117 | 0 | +2 | +7 | Absence of rain or other precipitation |
| PASSO PREDIL | Tarvisio (UD) | 1130 | 82 | 0 | -1 | +5 | Absence of rain or other precipitation |

(*) Out of field survey

**INFORMATION MEANS PREVENTION - SCAN QRCODE TO KNOW DAILY AVALANCHE DANGER LEVEL!**

IL CAPO DEL CENTRO NAZIONALE METEOMONT
(Ten. Col. RFI Emanuela Gini)
FIRMA AUTOGRAFA OMESSA AI SENSI
DELL'ART.3 DEL D.LGS N.39/1993

According to EAWS standards Meteomont bulletin is a synoptic-scale system (regional scale). It shall be the user's responsibility to correlate the danger level evaluation of the bulletin with a detailed and expertise analysis of the zonal hazards (single slope), that could be markedly different. Meteorological forecast are issued at UTC (for Italy: in winter time UTC+1: in summer time UTC+2).

Bulletin is subjected to check processes through: the record of Observers and Avalanches and snow Experts data in C-Sifa; the validation by forecasters; the certification by Meteomont Section.