ALPI APUANE - APPENNINO TOSCANO SETTENTRIONALE

Avalanche Bulletin N. 270/2026 issued at 14:00 on 26/02/2026
48 hours validity. Next issue on 27/02/2026

By the METEOMONT Service of the ARMA dei CARABINIERI ITALY
In collaboration with Air Force Meteorological Service

Situation on 26/02/2026

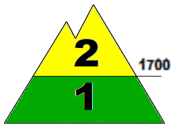

DANGER PATTERNS: springtime situation.

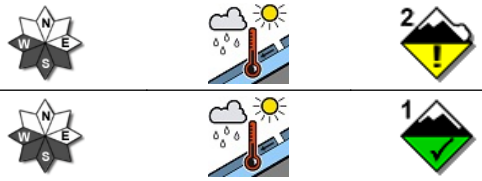

DANGER PATTERNS: springtime situation.

Snow line (m.a.s.l.)	North	South
	1400	1600 - 1700

Snow depth (cm)	ground snow	new snow	Elevation (m.a.s.l.)
	135	000	1816
	40	000	1400

REGISTERED AVALANCHES: Some medium avalanches, Surface loose snow avalanches.

FORECAST 27/02/2026

Danger level: MODERATE 2

DANGER PATTERNS: springtime situation.

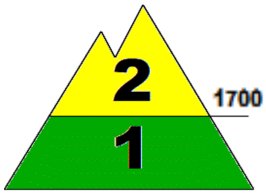

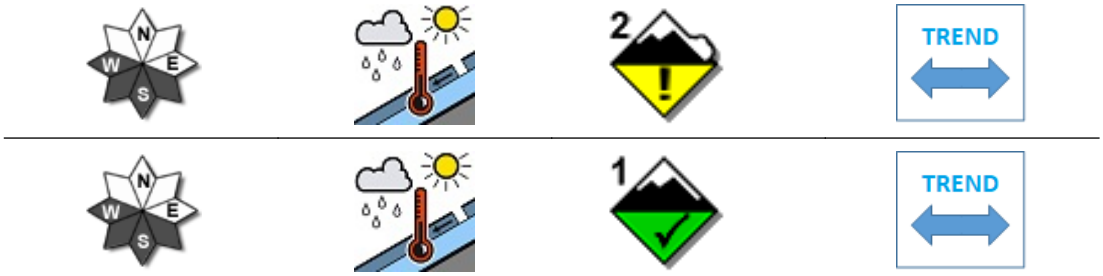

DANGER PATTERNS: springtime situation.

SNOWPACK: Snowpack stability is poor on some points (areas) above 1700 m.a.s.l. All Sunny slopes are critical. medium avalanches are possible.
Snowpack stability is moderate on some points (areas) below 1700 m.a.s.l. All Sunny slopes are critical. Small avalanches are possible.

WARNING

Due to daytime rising temperatures,careful evaluation of the timing of outdoor activities, in order to avoid crossing steep slopes during the warmest hours of the day , is required.

EUROPEAN AVALANCHE WARNING SERVICE

AVALANCHE PROBLEMS

According to EAWS standards Meteomont bulletin is a synoptic-scale system (regional scale). It shall be the user's responsibility to correlate the danger level evaluation of the bulletin with a detailed and expertise analysis of the zonal hazards (single slope), that could be markedly different. Meteorological forecast are issued at UTC (for Italy: in winter time UTC+1: in summer time UTC+2).

Bulletin is subjected to check processes through: the record of Observers and Avalanches and snow Experts data in C-Sifa; the validation by forecasters; the certification by Meteomont Section.

ALPI APUANE - APPENNINO TOSCANO SETTENTRIONALE

WEATHER FORECAST FOR

Elevation		27/02/2026 h6:00	27/02/2026 h12:00	27/02/2026 h18:00
1000	Wind	02 Knots from South	02 Knots from S-West	02 Knots from South
	Temperatures	+06 °C	+10 °C	+04 °C
	Wind chill	6 °C	10 °C	4 °C
2000	Wind	04 Knots from S-West	05 Knots from West	05 Knots from S-West
	Temperatures	+06 °C	+06 °C	+07 °C
	Wind chill	4 °C	4 °C	5 °C
3000	Wind	05 Knots from West	05 Knots from West	02 Knots from S-West
	Temperatures	+01 °C	+01 °C	+00 °C
	Wind chill	-2 °C	-2 °C	0 °C
Freezing level		3000-3200 m.	3100-3300 m.	3100-3300 m.
Atmospheric phenomenon		—	—	—
Keys to sky condition				

KEYS TO ATMOSPHERIC PHENOMENON

— Absence of adverse weather phenomena
Fog
Mist
Light rain
Moderate rain
Heavy rain
Thunderstorm
Weak snowfall
Moderate snowfall
Heavy snowfall

KEYS TO SKY CONDITION

Clear
Partly cloudy
Cloudy
Mostly cloudy
Overcast

Weather and snow data recorded during field and out of field obsevations on 26/02/2026.

Observation field	District	Elevation (m.a.s.l.)	Snow depth (cm)	Snowfall in previous 24 hours (cm)	Temp. Min (°C)	Temp. Max (°C)	General weather conditions
ORECCHIELLA	San Romano in Garfagnana (LU)	1240	0	0	+4	+14	Absence of rain or other precipitation
ALPE DI SAN PELLEGRINO	Castiglione di Garfagnana (LU)	1651	36	0	+5	+12	Absence of rain or other precipitation
GENDARME *	Abetone Cutigliano (PT)	1730	180	0	N.P.	N.P.	Absence of rain or other precipitation
CAMPOLINO *	Abetone Cutigliano (PT)	1816	135	0	N.P.	N.P.	Absence of rain or other precipitation

(*) Out of field survey

INFORMATION MEANS PREVENTION - SCAN QRCODE TO KNOW DAILY AVALANCHE DANGER LEVEL!

IL CAPO DEL CENTRO NAZIONALE METEOMONT
(Ten. Col. RFI Emanuela Gini)
FIRMA AUTOGRAFA OMESSA AI SENSI
DELL'ART.3 DEL D.LGS N.39/1993

According to EAWS standards Meteomont bulletin is a synoptic-scale system (regional scale). It shall be the user's responsibility to correlate the danger level evaluation of the bulletin with a detailed and expertise analysis of the zonal hazards (single slope), that could be markedly different. Meteorological forecast are issued at UTC (for Italy: in winter time UTC+1: in summer time UTC+2).

Bulletin is subjected to check processes through: the record of Observers and Avalanches and snow Experts data in C-Sifa; the validation by forecasters; the certification by Meteomont Section.