MINISTERO DELLA DIFESA

meteomont Servizio Nazionale di previsione neve e valanghe

EAWS EUROPEAN AVALANCHE WARNING SERVICES

CARABINIERI

In collaborazione con: arpav

# DOLOMITI MERIDIONALI

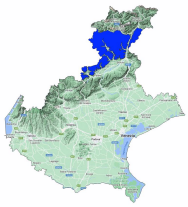

Avalanche Bulletin N. 361/2026 issued at 14:00 on 28/02/2026
48 hours validity. Next issue on 01/03/2026

**By the METEOMONT Service of the ARMA dei CARABINIERI ITALY**
**In collaboration with Air Force Meteorological Service**

## Situation on 28/02/2026

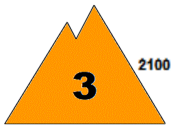


**DANGER PATTERNS: shallow snow next to deep snow.**




**DANGER PATTERNS: springtime situation.**

| Snow line (m.a.s.l.) | North | South |
|---|---|---|
| | 1100 - 1400 | 1400 - 1600 |

| Snow depth (cm) | ground snow | new snow | Elevation (m.a.s.l.) |
|---|---|---|---|
| | 101 | 00 | 1913 |
| | 60 | 00 | 1820 |

**REGISTERED AVALANCHES: No avalanches detected.**

## FORECAST 01/03/2026

# Danger level: CONSIDERABLE 3

## DANGER PATTERNS: shallow snow next to deep snow.

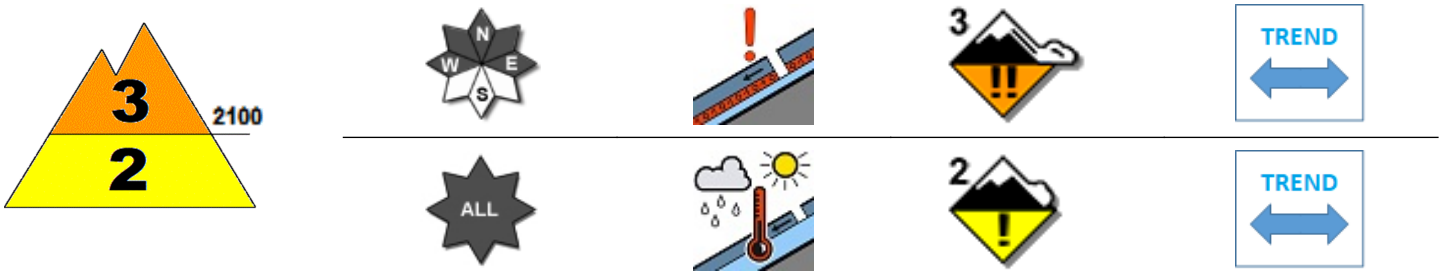


## DANGER PATTERNS: springtime situation.

**SNOWPACK: Snowpack stability is very poor on some points (areas) above 2100 m.a.s.l. All From west to east-facing slopes are critical. medium avalanches are possible.**
**Snowpack stability is poor on some points (areas) below 2100 m.a.s.l. All aspects are critical. Medium avalanches are possible.**

## WARNING

Due to the snow cover conditions,outdoor activities beyond the maintained and marked tracks require an excellent evaluation of local danger points.

## EUROPEAN AVALANCHE WARNING SERVICE

5 - VERY HIGH | 4 - HIGH | 3 - CONSIDERABLE | 2 - MODERATE | 1 - LOW | NO SNOW | NO INFO

## AVALANCHE PROBLEMS

NEW SNOW | WIND - DRIFTED SNOW | PERSISTENT WEAK LAYERS | WET SNOW | GLIDING SNOW | SNOW CORNICES | NO EVIDENT AVALANCHE PROBLEM. | NO INFO

According to EAWS standards Meteomont bulletin is a synoptic-scale system (regional scale). It shall be the user's responsibility to correlate the danger level evaluation of the bulletin with a detailed and expertise analysis of the zonal hazards (single slope), that could be markedly different. Meteorological forecast are issued at UTC (for Italy: in winter time UTC+1: in summer time UTC+2).

Bulletin is subjected to check processes through: the record of Observers and Avalanches and snow Experts data in C-Sifa; the validation by forecasters; the certification by Meteomont Section.

# DOLOMITI MERIDIONALI

## WEATHER FORECAST FOR

| Elevation | | 01/03/2026 h6:00 | 01/03/2026 h12:00 | 01/03/2026 h18:00 |
|---|---|---|---|---|
| 1000 | Wind | 01 Knots from East | 01 Knots from N-East | 01 Knots from North |
| | Temperatures | +02 °C | +02 °C | +03 °C |
| | Wind chill | 2 °C | 2 °C | 3 °C |
| 2000 | Wind | 02 Knots from East | 02 Knots from South | 02 Knots from S-East |
| | Temperatures | +00 °C | -02 °C | -02 °C |
| | Wind chill | 0 °C | -2 °C | -2 °C |
| 3000 | Wind | 06 Knots from S-West | 05 Knots from S-West | 03 Knots from S-West |
| | Temperatures | -03 °C | -03 °C | -03 °C |
| | Wind chill | -7 °C | -7 °C | -5 °C |
| Freezing level | | 0800-1000 m. | 1600-1800 m. | 1600-1800 m. |
| Atmospheric phenomenon | | — | — | — |
| Keys to sky condition | | | | |

## KEYS TO ATMOSPHERIC PHENOMENON

— Absence of adverse weather phenomena
Fog
Mist
Light rain
Moderate rain
Heavy rain
Thunderstorm
Weak snowfall
Moderate snowfall
Heavy snowfall

## KEYS TO SKY CONDITION

Clear
Partly cloudy
Cloudy
Mostly cloudy
Overcast

## Weather and snow data recorded during field and out of field obsevations on 28/02/2026.

| Observation field | District | Elevation (m.a.s.l.) | Snow depth (cm) | Snowfall in previous 24 hours (cm) | Temp. Min (°C) | Temp. Max (°C) | General weather conditions |
|---|---|---|---|---|---|---|---|
| LE BUSE | Falcade (BL) | 1820 | 60 | 0 | N.P. | N.P. | Absence of rain or other precipitation |
| P.SO PADON | Livinallongo del Col di Lana (BL) | 2369 | 69 | 0 | -2 | +16 | Absence of rain or other precipitation |

(*) Out of field survey

**INFORMATION MEANS PREVENTION - SCAN QRCODE TO KNOW DAILY AVALANCHE DANGER LEVEL!**

**IL CAPO DEL CENTRO NAZIONALE METEOMONT**
**(Ten. Col. RFI Emanuela Gini)**
**FIRMA AUTOGRAFA OMESSA AI SENSI**
**DELL'ART.3 DEL D.LGS N.39/1993**

According to EAWS standards Meteomont bulletin is a synoptic-scale system (regional scale). It shall be the user's responsibility to correlate the danger level evaluation of the bulletin with a detailed and expertise analysis of the zonal hazards (single slope), that could be markedly different. Meteorological forecast are issued at UTC (for Italy: in winter time UTC+1: in summer time UTC+2).

Bulletin is subjected to check processes through: the record of Observers and Avalanches and snow Experts data in C-Sifa; the validation by forecasters; the certification by Meteomont Section.