MINISTERO DELLA DIFESA

meteomont Servizio Nazionale di previsione neve e valanghe

EAWS EUROPEAN AVALANCHE WARNING SERVICES

CARABINIERI

In collaborazione con: arpav

# DOLOMITI MERIDIONALI

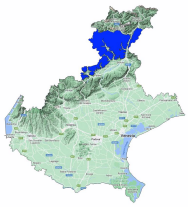

Avalanche Bulletin N. 362/2026 issued at 14:00 on 01/03/2026
48 hours validity. Next issue on 02/03/2026

**By the METEOMONT Service of the ARMA dei CARABINIERI ITALY**
**In collaboration with Air Force Meteorological Service**

## Situation on 01/03/2026

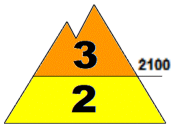


**DANGER PATTERNS: shallow snow next to deep snow.**

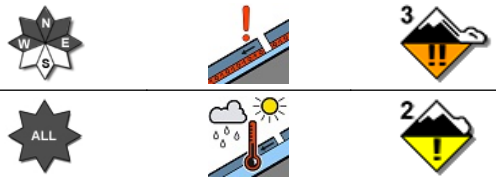


**DANGER PATTERNS: springtime situation.**

| Snow line (m.a.s.l.) | North | South |
|---|---|---|
| | 1400 - 1500 | 1600 - 2200 |

| Snow depth (cm) | ground snow | new snow | Elevation (m.a.s.l.) |
|---|---|---|---|
| | 92 | 00 | 1920 |
| | 35 | 00 | 1750 |

**REGISTERED AVALANCHES: Small avalanches, Surface loose snow avalanches.**

## FORECAST 02/03/2026

# Danger level: CONSIDERABLE 3

## DANGER PATTERNS: shallow snow next to deep snow.

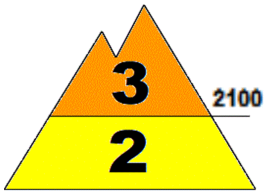





## DANGER PATTERNS: springtime situation.

**SNOWPACK: Snowpack stability is very poor on some points (areas) above 2100 m.a.s.l. All From west to east-facing slopes are critical. medium avalanches are possible.**
**Snowpack stability is poor on some points (areas) below 2100 m.a.s.l. All aspects are critical. Medium avalanches are possible.**

## WARNING

Due to daytime rising temperatures,careful evaluation of the timing of outdoor activities, in order to avoid crossing steep slopes during the warmest hours of the day , is required.

## EUROPEAN AVALANCHE WARNING SERVICE

## AVALANCHE PROBLEMS

According to EAWS standards Meteomont bulletin is a synoptic-scale system (regional scale). It shall be the user's responsibility to correlate the danger level evaluation of the bulletin with a detailed and expertise analysis of the zonal hazards (single slope), that could be markedly different. Meteorological forecast are issued at UTC (for Italy: in winter time UTC+1: in summer time UTC+2).

Bulletin is subjected to check processes through: the record of Observers and Avalanches and snow Experts data in C-Sifa; the validation by forecasters; the certification by Meteomont Section.

# DOLOMITI MERIDIONALI

## WEATHER FORECAST FOR

| Elevation | | 02/03/2026 h6:00 | 02/03/2026 h12:00 | 02/03/2026 h18:00 |
|---|---|---|---|---|
| 1000 | Wind | 00 Calm | 00 Calm | 00 Calm |
| | Temperatures | +02 °C | +03 °C | +03 °C |
| | Wind chill | 2 °C | 3 °C | 3 °C |
| 2000 | Wind | 02 Knots from S-West | 02 Knots from West | 02 Knots from West |
| | Temperatures | -02 °C | -02 °C | -02 °C |
| | Wind chill | -2 °C | -2 °C | -2 °C |
| 3000 | Wind | 06 Knots from S-West | 06 Knots from West | 06 Knots from West |
| | Temperatures | -05 °C | -06 °C | -08 °C |
| | Wind chill | -10 °C | -11 °C | -13 °C |
| Freezing level | | 1500-1700 m. | 1600-1800 m. | 1700-1900 m. |
| Atmospheric phenomenon | | | — | |
| Keys to sky condition | | | | |

## KEYS TO ATMOSPHERIC PHENOMENON

Absence of adverse weather phenomena — Fog — Mist — Light rain — Moderate rain — Heavy rain — Thunderstorm

Weak snowfall — Moderate snowfall — Heavy snowfall

## KEYS TO SKY CONDITION

Clear — Partly cloudy — Cloudy — Mostly cloudy — Overcast

## Weather and snow data recorded during field and out of field obsevations on 01/03/2026.

| Observation field | District | Elevation (m.a.s.l.) | Snow depth (cm) | Snowfall in previous 24 hours (cm) | Temp. Min (°C) | Temp. Max (°C) | General weather conditions |
|---|---|---|---|---|---|---|---|
| ZINGARI BASSI * | Falcade (BL) | 1750 | 35 | 0 | N.P. | N.P. | Absence of rain or other precipitation |
| COL DEI BALDI * | Selva di Cadore (BL) | 1920 | 92 | 0 | -2 | +16 | Absence of rain or other precipitation |
| P.SO PADON | Livinallongo del Col di Lana (BL) | 2369 | 69 | 0 | -3 | +16 | Absence of rain or other precipitation |
| FORCELLA GIAU * | San Vito di Cadore (BL) | 2380 | 70 | 0 | N.P. | N.P. | Absence of rain or other precipitation |

(*) Out of field survey

**INFORMATION MEANS PREVENTION - SCAN QRCODE TO KNOW DAILY AVALANCHE DANGER LEVEL!**

**IL CAPO DEL CENTRO NAZIONALE METEOMONT**
**(Ten. Col. RFI Emanuela Gini)**
**FIRMA AUTOGRAFA OMESSA AI SENSI**
**DELL'ART.3 DEL D.LGS N.39/1993**

According to EAWS standards Meteomont bulletin is a synoptic-scale system (regional scale). It shall be the user's responsibility to correlate the danger level evaluation of the bulletin with a detailed and expertise analysis of the zonal hazards (single slope), that could be markedly different. Meteorological forecast are issued at UTC (for Italy: in winter time UTC+1: in summer time UTC+2).

Bulletin is subjected to check processes through: the record of Observers and Avalanches and snow Experts data in C-Sifa; the validation by forecasters; the certification by Meteomont Section.