BUTLLETÍ DEL PERILL D'ALLAUS DEL PRINCIPAT D'ANDORRA

Prepared on 02/03/2026 16:00
Next update 03/03/2026 at 16 am

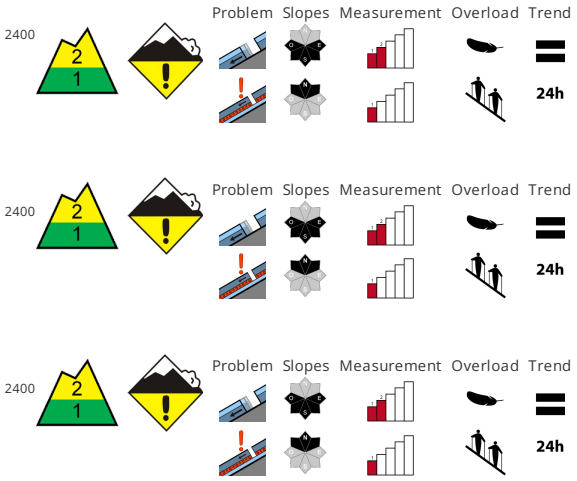

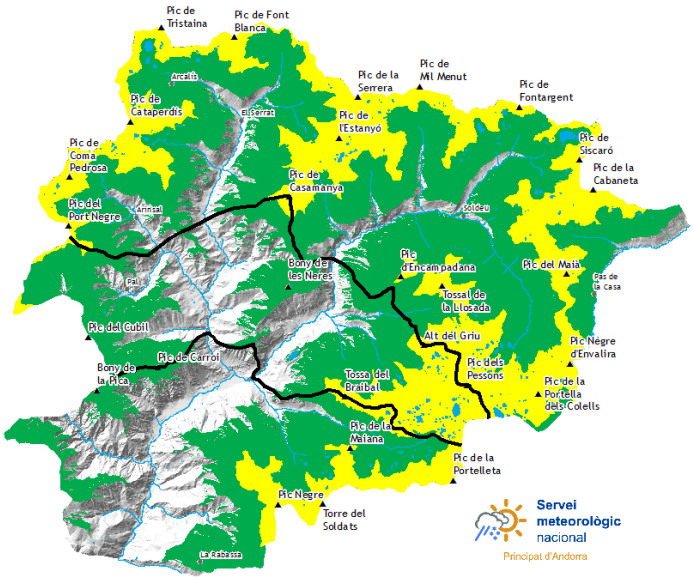

SNOW QUALITY

Gliding avalanches can be released at any time of day or night. Weak layers exist in the centre of the snowpack also on very steep north facing slopes. This applies in particular in extremely steep terrain and above approximately 2400 m. These can in isolated cases be released, mostly by large loads in isolated cases and reach medium size. The conditions in the morning, after a clear night, are generally favourable. In steep terrain there is a danger of falling on the hard crust. As a consequence of warming during the day and solar radiation small moist snow slides are possible.

STABILITY OF THE SNOW MANTLE

The conditions are spring-like. Outgoing longwave radiation during the night will be good. Snow depths vary greatly above approximately 2500 m, depending on the infuence of the wind. Areas with glide cracks are to be avoided.

OFF-PISTE SNOW COVER THICKNESSES

North zone		Snow thickness		
Snowpack		1500m	2000m	2500m
N	1600 m	30 cm	150 cm	200 cm
S	1900 m	0 cm	100 cm	150 cm

Center area		Snow thickness		
Snowpack		1500m	2000m	2500m
N	1600 m	20 cm	150 cm	200 cm
S	1900 m	0 cm	100 cm	150 cm

South zone		Snow thickness		
Snowpack		1500m	2000m	2500m
N	1600 m	20 cm	120 cm	150 cm
S	1900 m	0 cm	60 cm	100 cm

Govern d'Andorra

EAWS EUROPEAN AVALANCHE WARNING SERVICES

Aquest butlletí ha estat elaborat seguint les normes i recomanacions de l'**European Avalanche Warning Services**, del qual el **Servei meteorològic Nacional** n'és membre

BUTLLETÍ DEL PERILL D'ALLAUS DEL PRINCIPAT D'ANDORRA

Servei meteorològic nacional
Principat d'Andorra

Detailed information for protected areas

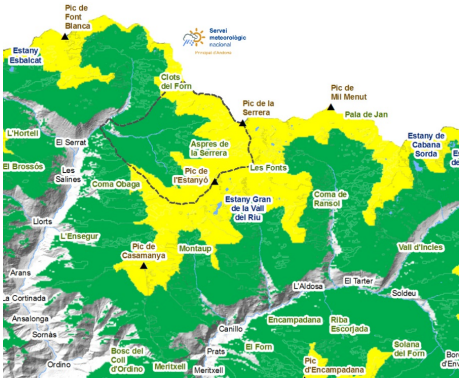

SORTENY

The little new snow of the weekend has not changed the stability conditions. We find snow on all the paths from Llorts and access with skis to the Refuge is continuous. The snow is hard in the morning on the southern slopes, it is recommended to be equipped with spiked equipment to circulate there. On the northern slopes there is recycled powder snow (large facets) very pleasant to ski. This snow rests on top of slabs that hide some persistent weak layers in the highest and steepest places. Although we only have these identified in some very inclined places facing the north (obacs), we must take them into account to choose our route safely and not lose the habit of driving in safe places.

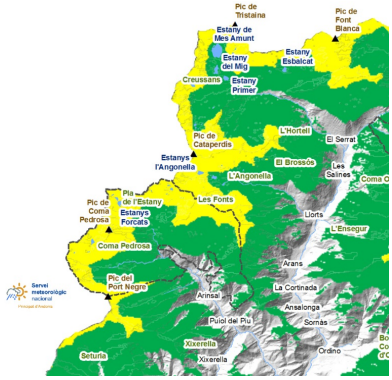

COMAPEDROSA

We will have to be careful not to slip due to the ice crust on the southern slopes or at low altitudes, but also on the opaque slopes, where the powder snow hides a hard windy crust. The access from Arinsal is getting less and less snow, as the afternoon sun warms up a lot and we find continuous snow higher up. In the upper parts of the Park, however, the conditions are very good and numerous excursions can be made, always maintaining the careful choice of the itinerary and the schedule of the excursions.

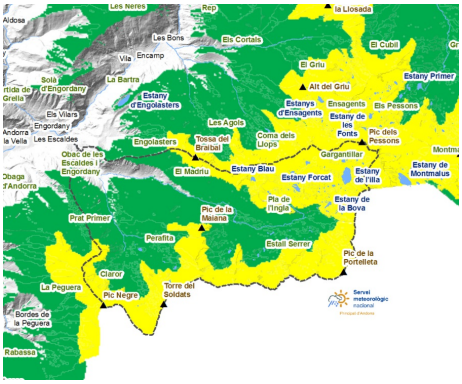

MADRIU-PERAFITA-CLAROR

On the southern slopes and at low altitudes the conditions are spring-like, hard snow in the morning and soft snow in the afternoon, with typical forms of melting when the sun hits perpendicular to the slope. On the northern slopes and flat areas the snow remains powdery.

Govern d'Andorra

EAWS
EUROPEAN AVALANCHE WARNING SERVICES

Aquest butlletí ha estat elaborat seguint les normes i recomanacions de l'**European Avalanche Warning Services**, del qual el **Servei meteorològic Nacional** n'és membre

BUTLLETÍ DEL PERILL D'ALLAUS DEL PRINCIPAT D'ANDORRA

Servei meteorològic nacional
Principat d'Andorra

Thick snow in recent days (last 24 hours measured at 06:00 UTC)

	26/02/2026	27/02/2026	28/02/2026	01/03/2026
FEDA (Central)	0 cm	0 cm	0 cm	0 cm
Engolasters - FEDA	0 cm	0 cm	0 cm	0 cm
Bony de les Neres	0 cm	0 cm	0 cm	0 cm
Sorteny	0 cm	0 cm	2 cm	0 cm
Perafita	0 cm	0 cm	0 cm	0 cm
Tossa Espiolets	0 cm	0 cm	1 cm	0 cm
Grau Roig - FEDA	0 cm	0 cm	0 cm	0 cm
Fontverd	0 cm	0 cm	0 cm	0 cm
Ransol - FEDA	0 cm	0 cm	2 cm	0 cm
Setúria	0 cm	0 cm	0 cm	0 cm
Caborreu	0 cm	0 cm	0 cm	0 cm
La Solana	0 cm	0 cm	5 cm	0 cm
Envalira Antenes	0 cm	0 cm	0 cm	0 cm
Vall del Riu FEDA	0 cm	0 cm	0 cm	0 cm