MINISTERO DELLA DIFESA

meteomont
Servizio Nazionale di previsione neve e valanghe

EAWS EUROPEAN AVALANCHE WARNING SERVICES

CARABINIERI

ALPI GIULIE

Avalanche Bulletin N. 362/2026 issued at 14:00 on 02/03/2026
48 hours validity. Next issue on 03/03/2026

By the METEOMONT Service of the ARMA dei CARABINIERI ITALY
In collaboration with Air Force Meteorological Service

Situation on 02/03/2026

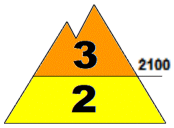

DANGER PATTERNS: shallow snow next to deep snow.

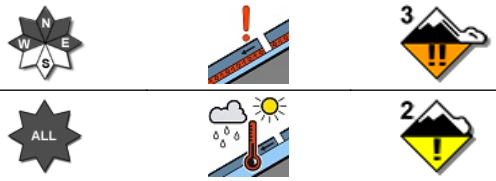

DANGER PATTERNS: springtime situation.

Snow line (m.a.s.l.)	North	South
	700 - 900	1100 - 1400

Snow depth (cm)	ground snow	new snow	Elevation (m.a.s.l.)
	105	000	1750
	82	00	1130

REGISTERED AVALANCHES: No avalanches detected.

FORECAST 03/03/2026

Danger level: MODERATE 2

DANGER PATTERNS: shallow snow next to deep snow.

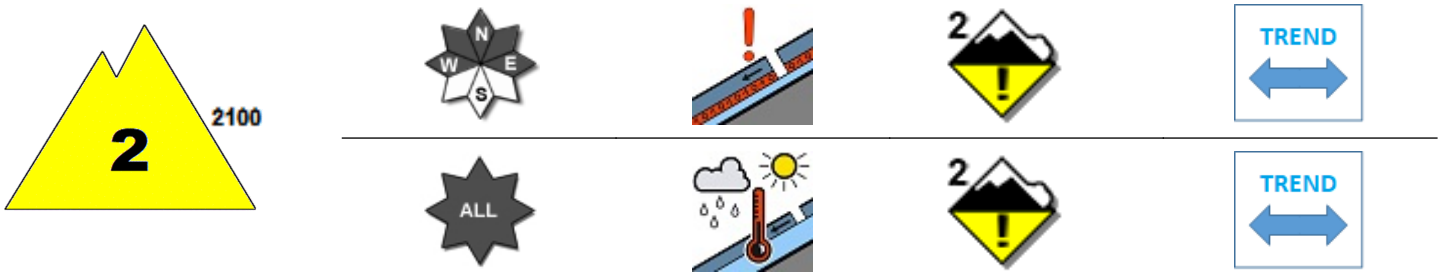

DANGER PATTERNS: springtime situation.

SNOWPACK: Snowpack stability is poor on some points (areas) above 2100 m.a.s.l. All From west to east-facing slopes are critical. medium avalanches are possible.
Snowpack stability is moderate on some points (areas) below 2100 m.a.s.l. All aspects are critical. Medium avalanches are possible.

WARNING

Due to daytime rising temperatures,careful evaluation of the timing of outdoor activities, in order to avoid crossing steep slopes during the warmest hours of the day , is required.

EUROPEAN AVALANCHE WARNING SERVICE

5 - VERY HIGH | 4 - HIGH | 3 - CONSIDERABLE | 2 - MODERATE | 1 - LOW | NO SNOW | NO INFO

AVALANCHE PROBLEMS

NEW SNOW | WIND - DRIFTED SNOW | PERSISTENT WEAK LAYERS | WET SNOW | GLIDING SNOW | SNOW CORNICES | NO EVIDENT AVALANCHE PROBLEM. | NO INFO

According to EAWS standards Meteomont bulletin is a synoptic-scale system (regional scale). It shall be the user's responsibility to correlate the danger level evaluation of the bulletin with a detailed and expertise analysis of the zonal hazards (single slope), that could be markedly different. Meteorological forecast are issued at UTC (for Italy: in winter time UTC+1: in summer time UTC+2).

Bulletin is subjected to check processes through: the record of Observers and Avalanches and snow Experts data in C-Sifa; the validation by forecasters; the certification by Meteomont Section.

ALPI GIULIE

WEATHER FORECAST FOR

Elevation		03/03/2026 h6:00	03/03/2026 h12:00	03/03/2026 h18:00
1000	Wind	01 Knots from S-West	01 Knots from West	00 Calm
	Temperatures	+01 °C	+02 °C	+03 °C
	Wind chill	1 °C	2 °C	3 °C
2000	Wind	02 Knots from S-West	00 Calm	03 Knots from N-East
	Temperatures	-02 °C	-02 °C	-01 °C
	Wind chill	-2 °C	-2 °C	-3 °C
3000	Wind	02 Knots from N-West	01 Knots from North	03 Knots from N-East
	Temperatures	-08 °C	-08 °C	-08 °C
	Wind chill	-8 °C	-8 °C	-11 °C
Freezing level		1300-1500 m.	1400-1600 m.	1600-1800 m.
Atmospheric phenomenon		—	—	—
Keys to sky condition				

KEYS TO ATMOSPHERIC PHENOMENON

— Absence of adverse weather phenomena
Fog
Mist
Light rain
Moderate rain
Heavy rain
Thunderstorm
Weak snowfall
Moderate snowfall
Heavy snowfall

KEYS TO SKY CONDITION

Clear
Partly cloudy
Cloudy
Mostly cloudy
Overcast

Weather and snow data recorded during field and out of field obsevations on 02/03/2026.

Observation field	District	Elevation (m.a.s.l.)	Snow depth (cm)	Snowfall in previous 24 hours (cm)	Temp. Min (°C)	Temp. Max (°C)	General weather conditions
MALBORGHETTO - VAL SAISERA	Tarvisio (UD)	875	45	0	-1	+12	Absence of rain or other precipitation
PASSO PRAMOLLO	Pontebba (UD)	1530	112	0	-3	+10	Absence of rain or other precipitation
MONTE LUSSARI	Tarvisio (UD)	1750	105	0	-2	+13	Absence of rain or other precipitation
PASSO PREDIL	Tarvisio (UD)	1130	82	0	0	+7	Absence of rain or other precipitation

(*) Out of field survey

INFORMATION MEANS PREVENTION - SCAN QRCODE TO KNOW DAILY AVALANCHE DANGER LEVEL!

IL CAPO DEL CENTRO NAZIONALE METEOMONT
(Ten. Col. RFI Emanuela Gini)
FIRMA AUTOGRAFA OMESSA AI SENSI
DELL'ART.3 DEL D.LGS N.39/1993

According to EAWS standards Meteomont bulletin is a synoptic-scale system (regional scale). It shall be the user's responsibility to correlate the danger level evaluation of the bulletin with a detailed and expertise analysis of the zonal hazards (single slope), that could be markedly different. Meteorological forecast are issued at UTC (for Italy: in winter time UTC+1: in summer time UTC+2).

Bulletin is subjected to check processes through: the record of Observers and Avalanches and snow Experts data in C-Sifa; the validation by forecasters; the certification by Meteomont Section.