MINISTERO DELLA DIFESA

meteomont
Servizio Nazionale di previsione neve e valanghe

EAWS EUROPEAN AVALANCHE WARNING SERVICES

CARABINIERI

ALPI CARNICHE OCCIDENTALI

Avalanche Bulletin N. 360/2026 issued at 14:00 on 01/03/2026
48 hours validity. Next issue on 02/03/2026
By the METEOMONT Service of the ARMA dei CARABINIERI ITALY
In collaboration with Air Force Meteorological Service

Situation on 01/03/2026

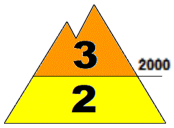

DANGER PATTERNS: shallow snow next to deep snow.

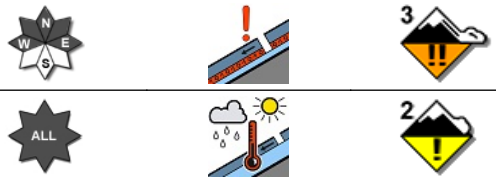

DANGER PATTERNS: springtime situation.

Snow line (m.a.s.l.)	North	South
	400 - 500	700 - 1200

Snow depth (cm)	ground snow	new snow	Elevation (m.a.s.l.)
	106	00	1977
	77	00	1780

REGISTERED AVALANCHES: -.

FORECAST 02/03/2026

Danger level: CONSIDERABLE 3

DANGER PATTERNS: shallow snow next to deep snow.

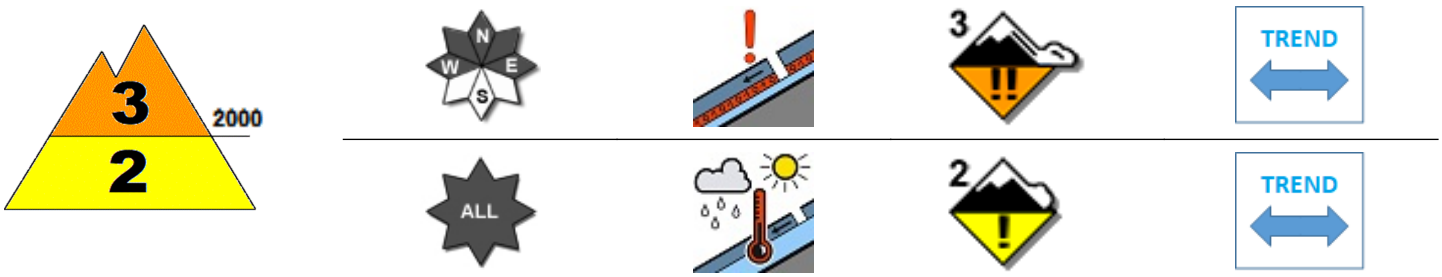

DANGER PATTERNS: springtime situation.

SNOWPACK: Snowpack stability is very poor on some points (areas) above 2000 m.a.s.l. All From west to east-facing slopes are critical. medium avalanches are possible.
Snowpack stability is poor on some points (areas) below 2000 m.a.s.l. All aspects are critical. Medium avalanches are possible.

WARNING

Due to daytime rising temperatures,careful evaluation of the timing of outdoor activities, in order to avoid crossing steep slopes during the warmest hours of the day , is required.

EUROPEAN AVALANCHE WARNING SERVICE

AVALANCHE PROBLEMS

According to EAWS standards Meteomont bulletin is a synoptic-scale system (regional scale). It shall be the user's responsibility to correlate the danger level evaluation of the bulletin with a detailed and expertise analysis of the zonal hazards (single slope), that could be markedly different. Meteorological forecast are issued at UTC (for Italy: in winter time UTC+1: in summer time UTC+2).

Bulletin is subjected to check processes through: the record of Observers and Avalanches and snow Experts data in C-Sifa; the validation by forecasters; the certification by Meteomont Section.

MINISTERO DELLA DIFESA

meteomont
Servizio Nazionale di previsione neve e valanghe

EAWS EUROPEAN AVALANCHE WARNING SERVICES

CARABINIERI

ALPI CARNICHE OCCIDENTALI

WEATHER FORECAST FOR

Elevation		02/03/2026 h6:00	02/03/2026 h12:00	02/03/2026 h18:00
1000	Wind	*01 Knots from S-West*	*01 Knots from West*	*01 Knots from South*
	Temperatures	*-01 °C*	*+00 °C*	*-01 °C*
	Wind chill	*-1 °C*	*0 °C*	*-1 °C*
2000	Wind	*02 Knots from S-West*	*02 Knots from West*	*01 Knots from S-West*
	Temperatures	*-02 °C*	*-02 °C*	*-02 °C*
	Wind chill	*-2 °C*	*-2 °C*	*-2 °C*
3000	Wind	*02 Knots from S-West*	*05 Knots from S-West*	*03 Knots from West*
	Temperatures	*-06 °C*	*-06 °C*	*-07 °C*
	Wind chill	*-6 °C*	*-10 °C*	*-10 °C*
Freezing level		*1300-1500 m.*	*1600-1800 m.*	*1400-1600 m.*
Atmospheric phenomenon		—	—	—
Keys to sky condition				

KEYS TO ATMOSPHERIC PHENOMENON

Absence of adverse weather phenomena — *Fog* — *Mist* — *Light rain* — *Moderate rain* — *Heavy rain* — *Thunderstorm*

Weak snowfall — *Moderate snowfall* — *Heavy snowfall*

KEYS TO SKY CONDITION

Clear — *Partly cloudy* — *Cloudy* — *Mostly cloudy* — *Overcast*

(*) Weather and snow data not available.

INFORMATION MEANS PREVENTION - SCAN QRCODE TO KNOW DAILY AVALANCHE DANGER LEVEL!

IL CAPO DEL CENTRO NAZIONALE METEOMONT
(Ten. Col. RFI Emanuela Gini)
FIRMA AUTOGRAFA OMESSA AI SENSI
DELL'ART.3 DEL D.LGS N.39/1993

According to EAWS standards Meteomont bulletin is a synoptic-scale system (regional scale). It shall be the user's responsibility to correlate the danger level evaluation of the bulletin with a detailed and expertise analysis of the zonal hazards (single slope), that could be markedly different. Meteorological forecast are issued at UTC (for Italy: in winter time UTC+1: in summer time UTC+2).

Bulletin is subjected to check processes through: the record of Observers and Avalanches and snow Experts data in C-Sifa; the validation by forecasters; the certification by Meteomont Section.