MINISTERO DELLA DIFESA

meteomont
Servizio Nazionale di previsione neve e valanghe

EAWS EUROPEAN AVALANCHE WARNING SERVICES

CARABINIERI

ALPI OROBICHE

Avalanche Bulletin N. 361/2026 issued at 14:00 on 02/03/2026
48 hours validity. Next issue on 03/03/2026

By the METEOMONT Service of the ARMA dei CARABINIERI ITALY
In collaboration with Air Force Meteorological Service

Situation on 02/03/2026

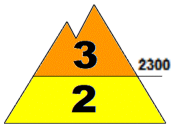

DANGER PATTERNS: shallow snow next to deep snow.

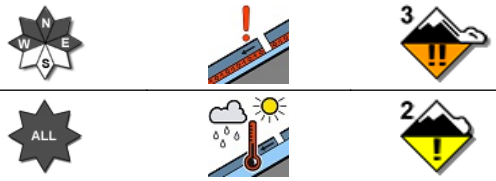

DANGER PATTERNS: rain on snow.

Snow line (m.a.s.l.)	North	South
	1400 - 1600	1700 - 1900

Snow depth (cm)	ground snow	new snow	Elevation (m.a.s.l.)
	94	20	1985
	051	0	1635

REGISTERED AVALANCHES: Small avalanches, Surface loose snow avalanches.

FORECAST 03/03/2026

Danger level: CONSIDERABLE 3

DANGER PATTERNS: shallow snow next to deep snow.

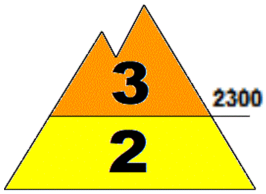



DANGER PATTERNS: springtime situation.

SNOWPACK: Snowpack stability is poor on some points (areas) above 2300 m.a.s.l. All From west to east-facing slopes are critical. medium avalanches are possible.
Snowpack stability is poor on some points (areas) below 2300 m.a.s.l. All From east to west-facing slopes are critical. Medium avalanches are possible.

WARNING

Due to daytime rising temperatures,careful evaluation of the timing of outdoor activities, in order to avoid crossing steep slopes during the warmest hours of the day , is required.

EUROPEAN AVALANCHE WARNING SERVICE

AVALANCHE PROBLEMS

According to EAWS standards Meteomont bulletin is a synoptic-scale system (regional scale). It shall be the user's responsibility to correlate the danger level evaluation of the bulletin with a detailed and expertise analysis of the zonal hazards (single slope), that could be markedly different. Meteorological forecast are issued at UTC (for Italy: in winter time UTC+1: in summer time UTC+2).

Bulletin is subjected to check processes through: the record of Observers and Avalanches and snow Experts data in C-Sifa; the validation by forecasters; the certification by Meteomont Section.

MINISTERO DELLA DIFESA

meteomont
Servizio Nazionale di previsione neve e valanghe

EAWS EUROPEAN AVALANCHE WARNING SERVICES

CARABINIERI

ALPI OROBICHE

WEATHER FORECAST FOR

Elevation		03/03/2026 h6:00	03/03/2026 h12:00	03/03/2026 h18:00
1000	Wind	03 Knots from North	01 Knots from South	01 Knots from N-East
	Temperatures	-05 °C	+00 °C	+01 °C
	Wind chill	-8 °C	0 °C	1 °C
2000	Wind	01 Knots from North	00 Calm	01 Knots from North
	Temperatures	-01 °C	-01 °C	+00 °C
	Wind chill	-1 °C	-1 °C	0 °C
3000	Wind	02 Knots from N-West	02 Knots from North	03 Knots from North
	Temperatures	-07 °C	-06 °C	-06 °C
	Wind chill	-7 °C	-6 °C	-9 °C
Freezing level		0800-1000 m.	1700-1900 m.	1400-1600 m.
Atmospheric phenomenon		—	—	—
Keys to sky condition				

KEYS TO ATMOSPHERIC PHENOMENON

— Absence of adverse weather phenomena
Fog
Mist
Light rain
Moderate rain
Heavy rain
Thunderstorm
Weak snowfall
Moderate snowfall
Heavy snowfall

KEYS TO SKY CONDITION

Clear
Partly cloudy
Cloudy
Mostly cloudy
Overcast

Weather and snow data recorded during field and out of field obsevations on 02/03/2026.

Observation field	District	Elevation (m.a.s.l.)	Snow depth (cm)	Snowfall in previous 24 hours (cm)	Temp. Min (°C)	Temp. Max (°C)	General weather conditions
VODALA	Gromo (BG)	1635	51	0	0	+3	Fog with no visible sky
QUARTA BAITA	Foppolo (BG)	1760	56	2	-1	+1	Continuous light snow
CIMA BIANCA	Colere (BG)	2080	135	0	-2	+10	Absence of rain or other precipitation
LAGO MARCIO *	Branzi (BG)	1898	59	Snow traces	-1	+3	Intermittent light snow
LAGHI DI VARICLA *	Ossimo (BS)	1785	40	1	N.P.	N.P.	Intermittent light rain
FOPPE DI PESCEGALLI *	Gerola Alta (SO)	1985	94	20	N.P.	N.P.	Continuous light snow

(*) Out of field survey

INFORMATION MEANS PREVENTION - SCAN QRCODE TO KNOW DAILY AVALANCHE DANGER LEVEL!

IL CAPO DEL CENTRO NAZIONALE METEOMONT
(Ten. Col. RFI Emanuela Gini)
FIRMA AUTOGRAFA OMESSA AI SENSI
DELL'ART.3 DEL D.LGS N.39/1993

According to EAWS standards Meteomont bulletin is a synoptic-scale system (regional scale). It shall be the user's responsibility to correlate the danger level evaluation of the bulletin with a detailed and expertise analysis of the zonal hazards (single slope), that could be markedly different. Meteorological forecast are issued at UTC (for Italy: in winter time UTC+1: in summer time UTC+2).

Bulletin is subjected to check processes through: the record of Observers and Avalanches and snow Experts data in C-Sifa; the validation by forecasters; the certification by Meteomont Section.