MINISTERO DELLA DIFESA

meteomont
Servizio Nazionale di previsione neve e valanghe

EAWS EUROPEAN AVALANCHE WARNING SERVICES

CARABINIERI

# ALPI LEPONTINE

Avalanche Bulletin N. 367/2026 issued at 14:00 on 01/03/2026
48 hours validity. Next issue on 02/03/2026

**By the METEOMONT Service of the ARMA dei CARABINIERI ITALY**
**In collaboration with Air Force Meteorological Service**

## Situation on 01/03/2026

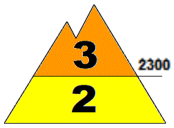


**DANGER PATTERNS: shallow snow next to deep snow.**



**DANGER PATTERNS: springtime situation.**

| Snow line (m.a.s.l.) | North | South |
|---|---|---|
| | 1100 - 1300 | 1400 - 1600 |

| Snow depth (cm) | ground snow | new snow | Elevation (m.a.s.l.) |
|---|---|---|---|
| | 162 | 000 | 2453 |
| | 66 | 00 | 1630 |

**REGISTERED AVALANCHES: -.**

## FORECAST 02/03/2026

## Danger level: MODERATE 2

## DANGER PATTERNS: shallow snow next to deep snow.

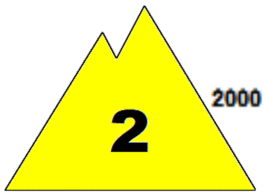





## DANGER PATTERNS: springtime situation.

**SNOWPACK: Snowpack stability is poor on some points (areas) above 2000 m.a.s.l. All Shaddy slopes are critical. medium avalanches are possible.**
**Snowpack stability is poor on some points (areas) below 2000 m.a.s.l. All From east to west-facing slopes are critical. Medium avalanches are possible.**

## WARNING

Due to daytime rising temperatures,careful evaluation of the timing of outdoor activities, in order to avoid crossing steep slopes during the warmest hours of the day , is required.

## EUROPEAN AVALANCHE WARNING SERVICE

## AVALANCHE PROBLEMS

According to EAWS standards Meteomont bulletin is a synoptic-scale system (regional scale). It shall be the user's responsibility to correlate the danger level evaluation of the bulletin with a detailed and expertise analysis of the zonal hazards (single slope), that could be markedly different. Meteorological forecast are issued at UTC (for Italy: in winter time UTC+1: in summer time UTC+2).

Bulletin is subjected to check processes through: the record of Observers and Avalanches and snow Experts data in C-Sifa; the validation by forecasters; the certification by Meteomont Section.

MINISTERO DELLA DIFESA

meteomont
Servizio Nazionale di previsione neve e valanghe

EAWS EUROPEAN AVALANCHE WARNING SERVICES

CARABINIERI

# ALPI LEPONTINE

## WEATHER FORECAST FOR

| Elevation | | 02/03/2026 h6:00 | 02/03/2026 h12:00 | 02/03/2026 h18:00 |
|---|---|---|---|---|
| 1000 | Wind | 01 Knots from West | 01 Knots from East | 00 Calm |
| | Temperatures | -01 °C | -01 °C | +00 °C |
| | Wind chill | -1 °C | -1 °C | 0 °C |
| 2000 | Wind | 01 Knots from S-West | 01 Knots from S-East | 01 Knots from S-East |
| | Temperatures | -02 °C | -02 °C | -02 °C |
| | Wind chill | -2 °C | -2 °C | -2 °C |
| 3000 | Wind | 04 Knots from South | 04 Knots from S-West | 02 Knots from South |
| | Temperatures | -09 °C | -08 °C | -08 °C |
| | Wind chill | -13 °C | -12 °C | -8 °C |
| Freezing level | | 1100-1300 m. | 1100-1300 m. | 1100-1300 m. |
| Atmospheric phenomenon | | — | | — |
| Keys to sky condition | | | | |

## KEYS TO ATMOSPHERIC PHENOMENON

— Absence of adverse weather phenomena
Fog
Mist
Light rain
Moderate rain
Heavy rain
Thunderstorm
Weak snowfall
Moderate snowfall
Heavy snowfall

## KEYS TO SKY CONDITION

Clear
Partly cloudy
Cloudy
Mostly cloudy
Overcast

**(*) Weather and snow data not available.**

**INFORMATION MEANS PREVENTION - SCAN QRCODE TO KNOW DAILY AVALANCHE DANGER LEVEL!**

**IL CAPO DEL CENTRO NAZIONALE METEOMONT**
**(Ten. Col. RFI Emanuela Gini)**
**FIRMA AUTOGRAFA OMESSA AI SENSI**
**DELL'ART.3 DEL D.LGS N.39/1993**

According to EAWS standards Meteomont bulletin is a synoptic-scale system (regional scale). It shall be the user's responsibility to correlate the danger level evaluation of the bulletin with a detailed and expertise analysis of the zonal hazards (single slope), that could be markedly different. Meteorological forecast are issued at UTC (for Italy: in winter time UTC+1: in summer time UTC+2).

Bulletin is subjected to check processes through: the record of Observers and Avalanches and snow Experts data in C-Sifa; the validation by forecasters; the certification by Meteomont Section.