MINISTERO DELLA DIFESA

meteomont
Servizio Nazionale di previsione neve e valanghe

EAWS EUROPEAN AVALANCHE WARNING SERVICES

CARABINIERI

ALPI PENNINE

Avalanche Bulletin N. 363/2026 issued at 14:00 on 03/03/2026
48 hours validity. Next issue on 04/03/2026

By the METEOMONT Service of the ARMA dei CARABINIERI ITALY
In collaboration with Air Force Meteorological Service

Situation on 03/03/2026

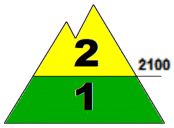

DANGER PATTERNS: shallow snow next to deep snow.



DANGER PATTERNS: springtime situation.

Snow line (m.a.s.l.)	North	South
	1100 - 1300	1500 - 1800

Snow depth (cm)	ground snow	new snow	Elevation (m.a.s.l.)
	128	000	2820
	23	000	1360

REGISTERED AVALANCHES: Small avalanches, Slab surface avalanches.

FORECAST 04/03/2026

Danger level: MODERATE 2

DANGER PATTERNS: shallow snow next to deep snow.

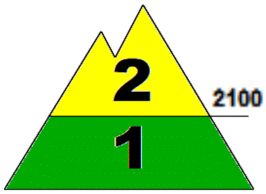

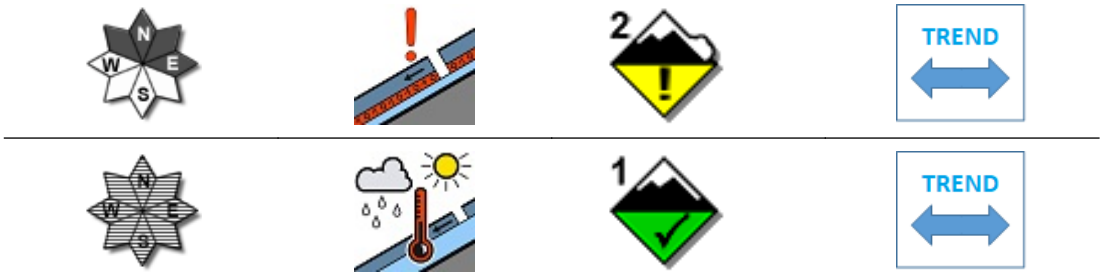

DANGER PATTERNS: springtime situation.

SNOWPACK: Snowpack stability is poor on some points (areas) above 2100 m.a.s.l. All Shaddy slopes are critical. medium avalanches are possible.
Snowpack stability is moderate on few points (areas) below 2100 m.a.s.l. All Isolated slopes are critical. Medium avalanches are possible.

WARNING

Meteomont recommends that you to always carry ARTVA, probe and shovel.

EUROPEAN AVALANCHE WARNING SERVICE

AVALANCHE PROBLEMS

According to EAWS standards Meteomont bulletin is a synoptic-scale system (regional scale). It shall be the user's responsibility to correlate the danger level evaluation of the bulletin with a detailed and expertise analysis of the zonal hazards (single slope), that could be markedly different. Meteorological forecast are issued at UTC (for Italy: in winter time UTC+1: in summer time UTC+2).

Bulletin is subjected to check processes through: the record of Observers and Avalanches and snow Experts data in C-Sifa; the validation by forecasters; the certification by Meteomont Section.

MINISTERO DELLA DIFESA

meteomont
Servizio Nazionale di previsione neve e valanghe

EAWS EUROPEAN AVALANCHE WARNING SERVICES

CARABINIERI

ALPI PENNINE

WEATHER FORECAST FOR

Elevation		04/03/2026 h6:00	04/03/2026 h12:00	04/03/2026 h18:00
1000	Wind	01 Knots from S-West	00 Calm	01 Knots from West
	Temperatures	+01 °C	+02 °C	+03 °C
	Wind chill	1 °C	2 °C	3 °C
2000	Wind	01 Knots from S-West	00 Calm	01 Knots from North
	Temperatures	-01 °C	+00 °C	+02 °C
	Wind chill	-1 °C	0 °C	2 °C
3000	Wind	02 Knots from North	02 Knots from South	00 Calm
	Temperatures	-04 °C	-03 °C	-02 °C
	Wind chill	-4 °C	-3 °C	-2 °C
Freezing level		0500-0700 m.	1800-2000 m.	2000-2200 m.
Atmospheric phenomenon		—	—	—
Keys to sky condition				

KEYS TO ATMOSPHERIC PHENOMENON

— Absence of adverse weather phenomena
Fog
Mist
Light rain
Moderate rain
Heavy rain
Thunderstorm
Weak snowfall
Moderate snowfall
Heavy snowfall

KEYS TO SKY CONDITION

Clear
Partly cloudy
Cloudy
Mostly cloudy
Overcast

Weather and snow data recorded during field and out of field obsevations on 03/03/2026.

Observation field	District	Elevation (m.a.s.l.)	Snow depth (cm)	Snowfall in previous 24 hours (cm)	Temp. Min (°C)	Temp. Max (°C)	General weather conditions
ALPE LUSENTINO	Domodossola (VB)	1184	0	0	+2	+8	Absence of rain or other precipitation
OPACO DI PECETTO	Macugnaga (VB)	1330	20	N.P.	N.P.	N.P.	Absence of rain or other precipitation
PIANALUNGA	Alagna Valsesia (VC)	2025	90	3	-5	+1	Absence of rain or other precipitation

(*) Out of field survey

INFORMATION MEANS PREVENTION - SCAN QRCODE TO KNOW DAILY AVALANCHE DANGER LEVEL!

IL CAPO DEL CENTRO NAZIONALE METEOMONT
(Ten. Col. RFI Emanuela Gini)
FIRMA AUTOGRAFA OMESSA AI SENSI
DELL'ART.3 DEL D.LGS N.39/1993