BUTLLETÍ DEL PERILL D'ALLAUS DEL PRINCIPAT D'ANDORRA

Prepared on 04/03/2026 16:00
Next update 05/03/2026 at 16 am

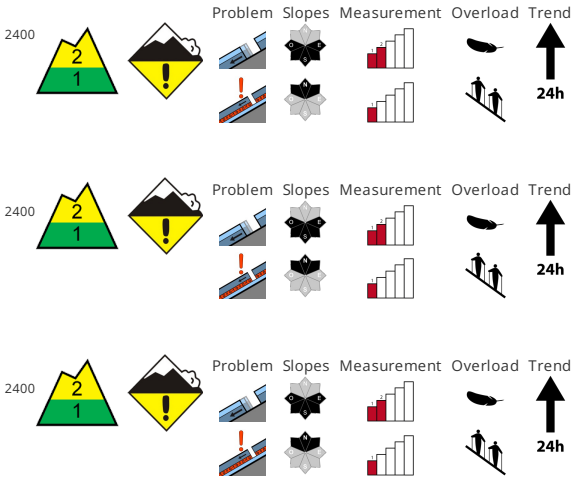

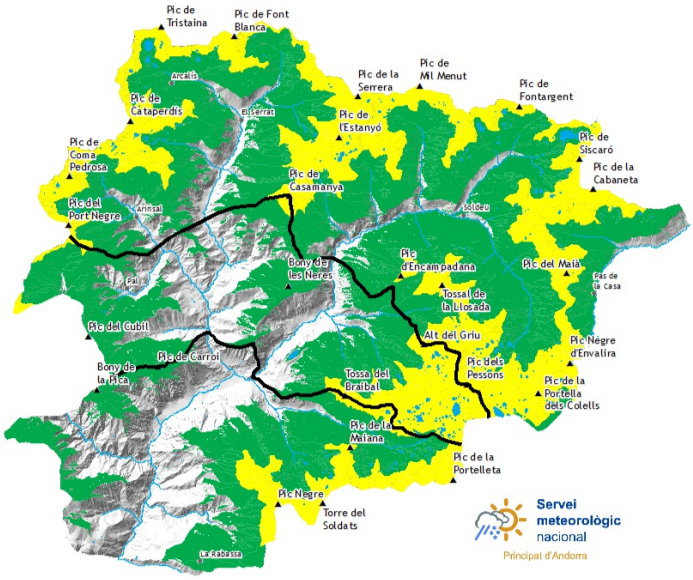

SNOW QUALITY

Gliding avalanches can be released at any time of day or night. This applies in particular on sunny slopes and in the south limit of Andorra. In all aspects individual small moist snow slides are possible as the moisture increases. Thursday :. From midday as the precipitation becomes more intense there will be an increase in the danger of moist avalanches. Weak layers exist in the centre of the snowpack also on very steep north facing slopes. This applies in particular in extremely steep terrain and above approximately 2400 m. These can sometimes be released, mostly by large loads in isolated cases and reach medium size.

STABILITY OF THE SNOW MANTLE

In some localities up to 5 cm of snow will fall. Thursday :. In particular in the southeast in some regions 15 cm of snow, and up to 15 cm in some localities, will fall from midday above approximately 2400 m. Up to intermediate altitudes rain will fall especially in the southeast. The conditions are spring-like. Outgoing longwave radiation during the night will be reduced. The surface of the snowpack will only just freeze will soften quickly. Snow depths vary greatly above approximately 2100 m , depending on the infuence of the wind. Areas with glide cracks are to be avoided.

OFF-PISTE SNOW COVER THICKNESSES

North zone		Snow thickness		
Snowpack		1500m	2000m	2500m
N	1600 m	30 cm	150 cm	200 cm
S	1900 m	0 cm	100 cm	150 cm

Center area		Snow thickness		
Snowpack		1500m	2000m	2500m
N	1600 m	20 cm	150 cm	200 cm
S	1900 m	0 cm	100 cm	150 cm

South zone		Snow thickness		
Snowpack		1500m	2000m	2500m
N	1600 m	20 cm	120 cm	150 cm
S	1900 m	0 cm	60 cm	100 cm

Govern d'Andorra

EAWS EUROPEAN AVALANCHE WARNING SERVICES

Aquest butlletí ha estat elaborat seguint les normes i recomanacions de l'**European Avalanche Warning Services**, del qual el **Servei meteorològic Nacional** n'és membre

BUTLLETÍ DEL PERILL D'ALLAUS DEL PRINCIPAT D'ANDORRA

Servei meteorològic nacional
Principat d'Andorra

Detailed information for protected areas

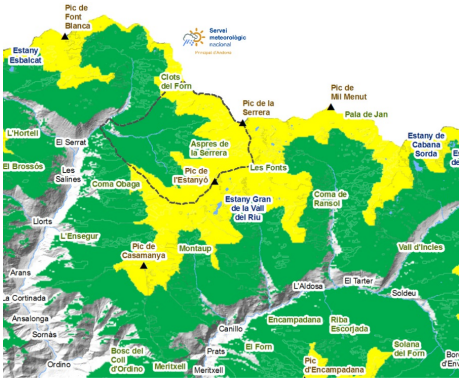

SORTENY

The little new snow, mixed with mud, that fell on Wednesday will not change the stability conditions. From midday on Thursday precipitation with a snow level at 2400m will moisten the snow in all orientations at lower elevations and create weak accumulations above. \r\n We find snow on all the paths from Llorts and access with skis to the Refuge is continuous. On the northern slopes there is recycled powder snow (large facets) very pleasant to ski. This snow rests on top of slabs that hide some persistent weak layers in the highest and steepest places. Although we only have these identified in some very inclined places facing the north (obacs), we must take them into account to choose our route safely and not lose the habit of driving in safe places.

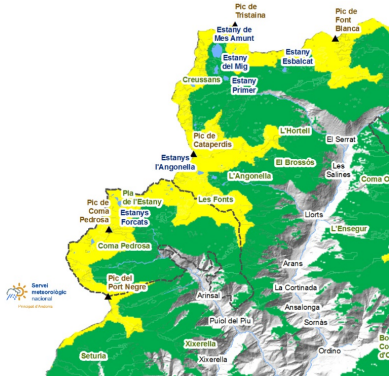

COMAPEDROSA

The access from Arinsal is getting less and less snow, and we find continuous snow higher up. In the upper parts of the Park, however, the conditions are very good and numerous excursions can be made, always maintaining the careful choice of the itinerary and the schedule of the excursions. Liquid precipitation at low altitudes will contribute to reducing ski access.

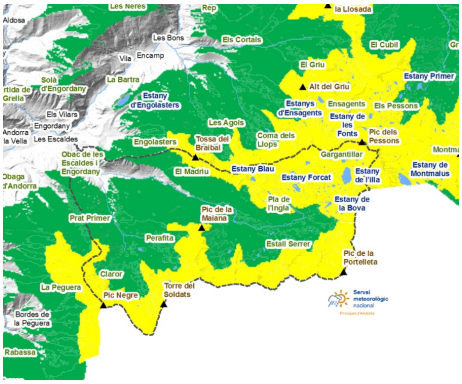

MADRIU-PERAFITA-CLAROR

On the southern slopes and at low altitudes the conditions are spring-like, with slightly frozen snow in the morning and slush in the afternoon. On the northern slopes and at altitude, the snow remains powdery.

Govern d'Andorra

EAWS EUROPEAN AVALANCHE WARNING SERVICES

Aquest butlletí ha estat elaborat seguint les normes i recomanacions de l'**European Avalanche Warning Services**, del qual el **Servei meteorològic Nacional** n'és membre

BUTLLETÍ DEL PERILL D'ALLAUS DEL PRINCIPAT D'ANDORRA

Servei meteorològic nacional
Principat d'Andorra

Thick snow in recent days (last 24 hours measured at 06:00 UTC)

	28/02/2026	01/03/2026	02/03/2026	03/03/2026
FEDA (Central)	0 cm	0 cm	0 cm	0 cm
Engolasters - FEDA	0 cm	0 cm	0 cm	0 cm
Ransol - FEDA	2 cm	0 cm	0 cm	4 cm
Fontverd	0 cm	0 cm	0 cm	0 cm
Setúria	0 cm	0 cm	0 cm	0 cm
Bony de les Neres	0 cm	0 cm	0 cm	0 cm
Grau Roig - FEDA	0 cm	0 cm	0 cm	0 cm
Caborreu	1 cm	0 cm	0 cm	0 cm
Sorteny	2 cm	0 cm	0 cm	0 cm
Perafita	0 cm	0 cm	0 cm	4 cm
Tossa Espiolets	1 cm	0 cm	0 cm	2 cm
La Solana	5 cm	0 cm	0 cm	0 cm
Vall del Riu FEDA	0 cm	0 cm	0 cm	3 cm
Envalira Antenes	0 cm	0 cm	0 cm	4 cm