MINISTERO DELLA DIFESA

meteomont
Servizio Nazionale di previsione neve e valanghe

EAWS EUROPEAN AVALANCHE WARNING SERVICES

CARABINIERI

TERMINILLO MONTI REATINI E LAGA OVEST

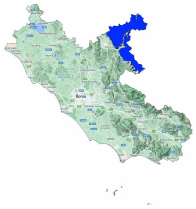

Avalanche Bulletin N. 305/2026 issued at 14:00 on 04/03/2026
48 hours validity. Next issue on 05/03/2026

By the METEOMONT Service of the ARMA dei CARABINIERI ITALY
In collaboration with Air Force Meteorological Service

Situation on 04/03/2026

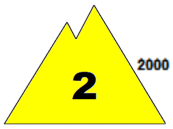

DANGER PATTERNS: shallow snow next to deep snow.

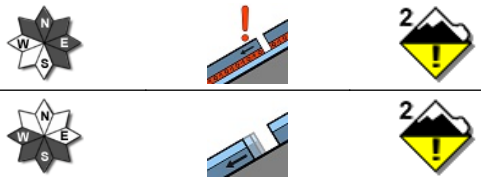

DANGER PATTERNS: gliding snow.

Snow line (m.a.s.l.)	North	South
	1500 - 1700	1700 - 1900

Snow depth (cm)	ground snow	new snow	Elevation (m.a.s.l.)
	059	000	1772
	000	000	1350

REGISTERED AVALANCHES: No avalanches detected.

FORECAST 05/03/2026

Danger level: MODERATE 2

DANGER PATTERNS: springtime situation.

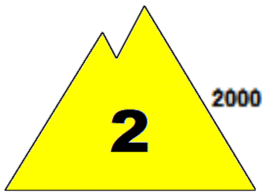



DANGER PATTERNS: gliding snow.

SNOWPACK: Snowpack stability is poor on some points (areas) above 2000 m.a.s.l. All From east to west-facing slopes are critical. medium avalanches are possible.
Snowpack stability is poor on some points (areas) below 2000 m.a.s.l. All Sunny slopes are critical. Medium avalanches are possible.

WARNING

Avoid practicing outdoor activities beyond the maintained and marked tracks around midday.

EUROPEAN AVALANCHE WARNING SERVICE

AVALANCHE PROBLEMS

According to EAWS standards Meteomont bulletin is a synoptic-scale system (regional scale). It shall be the user's responsibility to correlate the danger level evaluation of the bulletin with a detailed and expertise analysis of the zonal hazards (single slope), that could be markedly different. Meteorological forecast are issued at UTC (for Italy: in winter time UTC+1: in summer time UTC+2).

Bulletin is subjected to check processes through: the record of Observers and Avalanches and snow Experts data in C-Sifa; the validation by forecasters; the certification by Meteomont Section.

MINISTERO DELLA DIFESA

meteomont
Servizio Nazionale di previsione neve e valanghe

EAWS EUROPEAN AVALANCHE WARNING SERVICES

CARABINIERI

TERMINILLO MONTI REATINI E LAGA OVEST

WEATHER FORECAST FOR

Elevation		05/03/2026 h6:00	05/03/2026 h12:00	05/03/2026 h18:00
1000	Wind	02 Knots from East	01 Knots from N-East	03 Knots from East
	Temperatures	+04 °C	+09 °C	+05 °C
	Wind chill	4 °C	9 °C	4 °C
2000	Wind	01 Knots from S-East	00 Calm	03 Knots from East
	Temperatures	+04 °C	+04 °C	+05 °C
	Wind chill	4 °C	4 °C	4 °C
3000	Wind	06 Knots from West	04 Knots from West	01 Knots from North
	Temperatures	-02 °C	-01 °C	+00 °C
	Wind chill	-6 °C	-4 °C	0 °C
Freezing level		2500-2700 m.	2700-2900 m.	2800-3000 m.
Atmospheric phenomenon		—	—	—
Keys to sky condition				

KEYS TO ATMOSPHERIC PHENOMENON

— Absence of adverse weather phenomena
Fog
Mist
Light rain
Moderate rain
Heavy rain
Thunderstorm
Weak snowfall
Moderate snowfall
Heavy snowfall

KEYS TO SKY CONDITION

Clear
Partly cloudy
Cloudy
Mostly cloudy
Overcast

Weather and snow data recorded during field and out of field obsevations on 04/03/2026.

Observation field	District	Elevation (m.a.s.l.)	Snow depth (cm)	Snowfall in previous 24 hours (cm)	Temp. Min (°C)	Temp. Max (°C)	General weather conditions
PESCHIERE	Amatrice (RI)	1270	0	0	+3	+15	Intermittent light rain
M. CAIDURO	Cittareale (RI)	1300	0	0	+4	+13	Absence of rain or other precipitation
VALLONINA	Leonessa (RI)	1350	0	0	+2	+15	Intermittent light rain
RIFUGIO SEBASTIANI	Micigliano (RI)	1825	183	0	N.P.	N.P.	Absence of rain or other precipitation
GIRO DELL'ANELLO - VILLA CHIGI *	Rieti (RI)	1772	59	0	+2	+4	Continuous light snow
MONTE ROTONDO *	Micigliano (RI)	1854	125	0	N.P.	N.P.	Absence of rain or other precipitation

(*) Out of field survey

INFORMATION MEANS PREVENTION - SCAN QRCODE TO KNOW DAILY AVALANCHE DANGER LEVEL!

IL CAPO DEL CENTRO NAZIONALE METEOMONT
(Ten. Col. RFI Emanuela Gini)
FIRMA AUTOGRAFA OMESSA AI SENSI
DELL'ART.3 DEL D.LGS N.39/1993

According to EAWS standards Meteomont bulletin is a synoptic-scale system (regional scale). It shall be the user's responsibility to correlate the danger level evaluation of the bulletin with a detailed and expertise analysis of the zonal hazards (single slope), that could be markedly different. Meteorological forecast are issued at UTC (for Italy: in winter time UTC+1: in summer time UTC+2).

Bulletin is subjected to check processes through: the record of Observers and Avalanches and snow Experts data in C-Sifa; the validation by forecasters; the certification by Meteomont Section.