BUTLLETÍ DEL PERILL D'ALLAUS DEL PRINCIPAT D'ANDORRA

Servei meteorològic nacional
Principat d'Andorra

Prepared on 05/03/2026 16:00
Next update 06/03/2026 at 16 am

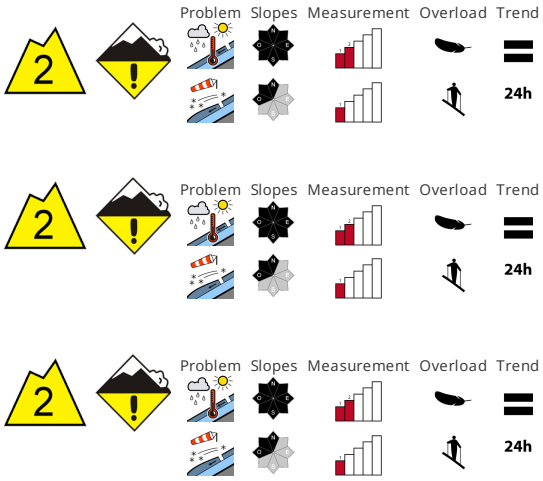

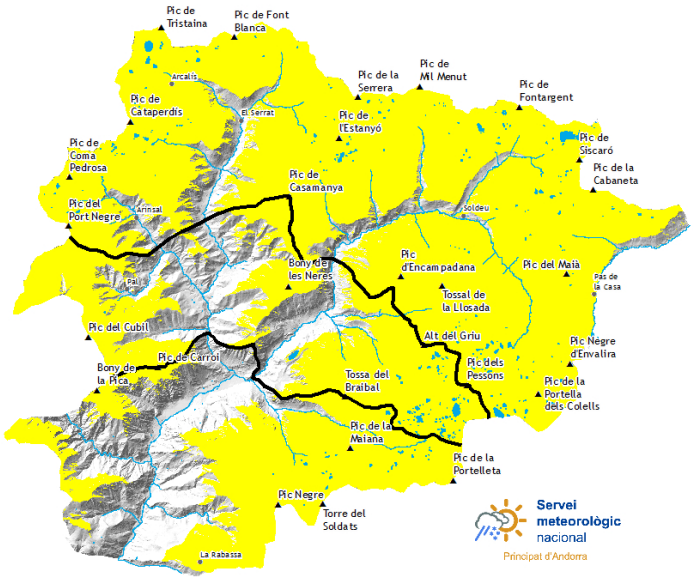

SNOW QUALITY

Below approximately 2400 m moist avalanches are to be expected as the precipitation becomes more intense. Explanation: these may only stand for these avalanches can be released naturally and reach medium size. Gliding avalanches are also to be expected at any time. High altitudes :. The southeasterly wind will transport the new snow. From the middle of the day mostly small wind slabs will form adjacent to ridgelines on west, northwest and north facing slopes. These places are sometimes covered with new snow and are difficult to recognise. The avalanche prone locations are barely recognisable because of the poor visibility.

STABILITY OF THE SNOW MANTLE

In particular in the southeast in some regions 15 cm of snow, and up to 15 cm in some localities, will fall from midday above approximately 2400 m. Up to high altitudes rain will fall especially in the southeast. Outgoing longwave radiation during the night will be severely restricted. Snow depths vary greatly above approximately 2100 m , depending on the infuence of the wind. Areas with glide cracks are to be avoided.

OFF-PISTE SNOW COVER THICKNESSES

North zone		Snow thickness		
Snowpack		1500m	2000m	2500m
N	1600 m	30 cm	150 cm	200 cm
S	1900 m	0 cm	100 cm	150 cm

Center area		Snow thickness		
Snowpack		1500m	2000m	2500m
N	1600 m	20 cm	150 cm	200 cm
S	1900 m	0 cm	100 cm	150 cm

South zone		Snow thickness		
Snowpack		1500m	2000m	2500m
N	1600 m	20 cm	120 cm	150 cm
S	1900 m	0 cm	60 cm	100 cm

Govern d'Andorra

EAWS EUROPEAN AVALANCHE WARNING SERVICES

Aquest butlletí ha estat elaborat seguint les normes i recomanacions de l'**European Avalanche Warning Services**, del qual el **Servei meteorològic Nacional** n'és membre

BUTLLETÍ DEL PERILL D'ALLAUS DEL PRINCIPAT D'ANDORRA

Servei meteorològic nacional
Principat d'Andorra

Detailed information for protected areas

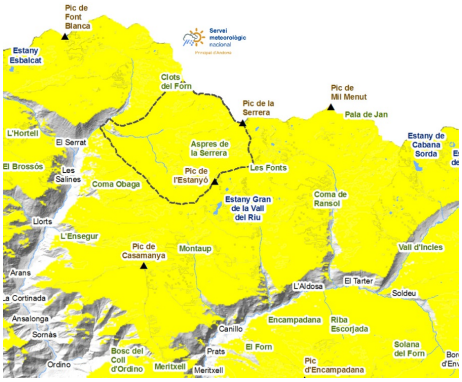

SORTENY

From noon on Thursday, precipitation with mud and a snow level around 2200 m are expected, it will moisten the mantle in all directions, below this level; while weak accumulations of about 5 cm may form above in this sector. At altitude, the wind will be able to transport the little snow available and form small, irregular accumulations.

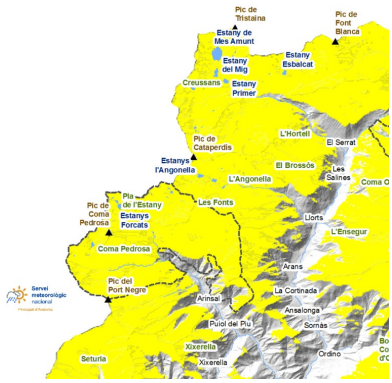

COMAPEDROSA

The access from Arinsal is getting less and less snow, and the predicted rain will further delay the continuous snow line. As long as the precipitation lasts, the poor visibility makes excursions in the Park inadvisable, but once they have ended, the conditions will generally remain stable and numerous excursions can be made, always maintaining a careful choice of the itinerary.

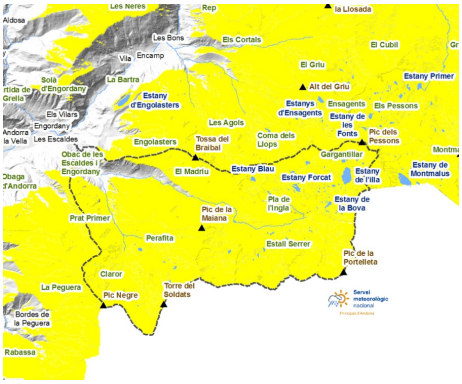

MADRIU-PERAFITA-CLAROR

The mantle is generally thin and irregular, with better snow continuity on the northern and obac slopes, where dry recycled snow is still found at high altitudes. It will be the sector most affected by precipitation and, therefore, where we anticipate the greatest activity.

Govern d'Andorra

EAWS
EUROPEAN AVALANCHE WARNING SERVICES

Aquest butlletí ha estat elaborat seguint les normes i recomanacions de l'**European Avalanche Warning Services**, del qual el **Servei meteorològic Nacional** n'és membre

BUTLLETÍ DEL PERILL D'ALLAUS DEL PRINCIPAT D'ANDORRA

Servei meteorològic nacional
Principat d'Andorra

Thick snow in recent days (last 24 hours measured at 06:00 UTC)

	01/03/2026	02/03/2026	03/03/2026	04/03/2026
FEDA (Central)	0 cm	0 cm	0 cm	0 cm
Engolasters - FEDA	0 cm	0 cm	0 cm	0 cm
Bony de les Neres	0 cm	0 cm	0 cm	0 cm
Sorteny	0 cm	0 cm	0 cm	3 cm
Perafita	0 cm	0 cm	4 cm	3 cm
Tossa Espiolets	0 cm	0 cm	2 cm	0 cm
Grau Roig - FEDA	0 cm	0 cm	0 cm	0 cm
Fontverd	0 cm	0 cm	0 cm	0 cm
Ransol - FEDA	0 cm	0 cm	0 cm	0 cm
Setúria	0 cm	0 cm	0 cm	0 cm
Caborreu	0 cm	0 cm	0 cm	0 cm
La Solana	0 cm	0 cm	0 cm	0 cm
Envalira Antenes	0 cm	0 cm	4 cm	0 cm
Vall del Riu FEDA	0 cm	0 cm	3 cm	0 cm