MINISTERO DELLA DIFESA

meteomont Servizio Nazionale di previsione neve e valanghe

EAWS EUROPEAN AVALANCHE WARNING SERVICES

CARABINIERI

## ALPI OROBICHE

Avalanche Bulletin N. 363/2026 issued at 14:00 on 04/03/2026
48 hours validity. Next issue on 05/03/2026

**By the METEOMONT Service of the ARMA dei CARABINIERI ITALY**
**In collaboration with Air Force Meteorological Service**

## Situation on 04/03/2026

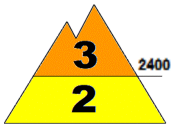


**DANGER PATTERNS: shallow snow next to deep snow.**

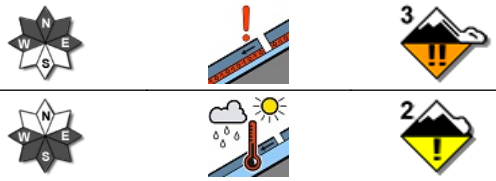


**DANGER PATTERNS: springtime situation.**

| Snow line (m.a.s.l.) | North | South |
|---|---|---|
| | 1400 - 1600 | 1500 - 2000 |

| Snow depth (cm) | ground snow | new snow | Elevation (m.a.s.l.) |
|---|---|---|---|
| | 130 | 000 | 2080 |
| | 051 | 0 | 1635 |

**REGISTERED AVALANCHES: No avalanches detected.**

## FORECAST 05/03/2026

# Danger level: CONSIDERABLE 3

## DANGER PATTERNS: shallow snow next to deep snow.

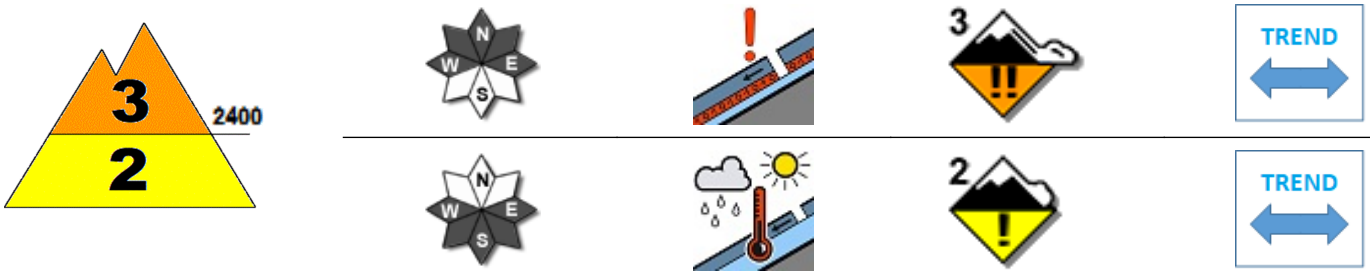


## DANGER PATTERNS: springtime situation.

**SNOWPACK: Snowpack stability is poor on some points (areas) above 2400 m.a.s.l. All From west to east-facing slopes are critical. large avalanches are possible.**
**Snowpack stability is poor on some points (areas) below 2400 m.a.s.l. All From east to west-facing slopes are critical. Medium avalanches are possible.**

## WARNING

Due to daytime rising temperatures,careful evaluation of the timing of outdoor activities, in order to avoid crossing steep slopes during the warmest hours of the day , is required.

## EUROPEAN AVALANCHE WARNING SERVICE

## AVALANCHE PROBLEMS

According to EAWS standards Meteomont bulletin is a synoptic-scale system (regional scale). It shall be the user's responsibility to correlate the danger level evaluation of the bulletin with a detailed and expertise analysis of the zonal hazards (single slope), that could be markedly different. Meteorological forecast are issued at UTC (for Italy: in winter time UTC+1: in summer time UTC+2).

Bulletin is subjected to check processes through: the record of Observers and Avalanches and snow Experts data in C-Sifa; the validation by forecasters; the certification by Meteomont Section.

# ALPI OROBICHE

## WEATHER FORECAST FOR

| Elevation | | 05/03/2026 h6:00 | 05/03/2026 h12:00 | 05/03/2026 h18:00 |
|---|---|---|---|---|
| 1000 | Wind | 00 Calm | 01 Knots from N-West | 02 Knots from North |
| | Temperatures | +03 °C | +01 °C | +04 °C |
| | Wind chill | 3 °C | 1 °C | 4 °C |
| 2000 | Wind | 00 Calm | 02 Knots from West | 02 Knots from North |
| | Temperatures | +01 °C | +01 °C | +03 °C |
| | Wind chill | 1 °C | 1 °C | 3 °C |
| 3000 | Wind | 03 Knots from S-West | 05 Knots from S-West | 05 Knots from West |
| | Temperatures | -03 °C | -03 °C | -02 °C |
| | Wind chill | -5 °C | -7 °C | -5 °C |
| Freezing level | | 1300-1500 m. | 2100-2300 m. | 2500-2700 m. |
| Atmospheric phenomenon | | — | — | — |
| Keys to sky condition | | | | |

## KEYS TO ATMOSPHERIC PHENOMENON

— Absence of adverse weather phenomena
Fog
Mist
Light rain
Moderate rain
Heavy rain
Thunderstorm
Weak snowfall
Moderate snowfall
Heavy snowfall

## KEYS TO SKY CONDITION

Clear
Partly cloudy
Cloudy
Mostly cloudy
Overcast

## Weather and snow data recorded during field and out of field obsevations on 04/03/2026.

| Observation field | District | Elevation (m.a.s.l.) | Snow depth (cm) | Snowfall in previous 24 hours (cm) | Temp. Min (°C) | Temp. Max (°C) | General weather conditions |
|---|---|---|---|---|---|---|---|
| VODALA | Gromo (BG) | 1635 | 55 | 0 | -1 | 0 | Absence of rain or other precipitation |
| QUARTA BAITA | Foppolo (BG) | 1760 | 61 | 0 | -3 | +2 | Absence of rain or other precipitation |
| CIMA BIANCA | Colere (BG) | 2080 | 130 | 0 | -3 | +7 | Absence of rain or other precipitation |

(*) Out of field survey

**INFORMATION MEANS PREVENTION - SCAN QRCODE TO KNOW DAILY AVALANCHE DANGER LEVEL!**

**IL CAPO DEL CENTRO NAZIONALE METEOMONT**
**(Ten. Col. RFI Emanuela Gini)**
**FIRMA AUTOGRAFA OMESSA AI SENSI**
**DELL'ART.3 DEL D.LGS N.39/1993**

According to EAWS standards Meteomont bulletin is a synoptic-scale system (regional scale). It shall be the user's responsibility to correlate the danger level evaluation of the bulletin with a detailed and expertise analysis of the zonal hazards (single slope), that could be markedly different. Meteorological forecast are issued at UTC (for Italy: in winter time UTC+1: in summer time UTC+2).

Bulletin is subjected to check processes through: the record of Observers and Avalanches and snow Experts data in C-Sifa; the validation by forecasters; the certification by Meteomont Section.