MINISTERO DELLA DIFESA

meteomont
Servizio Nazionale di previsione neve e valanghe

EAWS EUROPEAN AVALANCHE WARNING SERVICES

CARABINIERI

# TERMINILLO MONTI REATINI E LAGA OVEST

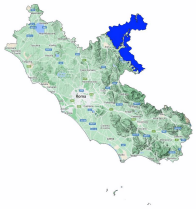

Avalanche Bulletin N. 305/2026 issued at 14:00 on 04/03/2026
48 hours validity. Next issue on 05/03/2026

**By the METEOMONT Service of the ARMA dei CARABINIERI ITALY**
**In collaboration with Air Force Meteorological Service**

## Situation on 04/03/2026

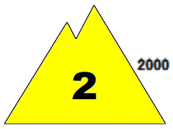


**DANGER PATTERNS: shallow snow next to deep snow.**

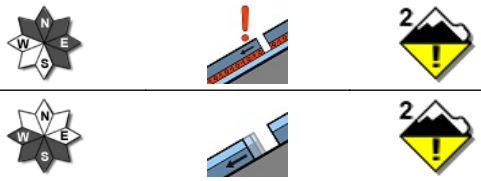


**DANGER PATTERNS: gliding snow.**

| Snow line (m.a.s.l.) | North | South |
|---|---|---|
| | 1500 - 1700 | 1700 - 1900 |

| Snow depth (cm) | ground snow | new snow | Elevation (m.a.s.l.) |
|---|---|---|---|
| | 059 | 000 | 1772 |
| | 000 | 000 | 1350 |

**REGISTERED AVALANCHES: No avalanches detected.**

## FORECAST 05/03/2026

# Danger level: MODERATE 2

## DANGER PATTERNS: springtime situation.

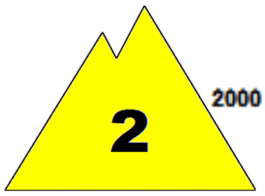





## DANGER PATTERNS: gliding snow.

**SNOWPACK: Snowpack stability is poor on some points (areas) above 2000 m.a.s.l. All From east to west-facing slopes are critical. medium avalanches are possible.**
**Snowpack stability is poor on some points (areas) below 2000 m.a.s.l. All Sunny slopes are critical. Medium avalanches are possible.**

## WARNING

Avoid practicing outdoor activities beyond the maintained and marked tracks around midday.

## EUROPEAN AVALANCHE WARNING SERVICE

## AVALANCHE PROBLEMS

According to EAWS standards Meteomont bulletin is a synoptic-scale system (regional scale). It shall be the user's responsibility to correlate the danger level evaluation of the bulletin with a detailed and expertise analysis of the zonal hazards (single slope), that could be markedly different. Meteorological forecast are issued at UTC (for Italy: in winter time UTC+1: in summer time UTC+2).

Bulletin is subjected to check processes through: the record of Observers and Avalanches and snow Experts data in C-Sifa; the validation by forecasters; the certification by Meteomont Section.

MINISTERO DELLA DIFESA

meteomont
Servizio Nazionale di previsione neve e valanghe

EAWS EUROPEAN AVALANCHE WARNING SERVICES

CARABINIERI

# TERMINILLO MONTI REATINI E LAGA OVEST

## WEATHER FORECAST FOR

| Elevation | | 05/03/2026 h6:00 | 05/03/2026 h12:00 | 05/03/2026 h18:00 |
|---|---|---|---|---|
| 1000 | Wind | 02 Knots from East | 01 Knots from N-East | 03 Knots from East |
| | Temperatures | +04 °C | +09 °C | +05 °C |
| | Wind chill | 4 °C | 9 °C | 4 °C |
| 2000 | Wind | 01 Knots from S-East | 00 Calm | 03 Knots from East |
| | Temperatures | +04 °C | +04 °C | +05 °C |
| | Wind chill | 4 °C | 4 °C | 4 °C |
| 3000 | Wind | 06 Knots from West | 04 Knots from West | 01 Knots from North |
| | Temperatures | -02 °C | -01 °C | +00 °C |
| | Wind chill | -6 °C | -4 °C | 0 °C |
| Freezing level | | 2500-2700 m. | 2700-2900 m. | 2800-3000 m. |
| Atmospheric phenomenon | | — | — | — |
| Keys to sky condition | | | | |

## KEYS TO ATMOSPHERIC PHENOMENON

— Absence of adverse weather phenomena
Fog
Mist
Light rain
Moderate rain
Heavy rain
Thunderstorm
Weak snowfall
Moderate snowfall
Heavy snowfall

## KEYS TO SKY CONDITION

Clear
Partly cloudy
Cloudy
Mostly cloudy
Overcast

## Weather and snow data recorded during field and out of field obsevations on 04/03/2026.

| Observation field | District | Elevation (m.a.s.l.) | Snow depth (cm) | Snowfall in previous 24 hours (cm) | Temp. Min (°C) | Temp. Max (°C) | General weather conditions |
|---|---|---|---|---|---|---|---|
| PESCHIERE | Amatrice (RI) | 1270 | 0 | 0 | +3 | +15 | Intermittent light rain |
| M. CAIDURO | Cittareale (RI) | 1300 | 0 | 0 | +4 | +13 | Absence of rain or other precipitation |
| VALLONINA | Leonessa (RI) | 1350 | 0 | 0 | +2 | +15 | Intermittent light rain |
| RIFUGIO SEBASTIANI | Micigliano (RI) | 1825 | 183 | 0 | N.P. | N.P. | Absence of rain or other precipitation |
| GIRO DELL'ANELLO - VILLA CHIGI * | Rieti (RI) | 1772 | 59 | 0 | +2 | +4 | Continuous light snow |
| MONTE ROTONDO * | Micigliano (RI) | 1854 | 125 | 0 | N.P. | N.P. | Absence of rain or other precipitation |

(*) Out of field survey

**INFORMATION MEANS PREVENTION - SCAN QRCODE TO KNOW DAILY AVALANCHE DANGER LEVEL!**

IL CAPO DEL CENTRO NAZIONALE METEOMONT
(Ten. Col. RFI Emanuela Gini)
FIRMA AUTOGRAFA OMESSA AI SENSI
DELL'ART.3 DEL D.LGS N.39/1993

According to EAWS standards Meteomont bulletin is a synoptic-scale system (regional scale). It shall be the user's responsibility to correlate the danger level evaluation of the bulletin with a detailed and expertise analysis of the zonal hazards (single slope), that could be markedly different. Meteorological forecast are issued at UTC (for Italy: in winter time UTC+1: in summer time UTC+2).

Bulletin is subjected to check processes through: the record of Observers and Avalanches and snow Experts data in C-Sifa; the validation by forecasters; the certification by Meteomont Section.