BUTLLETÍ DEL PERILL D'ALLAUS DEL PRINCIPAT D'ANDORRA

Servei meteorològic nacional
Principat d'Andorra

Prepared on 06/03/2026 16:00
Next update 07/03/2026 at 16 am

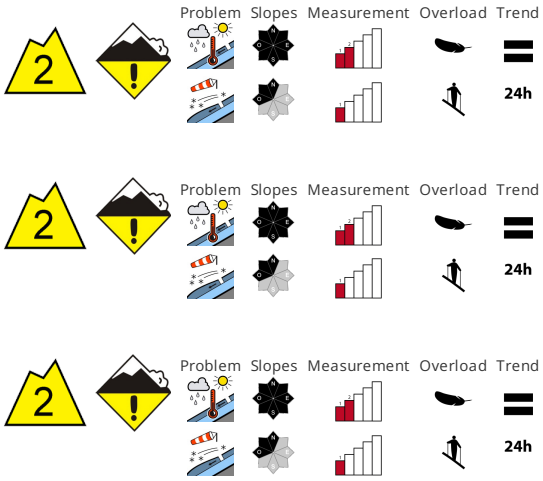

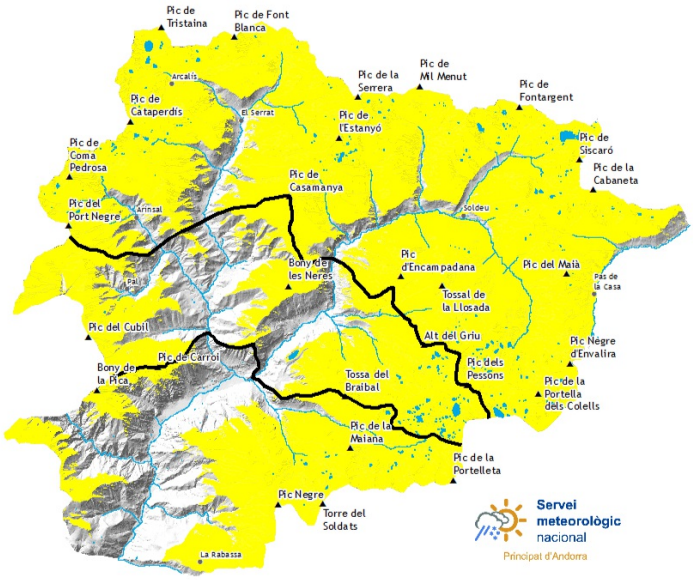

SNOW QUALITY

Below approximately 2200 m moist avalanches are to be expected as the precipitation becomes more intense. Explanation: these may only stand for these avalanches can be released naturally and reach medium size. Gliding avalanches are also to be expected at any time. High altitudes :. The southeasterly wind will transport the new snow. As a consequence of new snow and wind the wind slabs will increase in size moderately. In addition some small moist slab avalanches are possible. These places are sometimes covered with new snow and are difficult to recognise. The avalanche prone locations are barely recognisable because of the poor visibility.

STABILITY OF THE SNOW MANTLE

Up to high altitudes rain will fall especially in the southeast. In some localities up to 15 cm of snow will fall above approximately 2000 m. Outgoing longwave radiation during the night will be reduced. Snow depths vary greatly above approximately 2100 m, depending on the infuence of the wind. Areas with glide cracks are to be avoided. Saturday :. The weather will be sunny at times.

OFF-PISTE SNOW COVER THICKNESSES

North zone		Snow thickness		
Snowpack		1500m	2000m	2500m
N	1600 m	0 cm	150 cm	200 cm
S	1900 m	0 cm	100 cm	150 cm

Center area		Snow thickness		
Snowpack		1500m	2000m	2500m
N	1600 m	0 cm	150 cm	200 cm
S	1900 m	0 cm	100 cm	150 cm

South zone		Snow thickness		
Snowpack		1500m	2000m	2500m
N	1600 m	0 cm	120 cm	150 cm
S	1900 m	0 cm	60 cm	100 cm

Govern d'Andorra

EAWS
EUROPEAN AVALANCHE WARNING SERVICES

Aquest butlletí ha estat elaborat seguint les normes i recomanacions de l'**European Avalanche Warning Services**, del qual el **Servei meteorològic Nacional** n'és membre

Detailed information for protected areas

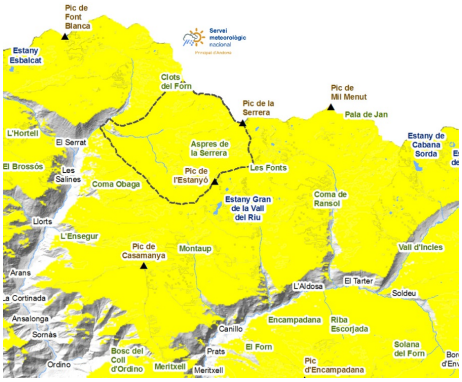

SORTENY

Weak precipitation with mud and a snow level around 2000 m will continue, which will moisten the mantle in all directions, below this level; while weak accumulations of about 5 cm may form above in this sector. At altitude, the wind will be able to transport the little snow available and form small, irregular accumulations.

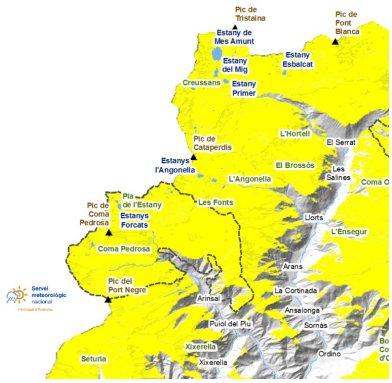

COMAPEDROSA

The access from Arinsal is getting less and less snow, and the predicted rain will further delay the continuous snow line. As long as the precipitation lasts, the poor visibility makes excursions to the Park inadvisable, but once they have ended, numerous excursions can be made, always maintaining a careful choice of the itinerary.

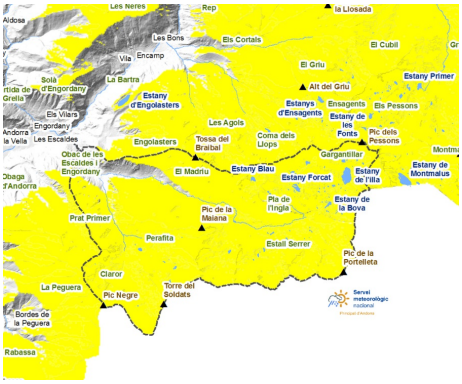

MADRIU-PERAFITA-CLAROR

The mantle is generally thin and irregular, with better snow continuity on the northern and obscure slopes. It was the sector most affected by Thursday's precipitation, although in some high places the wind has left the old snow exposed. Until Saturday, it will continue to be the sector with the most precipitation and, therefore, where we anticipate the greatest activity.

BUTLLETÍ DEL PERILL D'ALLAUS DEL PRINCIPAT D'ANDORRA

Servei meteorològic nacional
Principat d'Andorra

Thick snow in recent days (last 24 hours measured at 06:00 UTC)

	02/03/2026	03/03/2026	04/03/2026	05/03/2026
FEDA (Central)	0 cm	0 cm	0 cm	0 cm
Engolasters - FEDA	0 cm	0 cm	0 cm	0 cm
Bony de les Neres	0 cm	0 cm	0 cm	0 cm
Sorteny	0 cm	0 cm	3 cm	10 cm
Les Fonts d'Arinsal	0 cm	4 cm	0 cm	10 cm
Perafita	0 cm	4 cm	3 cm	26 cm
Tossa Espiolets	0 cm	2 cm	0 cm	17 cm
Grau Roig - FEDA	0 cm	0 cm	0 cm	3 cm
Fontverd	0 cm	0 cm	0 cm	0 cm
Ransol - FEDA	0 cm	0 cm	0 cm	0 cm
Setúria	0 cm	0 cm	0 cm	0 cm
Caborreu	0 cm	0 cm	0 cm	0 cm
La Solana	0 cm	0 cm	0 cm	10 cm
Coll Pa	0 cm	0 cm	0 cm	9 cm
Envalira Antenes	0 cm	4 cm	0 cm	1 cm
Vall del Riu FEDA	0 cm	3 cm	0 cm	9 cm