MINISTERO DELLA DIFESA

meteomont
Servizio Nazionale di previsione neve e valanghe

EAWS EUROPEAN AVALANCHE WARNING SERVICES

CARABINIERI

# ALPI PENNINE

Avalanche Bulletin N. 365/2026 issued at 14:00 on 05/03/2026
48 hours validity. Next issue on 06/03/2026

**By the METEOMONT Service of the ARMA dei CARABINIERI ITALY**
**In collaboration with Air Force Meteorological Service**

## Situation on 05/03/2026

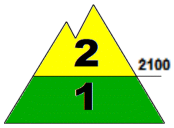


**DANGER PATTERNS: shallow snow next to deep snow.**



**DANGER PATTERNS: springtime situation.**

| Snow line (m.a.s.l.) | North | South |
|---|---|---|
| | 1100 - 1300 | 1500 - 1800 |

| Snow depth (cm) | ground snow | new snow | Elevation (m.a.s.l.) |
|---|---|---|---|
| | 128 | 000 | 2820 |
| | 23 | 000 | 1360 |

**REGISTERED AVALANCHES: Small avalanches, Full-depth slab avalanches.**

## FORECAST 06/03/2026

## Danger level: MODERATE 2

## DANGER PATTERNS: shallow snow next to deep snow.

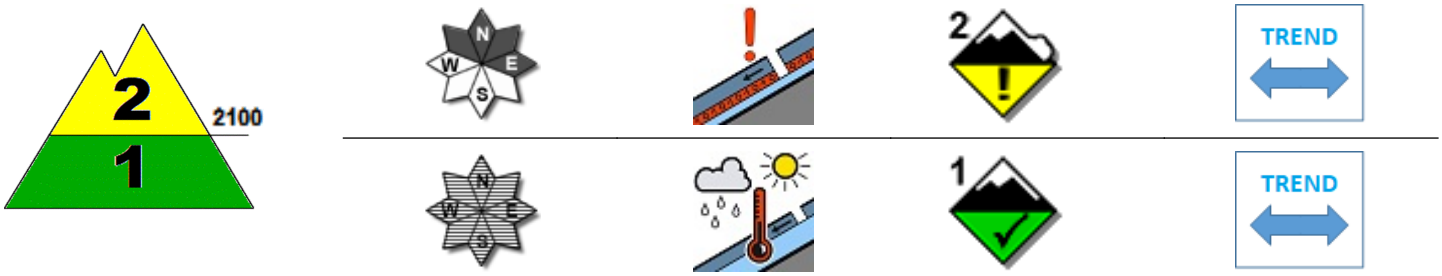


## DANGER PATTERNS: springtime situation.

**SNOWPACK: Snowpack stability is poor on some points (areas) above 2100 m.a.s.l. All Shaddy slopes are critical. medium avalanches are possible.**
**Snowpack stability is moderate on few points (areas) below 2100 m.a.s.l. All Isolated slopes are critical. Medium avalanches are possible.**

## WARNING

Meteomont recommends that you to always carry ARTVA, probe and shovel.

## EUROPEAN AVALANCHE WARNING SERVICE

## AVALANCHE PROBLEMS

According to EAWS standards Meteomont bulletin is a synoptic-scale system (regional scale). It shall be the user's responsibility to correlate the danger level evaluation of the bulletin with a detailed and expertise analysis of the zonal hazards (single slope), that could be markedly different. Meteorological forecast are issued at UTC (for Italy: in winter time UTC+1: in summer time UTC+2).

Bulletin is subjected to check processes through: the record of Observers and Avalanches and snow Experts data in C-Sifa; the validation by forecasters; the certification by Meteomont Section.

# ALPI PENNINE

## WEATHER FORECAST FOR

| Elevation | | 06/03/2026 h6:00 | 06/03/2026 h12:00 | 06/03/2026 h18:00 |
|---|---|---|---|---|
| 1000 | Wind | 01 Knots from North | 01 Knots from East | 02 Knots from North |
| | Temperatures | +03 °C | +04 °C | +04 °C |
| | Wind chill | 3 °C | 4 °C | 4 °C |
| 2000 | Wind | 01 Knots from North | 00 Calm | 02 Knots from East |
| | Temperatures | +02 °C | +02 °C | +03 °C |
| | Wind chill | 2 °C | 2 °C | 3 °C |
| 3000 | Wind | 06 Knots from S-East | 05 Knots from South | 04 Knots from S-East |
| | Temperatures | -04 °C | -04 °C | -03 °C |
| | Wind chill | -8 °C | -8 °C | -6 °C |
| Freezing level | | 2200-2400 m. | 2300-2500 m. | 2400-2600 m. |
| Atmospheric phenomenon | | — | — | — |
| Keys to sky condition | | | | |

## KEYS TO ATMOSPHERIC PHENOMENON

— Absence of adverse weather phenomena
Fog
Mist
Light rain
Moderate rain
Heavy rain
Thunderstorm
Weak snowfall
Moderate snowfall
Heavy snowfall

## KEYS TO SKY CONDITION

Clear
Partly cloudy
Cloudy
Mostly cloudy
Overcast

## Weather and snow data recorded during field and out of field obsevations on 05/03/2026.

| Observation field | District | Elevation (m.a.s.l.) | Snow depth (cm) | Snowfall in previous 24 hours (cm) | Temp. Min (°C) | Temp. Max (°C) | General weather conditions |
|---|---|---|---|---|---|---|---|
| ALPE LUSENTINO | Domodossola (VB) | 1184 | 0 | 0 | +3 | +11 | Absence of rain or other precipitation |
| OPACO DI PECETTO | Macugnaga (VB) | 1330 | 14 | N.P. | N.P. | N.P. | Absence of rain or other precipitation |
| PIANALUNGA | Alagna Valsesia (VC) | 2025 | 87 | 0 | -3 | +1 | Absence of rain or other precipitation |

**(*) Out of field survey**

**INFORMATION MEANS PREVENTION - SCAN QRCODE TO KNOW DAILY AVALANCHE DANGER LEVEL!**

**IL CAPO DEL CENTRO NAZIONALE METEOMONT**
**(Ten. Col. RFI Emanuela Gini)**
**FIRMA AUTOGRAFA OMESSA AI SENSI**
**DELL'ART.3 DEL D.LGS N.39/1993**