BUTLLETÍ DEL PERILL D'ALLAUS DEL PRINCIPAT D'ANDORRA

Prepared on 08/03/2026 16:00
Next update 08/03/2026 at 16 am

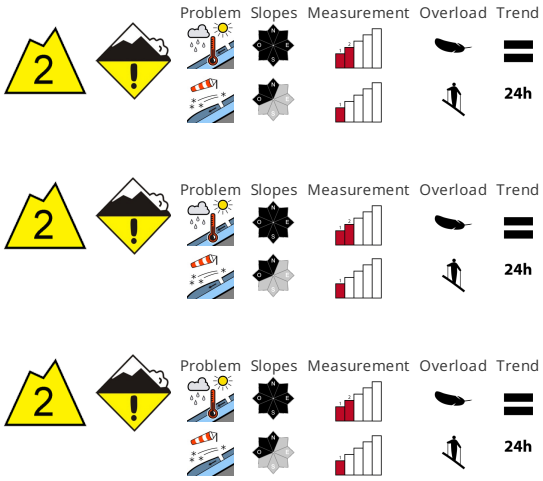

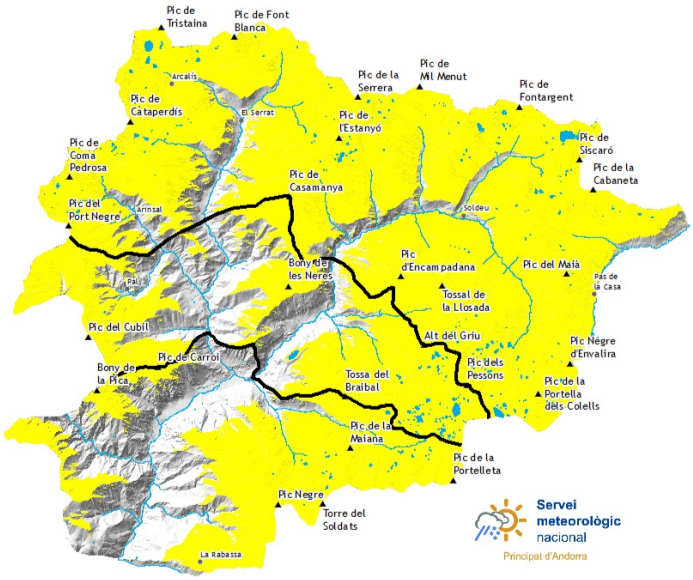

SNOW QUALITY

Below approximately 2000 m moist avalanches are to be expected as the moisture increases. Explanation: these may only stand for these avalanches can be released naturally and reach medium size. Gliding avalanches are also to be expected at any time. High altitudes :. The southeasterly wind will transport the new snow. As a consequence of new snow and wind the wind slabs will increase in size moderately. These places are sometimes covered with new snow and are difficult to recognise.

STABILITY OF THE SNOW MANTLE

Snow depths vary greatly above approximately 2100 m, depending on the infuence of the wind. Areas with glide cracks are to be avoided. The weather will be sunny at times. In some regions in some localities up to 5 cm of snow will fall in the afternoon above approximately 1800 m. The avalanche danger will persist. In steep terrain there is a danger of falling on the hard snow surface.

OFF-PISTE SNOW COVER THICKNESSES

North zone		Snow thickness		
Snowpack		1500m	2000m	2500m
N	1600 m	0 cm	150 cm	200 cm
S	1900 m	0 cm	100 cm	150 cm

Center area		Snow thickness		
Snowpack		1500m	2000m	2500m
N	1600 m	0 cm	150 cm	200 cm
S	1900 m	0 cm	100 cm	150 cm

South zone		Snow thickness		
Snowpack		1500m	2000m	2500m
N	1600 m	0 cm	120 cm	150 cm
S	1900 m	0 cm	60 cm	100 cm

Govern d'Andorra

Aquest butlletí ha estat elaborat seguint les normes i recomanacions de l'**European Avalanche Warning Services**, del qual el **Servei meteorològic Nacional** n'és membre

BUTLLETÍ DEL PERILL D'ALLAUS DEL PRINCIPAT D'ANDORRA

Servei meteorològic nacional
Principat d'Andorra

Detailed information for protected areas

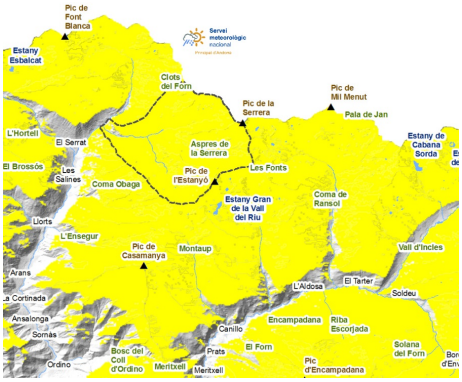

SORTENY

Weak precipitation will continue with a snow level around 1800 m, which will moisten the mantle in all directions, below this level; while weak accumulations of about 5 cm may form above in this sector. At altitude, the wind will be able to transport the little snow available and form small, irregular accumulations. The little new snow will not change the stability conditions

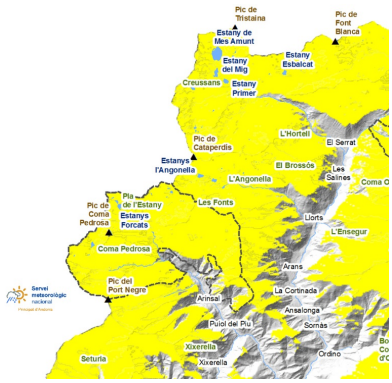

COMAPEDROSA

The access from Arinsal is getting less and less snow, and the little rain expected will further delay the continuous snow line. In the upper parts of the Park, numerous excursions can be made, always maintaining a careful choice of the itinerary. We will have to be careful not to slip due to the ice crust on the southern slopes or at low altitudes, but also on the slopes\r\n obacs, where powdery snow hides a hard windy crust

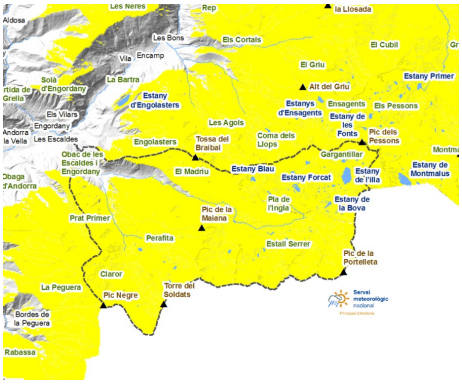

MADRIU-PERAFITA-CLAROR

The mantle is generally thin and irregular, with better snow continuity on the northern and obscure slopes. It has been the sector most affected by precipitation, although in some high places the wind has left the old, hard snow exposed.

Govern d'Andorra

EAWS EUROPEAN AVALANCHE WARNING SERVICES

Aquest butlletí ha estat elaborat seguint les normes i recomanacions de l'**European Avalanche Warning Services**, del qual el **Servei meteorològic Nacional** n'és membre

BUTLLETÍ DEL PERILL D'ALLAUS DEL PRINCIPAT D'ANDORRA

Servei meteorològic nacional
Principat d'Andorra

Thick snow in recent days (last 24 hours measured at 06:00 UTC)

	04/03/2026	05/03/2026	06/03/2026	07/03/2026
FEDA (Central)	0 cm	0 cm	0 cm	0 cm
Engolasters - FEDA	0 cm	0 cm	0 cm	0 cm
Bony de les Neres	0 cm	0 cm	2 cm	0 cm
Sorteny	3 cm	10 cm	5 cm	2 cm
Les Fonts d'Arinsal	0 cm	10 cm	5 cm	0 cm
Perafita	3 cm	26 cm	3 cm	0 cm
Tossa Espiolets	0 cm	17 cm	5 cm	0 cm
Grau Roig - FEDA	0 cm	3 cm	5 cm	0 cm
Fontverd	0 cm	0 cm	1 cm	0 cm
Ransol - FEDA	0 cm	0 cm	0 cm	0 cm
Setúria	0 cm	0 cm	0 cm	0 cm
Caborreu	0 cm	17 cm	12 cm	0 cm
La Solana	0 cm	10 cm	4 cm	1 cm
Coll Pa	0 cm	9 cm	9 cm	0 cm
Envalira Antenes	0 cm	1 cm	13 cm	0 cm
Vall del Riu FEDA	0 cm	9 cm	5 cm	3 cm