BUTLLETÍ DEL PERILL D'ALLAUS DEL PRINCIPAT D'ANDORRA

Prepared on 09/03/2026 16:00
Next update 10/03/2026 at 16 am

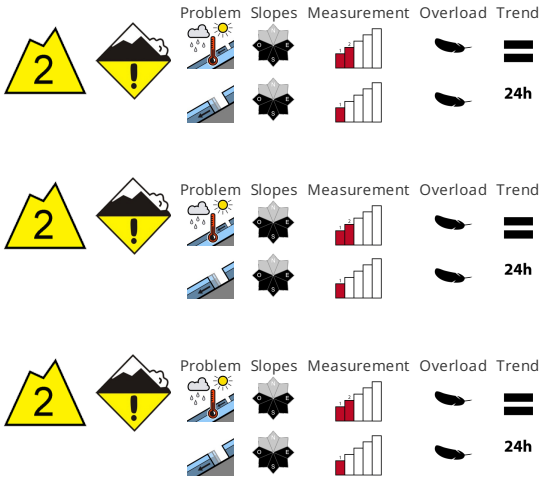

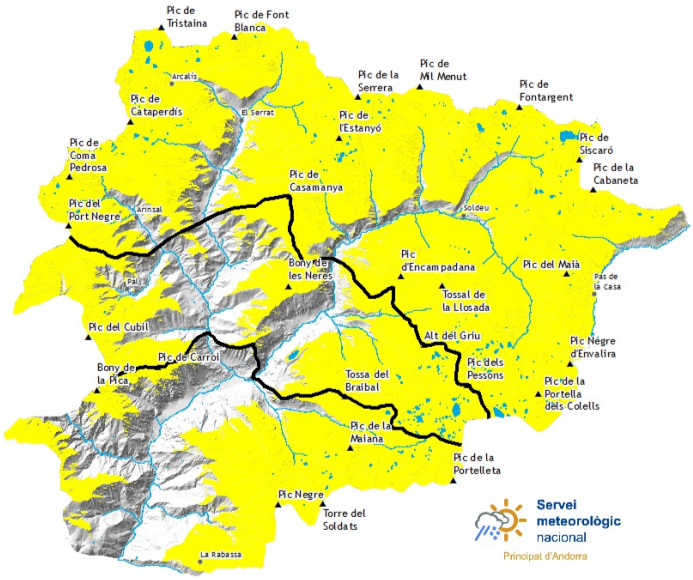

SNOW QUALITY

In particular on sunny slopes individual small and medium-sized moist avalanches are possible as a consequence of warming during the day and solar radiation. Explanation: these may only stand for these avalanches can be released naturally. Gliding avalanches can also occur at any time. High altitudes and shady slopes :. The near-surface layers of the snowpack can be released in isolated cases and mostly by large additional loads. The avalanche danger will persist.

STABILITY OF THE SNOW MANTLE

The weather will be sunny at times. Low altitudes :. The surface of the snowpack will freeze to form a strong crust will already soften in the late morning. Areas with glide cracks are to be avoided. shady slopes and intermediate and high altitudes :. The upper section of the snowpack is dry and has a loosely bonded surface. Snow depths vary greatly above approximately 2400 m, depending on the infuence of the wind.

OFF-PISTE SNOW COVER THICKNESSES

North zone		Snow thickness		
Snowpack		1500m	2000m	2500m
N	1600 m	0 cm	150 cm	200 cm
S	1900 m	0 cm	100 cm	150 cm

Center area		Snow thickness		
Snowpack		1500m	2000m	2500m
N	1600 m	0 cm	150 cm	200 cm
S	1900 m	0 cm	100 cm	150 cm

South zone		Snow thickness		
Snowpack		1500m	2000m	2500m
N	1600 m	0 cm	120 cm	150 cm
S	1900 m	0 cm	60 cm	100 cm

Govern d'Andorra

Aquest butlletí ha estat elaborat seguint les normes i recomanacions de l'**European Avalanche Warning Services**, del qual el **Servei meteorològic Nacional** n'és membre

Detailed information for protected areas

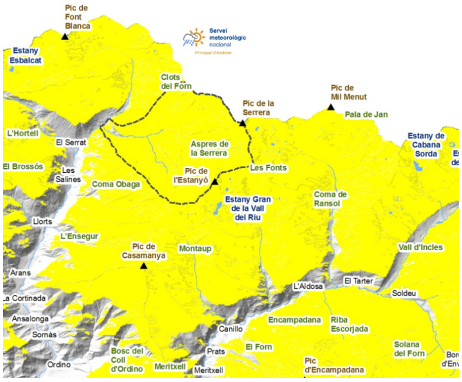

SORTENY

The weak precipitation has not changed the stability conditions of the snow cover. At altitude, the wind has transported the little available snow and formed small irregular accumulations and, especially on the northern slopes, there is very pleasant snow for skiing. In the lower parts and on sunny slopes, the snow is hard in the morning, it is recommended to be equipped with spiked material to circulate, but it will soften throughout the day.

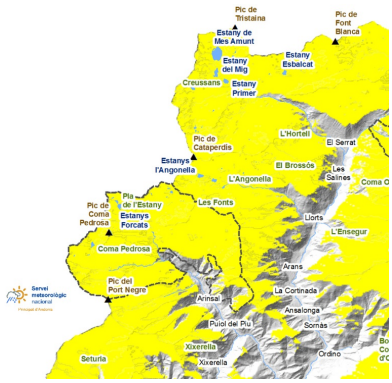

COMAPEDROSA

There is less and less continuous snow at the lower elevations of the Park. In the early hours we will have to be careful not to slip due to the ice crust on the southern slopes or at low altitudes. In the upper parts of the Park, numerous excursions can be made, always maintaining a careful choice of the itinerary.

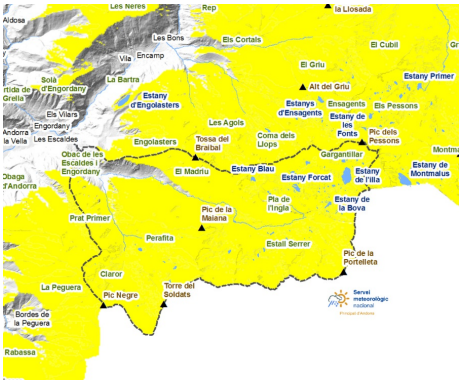

MADRIU-PERAFITA-CLAROR

The mantle is generally thin and irregular, with better snow continuity on the northern and obscure slopes. It has been the sector most affected by the precipitation, with new snow that is abundant above the forest line, although in some high places the wind has left the old snow, exposed.

BUTLLETÍ DEL PERILL D'ALLAUS DEL PRINCIPAT D'ANDORRA

Servei meteorològic nacional
Principat d'Andorra

Thick snow in recent days (last 24 hours measured at 06:00 UTC)

	05/03/2026	06/03/2026	07/03/2026	08/03/2026
FEDA (Central)	0 cm	0 cm	0 cm	0 cm
Engolasters - FEDA	0 cm	0 cm	0 cm	0 cm
Bony de les Neres	0 cm	2 cm	0 cm	0 cm
Sorteny	10 cm	5 cm	2 cm	6 cm
Les Fonts d'Arinsal	10 cm	5 cm	0 cm	4 cm
Perafita	26 cm	3 cm	0 cm	3 cm
Tossa Espiolets	17 cm	5 cm	0 cm	2 cm
Grau Roig - FEDA	3 cm	5 cm	0 cm	4 cm
Fontverd	0 cm	1 cm	0 cm	1 cm
Ransol - FEDA	0 cm	0 cm	0 cm	0 cm
Caborreu	17 cm	12 cm	0 cm	2 cm
La Solana	10 cm	4 cm	1 cm	5 cm
Coll Pa	9 cm	9 cm	0 cm	0 cm
Envalira Antenes	1 cm	13 cm	0 cm	9 cm
Vall del Riu FEDA	9 cm	5 cm	3 cm	3 cm