MINISTERO DELLA DIFESA

meteomont
Servizio Nazionale di previsione neve e valanghe

EAWS EUROPEAN AVALANCHE WARNING SERVICES

CARABINIERI

## ALPI GIULIE

Avalanche Bulletin N. 369/2026 issued at 14:00 on 09/03/2026
48 hours validity. Next issue on 10/03/2026

**By the METEOMONT Service of the ARMA dei CARABINIERI ITALY**
**In collaboration with Air Force Meteorological Service**

## Situation on 09/03/2026

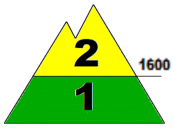


**DANGER PATTERNS: shallow snow next to deep snow.**




**DANGER PATTERNS: springtime situation.**

| Snow line (m.a.s.l.) | North | South |
|---|---|---|
| | 900 - 1000 | 1300 - 1800 |

| Snow depth (cm) | ground snow | new snow | Elevation (m.a.s.l.) |
|---|---|---|---|
| | 95 | 000 | 1750 |
| | 31 | 00 | 875 |

**REGISTERED AVALANCHES: No avalanches detected.**

## FORECAST 10/03/2026

## Danger level: MODERATE 2

## DANGER PATTERNS: shallow snow next to deep snow.

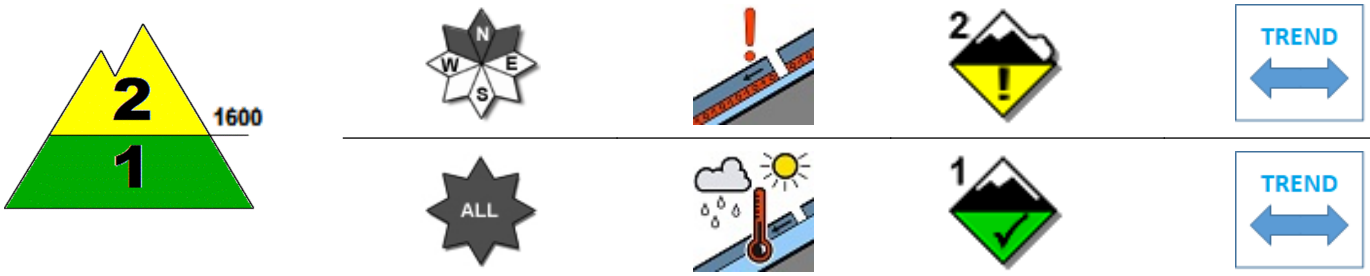


## DANGER PATTERNS: springtime situation.

**SNOWPACK: Snowpack stability is poor on some points (areas) above 1600 m.a.s.l. All North-facing slopes are critical. medium avalanches are possible.**
**Snowpack stability is moderate on few points (areas) below 1600 m.a.s.l. All aspects are critical. Small avalanches are possible.**

## WARNING

Due to daytime rising temperatures,careful evaluation of the timing of outdoor activities, in order to avoid crossing steep slopes during the warmest hours of the day , is required.

## EUROPEAN AVALANCHE WARNING SERVICE

5 - VERY HIGH | 4 - HIGH | 3 - CONSIDERABLE | 2 - MODERATE | 1 - LOW | NO SNOW | NO INFO

## AVALANCHE PROBLEMS

NEW SNOW | WIND - DRIFTED SNOW | PERSISTENT WEAK LAYERS | WET SNOW | GLIDING SNOW | SNOW CORNICES | NO EVIDENT AVALANCHE PROBLEM. | NO INFO

According to EAWS standards Meteomont bulletin is a synoptic-scale system (regional scale). It shall be the user's responsibility to correlate the danger level evaluation of the bulletin with a detailed and expertise analysis of the zonal hazards (single slope), that could be markedly different. Meteorological forecast are issued at UTC (for Italy: in winter time UTC+1: in summer time UTC+2).

Bulletin is subjected to check processes through: the record of Observers and Avalanches and snow Experts data in C-Sifa; the validation by forecasters; the certification by Meteomont Section.

# ALPI GIULIE

## WEATHER FORECAST FOR

| Elevation | | 10/03/2026 h6:00 | 10/03/2026 h12:00 | 10/03/2026 h18:00 |
|---|---|---|---|---|
| 1000 | Wind | 02 Knots from S-West | 02 Knots from S-West | 02 Knots from S-West |
| | Temperatures | +02 °C | +02 °C | +02 °C |
| | Wind chill | 2 °C | 2 °C | 2 °C |
| 2000 | Wind | 06 Knots from S-West | 05 Knots from S-West | 04 Knots from S-West |
| | Temperatures | -02 °C | -02 °C | -02 °C |
| | Wind chill | -6 °C | -5 °C | -5 °C |
| 3000 | Wind | 08 Knots from West | 07 Knots from West | 06 Knots from West |
| | Temperatures | -08 °C | -06 °C | -06 °C |
| | Wind chill | -14 °C | -11 °C | -11 °C |
| Freezing level | | 1500-1700 m. | 1400-1600 m. | 1400-1600 m. |
| Atmospheric phenomenon | | — | — | — |
| Keys to sky condition | | | | |

## KEYS TO ATMOSPHERIC PHENOMENON

— Absence of adverse weather phenomena
Fog
Mist
Light rain
Moderate rain
Heavy rain
Thunderstorm
Weak snowfall
Moderate snowfall
Heavy snowfall

## KEYS TO SKY CONDITION

Clear
Partly cloudy
Cloudy
Mostly cloudy
Overcast

## Weather and snow data recorded during field and out of field obsevations on 09/03/2026.

| Observation field | District | Elevation (m.a.s.l.) | Snow depth (cm) | Snowfall in previous 24 hours (cm) | Temp. Min (°C) | Temp. Max (°C) | General weather conditions |
|---|---|---|---|---|---|---|---|
| MALBORGHETTO - VAL SAISERA | Tarvisio (UD) | 875 | 31 | 0 | -1 | +15 | Absence of rain or other precipitation |
| PASSO PRAMOLLO | Pontebba (UD) | 1530 | 96 | 0 | -3 | +10 | Absence of rain or other precipitation |
| MONTE LUSSARI | Tarvisio (UD) | 1750 | 95 | 0 | -7 | +15 | Absence of rain or other precipitation |
| PASSO PREDIL | Tarvisio (UD) | 1130 | 77 | 0 | 0 | +8 | Absence of rain or other precipitation |

(*) Out of field survey

**INFORMATION MEANS PREVENTION - SCAN QRCODE TO KNOW DAILY AVALANCHE DANGER LEVEL!**

**IL CAPO DEL CENTRO NAZIONALE METEOMONT**
**(Ten. Col. RFI Emanuela Gini)**
**FIRMA AUTOGRAFA OMESSA AI SENSI**
**DELL'ART.3 DEL D.LGS N.39/1993**

According to EAWS standards Meteomont bulletin is a synoptic-scale system (regional scale). It shall be the user's responsibility to correlate the danger level evaluation of the bulletin with a detailed and expertise analysis of the zonal hazards (single slope), that could be markedly different. Meteorological forecast are issued at UTC (for Italy: in winter time UTC+1: in summer time UTC+2).

Bulletin is subjected to check processes through: the record of Observers and Avalanches and snow Experts data in C-Sifa; the validation by forecasters; the certification by Meteomont Section.