MINISTERO DELLA DIFESA

meteomont
Servizio Nazionale di previsione neve e valanghe

EAWS EUROPEAN AVALANCHE WARNING SERVICES

CARABINIERI

APPENNINO LIGURE

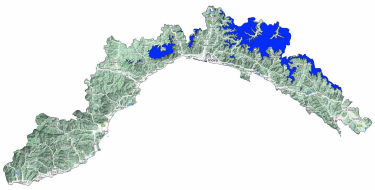

Avalanche Bulletin N. 246/2026 issued at 14:00 on 10/03/2026
48 hours validity. Next issue on 11/03/2026

By the METEOMONT Service of the ARMA dei CARABINIERI ITALY
In collaboration with Air Force Meteorological Service

Situation on 10/03/2026

DANGER PATTERNS: buried graupel.



DANGER PATTERNS: rain on snow.

Snow line (m.a.s.l.)	North	South
	1400 - no neve	1600 - no neve

Snow depth (cm)	ground snow	new snow	Elevation (m.a.s.l.)
	50	5	1700
	10	0	1500

REGISTERED AVALANCHES: No avalanches detected.

FORECAST 11/03/2026

Danger level: LOW 1

DANGER PATTERNS: buried graupel.



DANGER PATTERNS: rain on snow.

SNOWPACK: Snowpack stability is moderate on few points (areas) above 1600 m.a.s.l. All Isolated slopes are critical. small avalanches are possible.
Snowpack stability is moderate on very few points (areas) below 1600 m.a.s.l. All Isolated slopes are critical. Small avalanches are possible.

WARNING

Due to current severe weather conditions and reduced visibility,route choice and evaluation will become difficult.

EUROPEAN AVALANCHE WARNING SERVICE

5 - VERY HIGH | 4 - HIGH | 3 - CONSIDERABLE | 2 - MODERATE | 1 - LOW | NO SNOW | NO INFO

AVALANCHE PROBLEMS

NEW SNOW | WIND - DRIFTED SNOW | PERSISTENT WEAK LAYERS | WET SNOW | GLIDING SNOW | SNOW CORNICES | NO EVIDENT AVALANCHE PROBLEM. | NO INFO

According to EAWS standards Meteomont bulletin is a synoptic-scale system (regional scale). It shall be the user's responsibility to correlate the danger level evaluation of the bulletin with a detailed and expertise analysis of the zonal hazards (single slope), that could be markedly different. Meteorological forecast are issued at UTC (for Italy: in winter time UTC+1: in summer time UTC+2).

Bulletin is subjected to check processes through: the record of Observers and Avalanches and snow Experts data in C-Sifa; the validation by forecasters; the certification by Meteomont Section.

MINISTERO DELLA DIFESA

meteomont
Servizio Nazionale di previsione neve e valanghe

EAWS EUROPEAN AVALANCHE WARNING SERVICES

CARABINIERI

APPENNINO LIGURE

WEATHER FORECAST FOR

Elevation		11/03/2026 h6:00	11/03/2026 h12:00	11/03/2026 h18:00
1000	Wind	03 Knots from South	03 Knots from S-West	02 Knots from South
	Temperatures	+05 °C	+05 °C	+05 °C
	Wind chill	4 °C	4 °C	5 °C
2000	Wind	09 Knots from S-West	08 Knots from S-West	05 Knots from S-West
	Temperatures	+00 °C	-01 °C	+00 °C
	Wind chill	-5 °C	-6 °C	-3 °C
3000	Wind	09 Knots from S-West	08 Knots from West	07 Knots from West
	Temperatures	-06 °C	-06 °C	-06 °C
	Wind chill	-12 °C	-12 °C	-11 °C
Freezing level		1800-2000 m.	1800-2000 m.	1900-2100 m.
Atmospheric phenomenon			—	
Keys to sky condition				

KEYS TO ATMOSPHERIC PHENOMENON

— Absence of adverse weather phenomena
Fog
Mist
Light rain
Moderate rain
Heavy rain
Thunderstorm
Weak snowfall
Moderate snowfall
Heavy snowfall

KEYS TO SKY CONDITION

Clear
Partly cloudy
Cloudy
Mostly cloudy
Overcast

Weather and snow data recorded during field and out of field obsevations on 10/03/2026.

Observation field	District	Elevation (m.a.s.l.)	Snow depth (cm)	Snowfall in previous 24 hours (cm)	Temp. Min (°C)	Temp. Max (°C)	General weather conditions
CATOCCIA - VASCHE DI TIGLIETO	Rossiglione (GE)	722	0	0	N.P.	N.P.	Moderate rain
PRATO DEL PRINCIPE	Santo Stefano d'Aveto (GE)	1386	0	0	-3	+9	Absence of rain or other precipitation
MONTE BUE *	Santo Stefano d'Aveto (GE)	1720	57	Snow traces	N.P.	N.P.	Hail or snow pellet shower

(*) Out of field survey

INFORMATION MEANS PREVENTION - SCAN QRCODE TO KNOW DAILY AVALANCHE DANGER LEVEL!

IL CAPO DEL CENTRO NAZIONALE METEOMONT
(Ten. Col. RFI Emanuela Gini)
FIRMA AUTOGRAFA OMESSA AI SENSI
DELL'ART.3 DEL D.LGS N.39/1993

According to EAWS standards Meteomont bulletin is a synoptic-scale system (regional scale). It shall be the user's responsibility to correlate the danger level evaluation of the bulletin with a detailed and expertise analysis of the zonal hazards (single slope), that could be markedly different. Meteorological forecast are issued at UTC (for Italy: in winter time UTC+1: in summer time UTC+2).

Bulletin is subjected to check processes through: the record of Observers and Avalanches and snow Experts data in C-Sifa; the validation by forecasters; the certification by Meteomont Section.