MINISTERO DELLA DIFESA

meteomont
Servizio Nazionale di previsione neve e valanghe

EAWS EUROPEAN AVALANCHE WARNING SERVICES

CARABINIERI

# MAINARDE-ALTO MOLISE

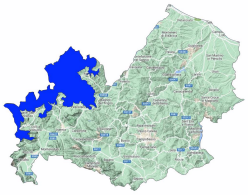

Avalanche Bulletin N. 318/2026 issued at 14:00 on 09/03/2026
48 hours validity. Next issue on 10/03/2026

**By the METEOMONT Service of the ARMA dei CARABINIERI ITALY**
**In collaboration with Air Force Meteorological Service**

## Situation on 09/03/2026

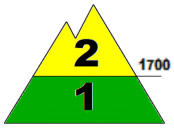


**DANGER PATTERNS: shallow snow next to deep snow.**



**DANGER PATTERNS: rain on snow.**

| Snow line (m.a.s.l.) | North | South |
|---|---|---|
| | 1800 | 2000 |

| Snow depth (cm) | ground snow | new snow | Elevation (m.a.s.l.) |
|---|---|---|---|
| | 000 | 000 | 1490 |
| | 000 | 000 | 1220 |

**REGISTERED AVALANCHES: No avalanches detected.**

## FORECAST 10/03/2026

## Danger level: MODERATE 2

## DANGER PATTERNS: shallow snow next to deep snow.

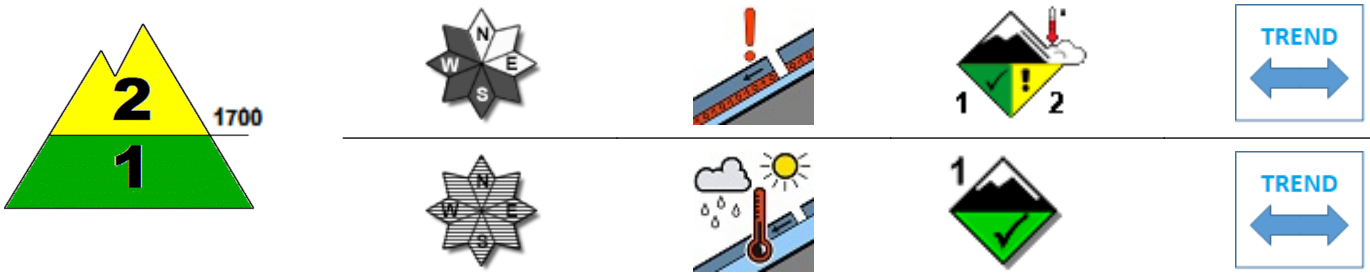


## DANGER PATTERNS: rain on snow.

**SNOWPACK: Snowpack stability is moderate on some points (areas) above 1700 m.a.s.l. All are critical. medium avalanches are possible.**
**Snowpack stability is moderate on some points (areas) below 1700 m.a.s.l. All Isolated slopes are critical. Small avalanches are possible.**

## WARNING

Due to severe weather conditions forecast, do not attempt to practice outdoor activities beyond the maintained and marked tracks are not advised.

## EUROPEAN AVALANCHE WARNING SERVICE

## AVALANCHE PROBLEMS

According to EAWS standards Meteomont bulletin is a synoptic-scale system (regional scale). It shall be the user's responsibility to correlate the danger level evaluation of the bulletin with a detailed and expertise analysis of the zonal hazards (single slope), that could be markedly different. Meteorological forecast are issued at UTC (for Italy: in winter time UTC+1: in summer time UTC+2).

Bulletin is subjected to check processes through: the record of Observers and Avalanches and snow Experts data in C-Sifa; the validation by forecasters; the certification by Meteomont Section.

MINISTERO DELLA DIFESA

meteomont
Servizio Nazionale di previsione neve e valanghe

EAWS EUROPEAN AVALANCHE WARNING SERVICES

CARABINIERI

# MAINARDE-ALTO MOLISE

## WEATHER FORECAST FOR

| Elevation | | 10/03/2026 h6:00 | 10/03/2026 h12:00 | 10/03/2026 h18:00 |
|---|---|---|---|---|
| 1000 | Wind | 02 Knots from N-West | 02 Knots from East | 01 Knots from West |
| | Temperatures | +02 °C | +07 °C | +06 °C |
| | Wind chill | 2 °C | 7 °C | 6 °C |
| 2000 | Wind | 02 Knots from North | 01 Knots from N-East | 02 Knots from North |
| | Temperatures | +01 °C | +02 °C | +02 °C |
| | Wind chill | 1 °C | 2 °C | 2 °C |
| 3000 | Wind | 04 Knots from West | 04 Knots from N-West | 02 Knots from North |
| | Temperatures | -05 °C | -05 °C | -04 °C |
| | Wind chill | -8 °C | -8 °C | -4 °C |
| Freezing level | | 2100-2300 m. | 2100-2300 m. | 2200-2400 m. |
| Atmospheric phenomenon | | — | | — |
| Keys to sky condition | | | | |

## KEYS TO ATMOSPHERIC PHENOMENON

— Absence of adverse weather phenomena
Fog
Mist
Light rain
Moderate rain
Heavy rain
Thunderstorm
Weak snowfall
Moderate snowfall
Heavy snowfall

## KEYS TO SKY CONDITION

Clear
Partly cloudy
Cloudy
Mostly cloudy
Overcast

## Weather and snow data recorded during field and out of field obsevations on 09/03/2026.

| Observation field | District | Elevation (m.a.s.l.) | Snow depth (cm) | Snowfall in previous 24 hours (cm) | Temp. Min (°C) | Temp. Max (°C) | General weather conditions |
|---|---|---|---|---|---|---|---|
| PRATO GENTILE | Capracotta (IS) | 1490 | 0 | 0 | +1 | +6 | Absence of rain or other precipitation |
| PESCOPENNATARO | Pescopennataro (IS) | 1220 | 0 | 0 | +3 | +11 | Absence of rain or other precipitation |

(*) Out of field survey

**INFORMATION MEANS PREVENTION - SCAN QRCODE TO KNOW DAILY AVALANCHE DANGER LEVEL!**

IL CAPO DEL CENTRO NAZIONALE METEOMONT
(Ten. Col. RFI Emanuela Gini)
FIRMA AUTOGRAFA OMESSA AI SENSI
DELL'ART.3 DEL D.LGS N.39/1993

According to EAWS standards Meteomont bulletin is a synoptic-scale system (regional scale). It shall be the user's responsibility to correlate the danger level evaluation of the bulletin with a detailed and expertise analysis of the zonal hazards (single slope), that could be markedly different. Meteorological forecast are issued at UTC (for Italy: in winter time UTC+1: in summer time UTC+2).

Bulletin is subjected to check processes through: the record of Observers and Avalanches and snow Experts data in C-Sifa; the validation by forecasters; the certification by Meteomont Section.