BUTLLETÍ DEL PERILL D'ALLAUS DEL PRINCIPAT D'ANDORRA

Servei meteorològic nacional
Principat d'Andorra

Prepared on 11/03/2026 16:00
Next update 12/03/2026 at 16 am

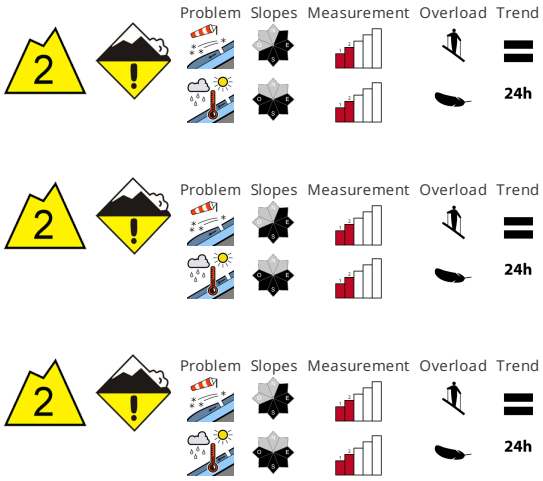

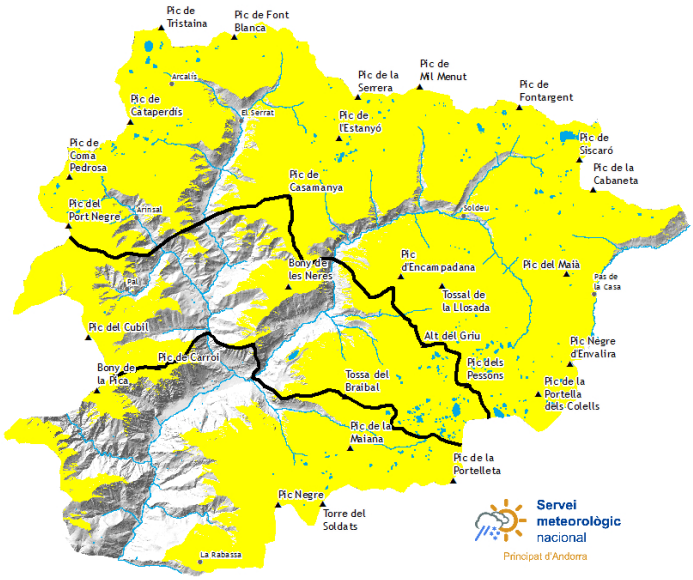

SNOW QUALITY

As a consequence of new snow and wind , mostly small wind slabs will form during the course of the night in particular adjacent to ridgelines on northeast , east and southeast facing slopes. These can be released easily or triggered naturally. Apart from the danger of being buried, restraint should be exercised as well in view of the danger of avalanches sweeping people along and giving rise to falls. In particular on sunny slopes individual small and medium-sized moist avalanches are possible as a consequence of warming during the day and solar radiation. Gliding avalanches can also occur at any time.

STABILITY OF THE SNOW MANTLE

Low altitudes :. The surface of the snowpack will freeze to form a strong crust and will already soften in the late morning. shady slopes and intermediate and high altitudes :. The upper section of the snowpack is dry and has a loosely bonded surface. Areas with glide cracks are to be avoided. In particular adjacent to ridgelines and in pass areas snow depths vary greatly above approximately 2400 m, depending on the infuence of the wind. Until Friday the weather will be sunny at times. Above approximately 1200 m snow will fall on Saturday in particular in the north.

OFF-PISTE SNOW COVER THICKNESSES

North zone		Snow thickness		
Snowpack		1500m	2000m	2500m
N	1600 m	0 cm	150 cm	200 cm
S	1900 m	0 cm	100 cm	150 cm

Center area		Snow thickness		
Snowpack		1500m	2000m	2500m
N	1600 m	0 cm	150 cm	200 cm
S	1900 m	0 cm	100 cm	150 cm

South zone		Snow thickness		
Snowpack		1500m	2000m	2500m
N	1600 m	0 cm	120 cm	150 cm
S	1900 m	0 cm	60 cm	100 cm

Govern d'Andorra

EAWS
EUROPEAN AVALANCHE WARNING SERVICES

Aquest butlletí ha estat elaborat seguint les normes i recomanacions de l'**European Avalanche Warning Services**, del qual el **Servei meteorològic Nacional** n'és membre

BUTLLETÍ DEL PERILL D'ALLAUS DEL PRINCIPAT D'ANDORRA

Servei meteorològic nacional
Principat d'Andorra

Detailed information for protected areas

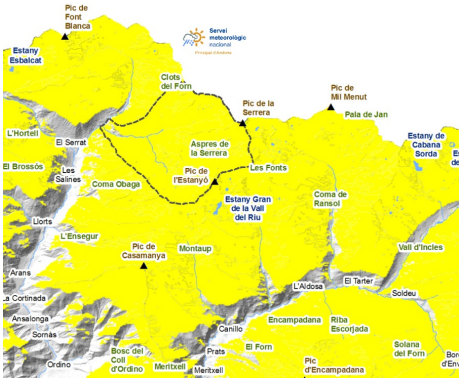

SORTENY

The wind associated with the passage of the front this coming Wednesday night into Thursday will carry the powder snow and may create slabs on the eastern slopes. Locally these plates can form on top of frost, which can act as a weak layer. During the day the temperature will rise significantly and we may have a peak in the activity of natural wet snow avalanches, especially on sunny slopes.

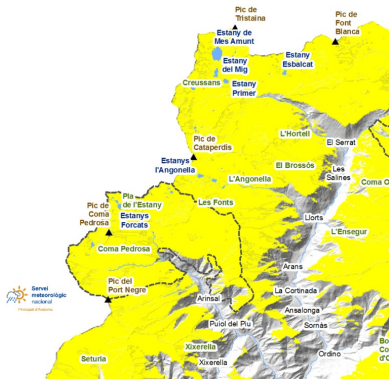

COMAPEDROSA

As in Sorteny, the wind will create new accumulations on the slopes with an eastern component, while the increase in temperatures throughout the day will make it easier for avalanches of wet snow to fall which in some cases can reach the paths of the lower parts of the Park.

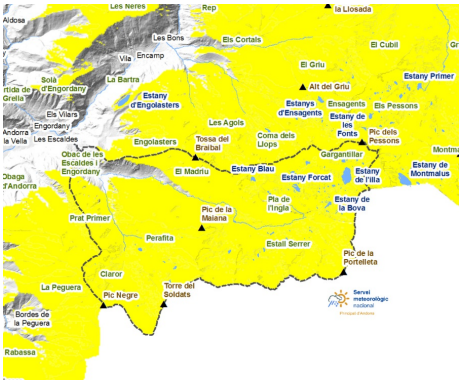

MADRIU-PERAFITA-CLAROR

The eastern slopes will again be loaded with wind plates. At altitude we will still find powder snow during the morning, but it will tend to change throughout the day.

Govern d'Andorra

EAWS
EUROPEAN AVALANCHE WARNING SERVICES

Aquest butlletí ha estat elaborat seguint les normes i recomanacions de l'**European Avalanche Warning Services**, del qual el **Servei meteorològic Nacional** n'és membre

BUTLLETÍ DEL PERILL D'ALLAUS DEL PRINCIPAT D'ANDORRA

Servei meteorològic nacional
Principat d'Andorra

Thick snow in recent days (last 24 hours measured at 06:00 UTC)

	07/03/2026	08/03/2026	09/03/2026	10/03/2026
FEDA (Central)	0 cm	0 cm	0 cm	0 cm
Engolasters - FEDA	0 cm	0 cm	0 cm	0 cm
Bony de les Neres	0 cm	0 cm	0 cm	0 cm
Sorteny	2 cm	6 cm	4 cm	0 cm
Les Fonts d'Arinsal	0 cm	4 cm	0 cm	0 cm
Perafita	0 cm	3 cm	0 cm	0 cm
Tossa Espiolets	0 cm	2 cm	0 cm	0 cm
Grau Roig - FEDA	0 cm	4 cm	1 cm	0 cm
Fontverd	0 cm	1 cm	0 cm	0 cm
Ransol - FEDA	0 cm	0 cm	0 cm	0 cm
Caborreu	0 cm	2 cm	0 cm	1 cm
La Solana	1 cm	5 cm	0 cm	0 cm
Coll Pa	0 cm	0 cm	0 cm	0 cm
Envalira Antenes	0 cm	9 cm	3 cm	2 cm
Vall del Riu FEDA	3 cm	3 cm	0 cm	0 cm