MINISTERO DELLA DIFESA

meteomont Servizio Nazionale di previsione neve e valanghe

EAWS EUROPEAN AVALANCHE WARNING SERVICES

CARABINIERI

In collaborazione con: arpav

# PREALPI

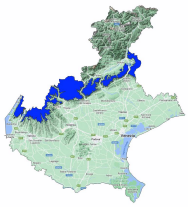

Avalanche Bulletin N. 367/2026 issued at 14:00 on 11/03/2026
48 hours validity. Next issue on 12/03/2026

**By the METEOMONT Service of the ARMA dei CARABINIERI ITALY**
**In collaboration with Air Force Meteorological Service**

## Situation on 11/03/2026

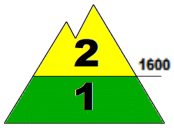


**DANGER PATTERNS: shallow snow next to deep snow.**




**DANGER PATTERNS: springtime situation.**

| Snow line (m.a.s.l.) | North | South |
|---|---|---|
| | 1000 - 1600 | 1600 - 1900 |

| Snow depth (cm) | ground snow | new snow | Elevation (m.a.s.l.) |
|---|---|---|---|
| | 94 | 001 | 1828 |
| | 35 | 00 | 1461 |

**REGISTERED AVALANCHES: No avalanches detected.**

## FORECAST 12/03/2026

## Danger level: MODERATE 2

## DANGER PATTERNS: shallow snow next to deep snow.

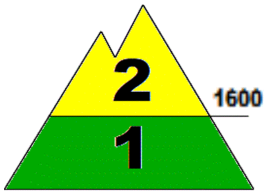


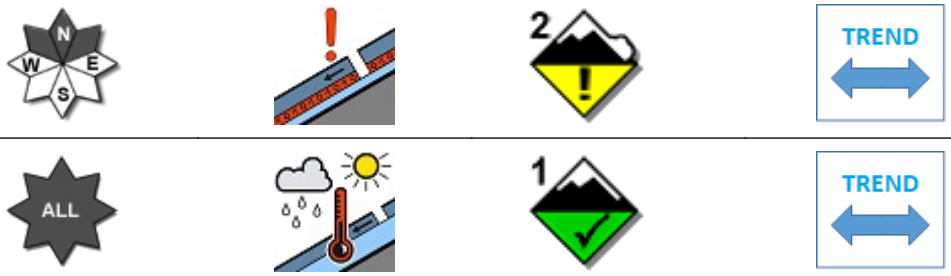


## DANGER PATTERNS: springtime situation.

**SNOWPACK: Snowpack stability is poor on some points (areas) above 1600 m.a.s.l. All North-facing slopes are critical. medium avalanches are possible.**
**Snowpack stability is good on some points (areas) below 1600 m.a.s.l. All aspects are critical. Small avalanches are possible.**

## WARNING

Due to daytime rising temperatures,careful evaluation of the timing of outdoor activities, in order to avoid crossing steep slopes during the warmest hours of the day , is required.

## EUROPEAN AVALANCHE WARNING SERVICE

## AVALANCHE PROBLEMS

According to EAWS standards Meteomont bulletin is a synoptic-scale system (regional scale). It shall be the user's responsibility to correlate the danger level evaluation of the bulletin with a detailed and expertise analysis of the zonal hazards (single slope), that could be markedly different. Meteorological forecast are issued at UTC (for Italy: in winter time UTC+1: in summer time UTC+2).

Bulletin is subjected to check processes through: the record of Observers and Avalanches and snow Experts data in C-Sifa; the validation by forecasters; the certification by Meteomont Section.

MINISTERO DELLA DIFESA

meteomont
Servizio Nazionale di previsione neve e valanghe

EAWS EUROPEAN AVALANCHE WARNING SERVICES

CARABINIERI

In collaborazione con: arpav

# PREALPI

## WEATHER FORECAST FOR

| Elevation | | 12/03/2026 h6:00 | 12/03/2026 h12:00 | 12/03/2026 h18:00 |
|---|---|---|---|---|
| 1000 | Wind | 02 Knots from N-East | 03 Knots from N-East | 01 Knots from East |
| | Temperatures | +04 °C | +06 °C | +06 °C |
| | Wind chill | 4 °C | 5 °C | 6 °C |
| 2000 | Wind | 02 Knots from N-East | 10 Knots from N-East | 04 Knots from East |
| | Temperatures | -01 °C | -01 °C | -01 °C |
| | Wind chill | -1 °C | -6 °C | -4 °C |
| 3000 | Wind | 03 Knots from West | 04 Knots from East | 06 Knots from N-East |
| | Temperatures | -07 °C | -07 °C | -07 °C |
| | Wind chill | -10 °C | -11 °C | -12 °C |
| Freezing level | | 1700-1900 m. | 1800-2000 m. | 1800-2000 m. |
| Atmospheric phenomenon | | | — | — |
| Keys to sky condition | | | | |

## KEYS TO ATMOSPHERIC PHENOMENON

Absence of adverse weather phenomena — Fog — Mist — Light rain — Moderate rain — Heavy rain — Thunderstorm

Weak snowfall — Moderate snowfall — Heavy snowfall

## KEYS TO SKY CONDITION

Clear — Partly cloudy — Cloudy — Mostly cloudy — Overcast

## Weather and snow data recorded during field and out of field obsevations on 11/03/2026.

| Observation field | District | Elevation (m.a.s.l.) | Snow depth (cm) | Snowfall in previous 24 hours (cm) | Temp. Min (°C) | Temp. Max (°C) | General weather conditions |
|---|---|---|---|---|---|---|---|
| PIAN CANSIGLIO | Tambre (BL) | 1025 | 0 | 0 | -2 | +11 | Light rain |
| GALLIO - BUSA FONDA | Gallio (VI) | 1460 | 55 | 0 | -3 | +10 | Absence of rain or other precipitation |
| MONTI LESSINI - MALGA SAN GIORGIO | Bosco Chiesanuova (VR) | 1461 | 35 | Rain and no snow | +2 | +9 | Absence of rain or other precipitation |
| MONTE BALDO | Malcesine (VR) | 1828 | 94 | 1 | N.P. | N.P. | Absence of rain or other precipitation |

(*) Out of field survey

**INFORMATION MEANS PREVENTION - SCAN QRCODE TO KNOW DAILY AVALANCHE DANGER LEVEL!**

IL CAPO DEL CENTRO NAZIONALE METEOMONT
(Ten. Col. RFI Emanuela Gini)
FIRMA AUTOGRAFA OMESSA AI SENSI
DELL'ART.3 DEL D.LGS N.39/1993

According to EAWS standards Meteomont bulletin is a synoptic-scale system (regional scale). It shall be the user's responsibility to correlate the danger level evaluation of the bulletin with a detailed and expertise analysis of the zonal hazards (single slope), that could be markedly different. Meteorological forecast are issued at UTC (for Italy: in winter time UTC+1: in summer time UTC+2).

Bulletin is subjected to check processes through: the record of Observers and Avalanches and snow Experts data in C-Sifa; the validation by forecasters; the certification by Meteomont Section.