MINISTERO DELLA DIFESA

meteomont Servizio Nazionale di previsione neve e valanghe

EAWS EUROPEAN AVALANCHE WARNING SERVICES

CARABINIERI

# APPENNINO EMILIANO CENTRALE

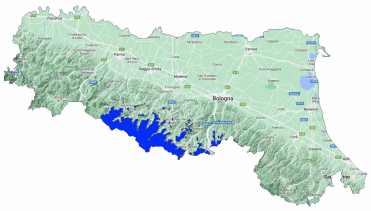

Avalanche Bulletin N. 342/2026 issued at 14:00 on 10/03/2026
48 hours validity. Next issue on 11/03/2026

**By the METEOMONT Service of the ARMA dei CARABINIERI ITALY**
**In collaboration with Air Force Meteorological Service**

## Situation on 10/03/2026

**DANGER PATTERNS: rain on snow.**

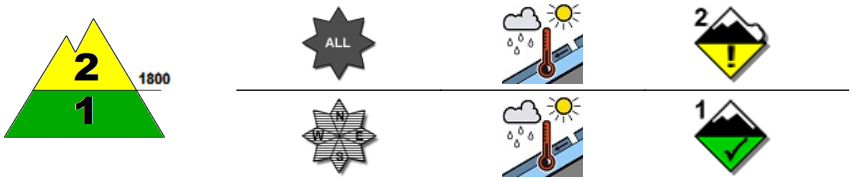


**DANGER PATTERNS: springtime situation.**

| Snow line (m.a.s.l.) | North | South |
|---|---|---|
| | 1500 - 1600 | 1700 - 1900 |

| Snow depth (cm) | ground snow | new snow | Elevation (m.a.s.l.) |
|---|---|---|---|
| | 107 | 000 | 1840 |
| | 046 | 000 | 1550 |

**REGISTERED AVALANCHES: Some medium avalanches, Full-depth slab avalanches.**

## FORECAST 11/03/2026

## Danger level: MODERATE 2

## DANGER PATTERNS: springtime situation.

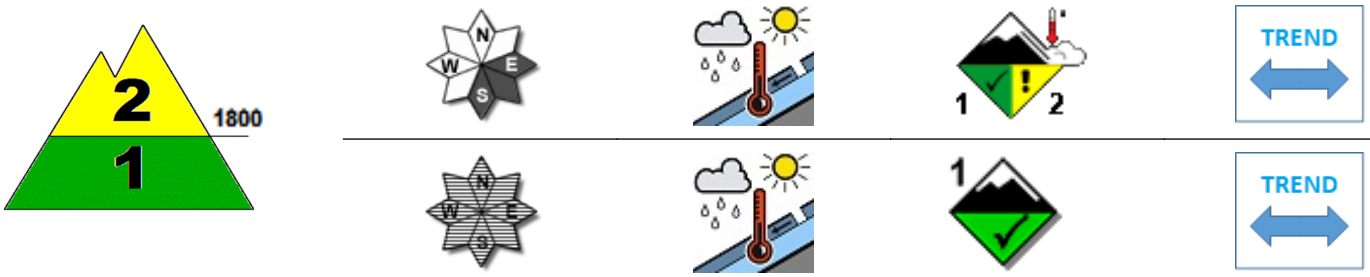


## DANGER PATTERNS: rain on snow.

**SNOWPACK: Snowpack stability is poor on some points (areas) above 1800 m.a.s.l. All Southeast-facing slopes are critical. medium avalanches are possible.**
**Snowpack stability is moderate on few points (areas) below 1800 m.a.s.l. All Isolated slopes are critical. Small avalanches are possible.**

## WARNING

Predicted temperature rise could trigger the release of cornices with resulting overloading of the slopes below.

## EUROPEAN AVALANCHE WARNING SERVICE

5 - VERY HIGH | 4 - HIGH | 3 - CONSIDERABLE | 2 - MODERATE | 1 - LOW | NO SNOW | NO INFO

## AVALANCHE PROBLEMS

NEW SNOW | WIND - DRIFTED SNOW | PERSISTENT WEAK LAYERS | WET SNOW | GLIDING SNOW | SNOW CORNICES | NO EVIDENT AVALANCHE PROBLEM. | NO INFO

According to EAWS standards Meteomont bulletin is a synoptic-scale system (regional scale). It shall be the user's responsibility to correlate the danger level evaluation of the bulletin with a detailed and expertise analysis of the zonal hazards (single slope), that could be markedly different. Meteorological forecast are issued at UTC (for Italy: in winter time UTC+1: in summer time UTC+2).

Bulletin is subjected to check processes through: the record of Observers and Avalanches and snow Experts data in C-Sifa; the validation by forecasters; the certification by Meteomont Section.

MINISTERO DELLA DIFESA

meteomont
Servizio Nazionale di previsione neve e valanghe

EAWS EUROPEAN AVALANCHE WARNING SERVICES

CARABINIERI

# APPENNINO EMILIANO CENTRALE

## WEATHER FORECAST FOR

| Elevation | | 11/03/2026 h6:00 | 11/03/2026 h12:00 | 11/03/2026 h18:00 |
|---|---|---|---|---|
| 1000 | Wind | 02 Knots from South | 03 Knots from S-West | 02 Knots from S-West |
| | Temperatures | +05 °C | +05 °C | +05 °C |
| | Wind chill | 5 °C | 4 °C | 5 °C |
| 2000 | Wind | 08 Knots from S-West | 09 Knots from S-West | 10 Knots from West |
| | Temperatures | +01 °C | +00 °C | +00 °C |
| | Wind chill | -3 °C | -5 °C | -5 °C |
| 3000 | Wind | 07 Knots from S-West | 11 Knots from S-West | 09 Knots from West |
| | Temperatures | -06 °C | -06 °C | -05 °C |
| | Wind chill | -11 °C | -13 °C | -11 °C |
| Freezing level | | 2100-2300 m. | 2000-2200 m. | 1900-2100 m. |
| Atmospheric phenomenon | | — | | — |
| Keys to sky condition | | | | |

## KEYS TO ATMOSPHERIC PHENOMENON

— Absence of adverse weather phenomena
Fog
Mist
Light rain
Moderate rain
Heavy rain
Thunderstorm
Weak snowfall
Moderate snowfall
Heavy snowfall

## KEYS TO SKY CONDITION

Clear
Partly cloudy
Cloudy
Mostly cloudy
Overcast

## Weather and snow data recorded during field and out of field obsevations on 10/03/2026.

| Observation field | District | Elevation (m.a.s.l.) | Snow depth (cm) | Snowfall in previous 24 hours (cm) | Temp. Min (°C) | Temp. Max (°C) | General weather conditions |
|---|---|---|---|---|---|---|---|
| PASSO PRADARENA | Ventasso (RE) | 1585 | 20 | 0 | +1 | +5 | Absence of rain or other precipitation |
| RIFUGIO CAVONE | Lizzano in Belvedere (BO) | 1416 | 34 | 0 | 0 | +5 | Absence of rain or other precipitation |
| LAGO DELLA NINFA | Sestola (MO) | 1550 | 46 | 0 | 0 | +7 | Absence of rain or other precipitation |
| PIANCAVALLARO | Riolunato (MO) | 1840 | 107 | 1 | N.P. | N.P. | Absence of rain or other precipitation |
| MONTE CIMONE * | Riolunato (MO) | 1855 | 287 | 1 | N.P. | N.P. | Absence of rain or other precipitation |

(*) Out of field survey

**INFORMATION MEANS PREVENTION - SCAN QRCODE TO KNOW DAILY AVALANCHE DANGER LEVEL!**

IL CAPO DEL CENTRO NAZIONALE METEOMONT
(Ten. Col. RFI Emanuela Gini)
FIRMA AUTOGRAFA OMESSA AI SENSI
DELL'ART.3 DEL D.LGS N.39/1993

According to EAWS standards Meteomont bulletin is a synoptic-scale system (regional scale). It shall be the user's responsibility to correlate the danger level evaluation of the bulletin with a detailed and expertise analysis of the zonal hazards (single slope), that could be markedly different. Meteorological forecast are issued at UTC (for Italy: in winter time UTC+1: in summer time UTC+2).

Bulletin is subjected to check processes through: the record of Observers and Avalanches and snow Experts data in C-Sifa; the validation by forecasters; the certification by Meteomont Section.