Friday 13.03.2026

Published 12 03 2026, 17:00

AM

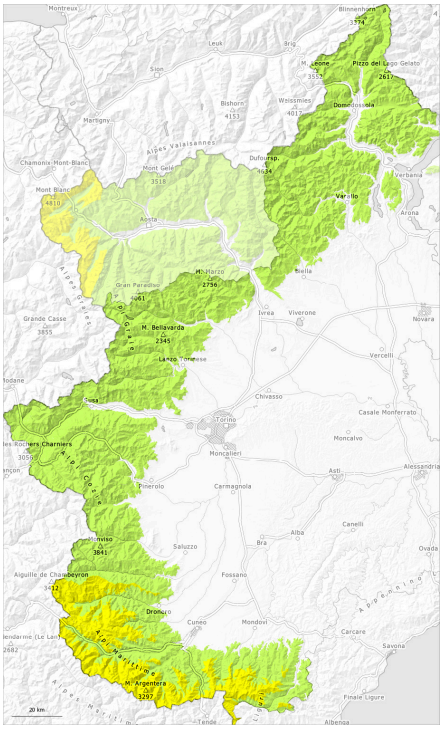

PM

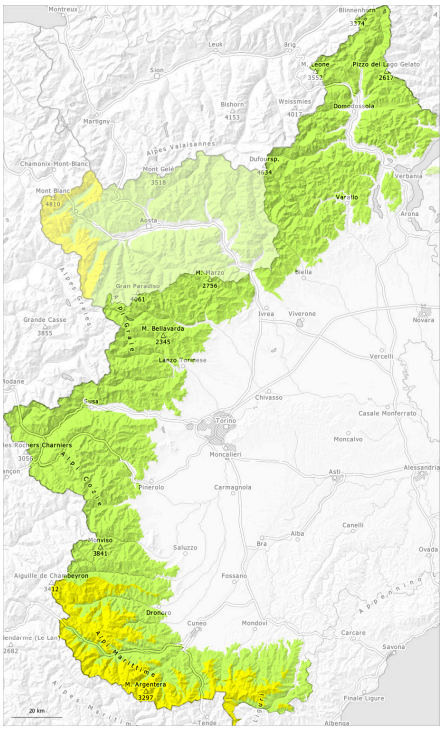

1	2	3	4	5
low	moderate	considerable	high	very high

Danger Level 2 - Moderate

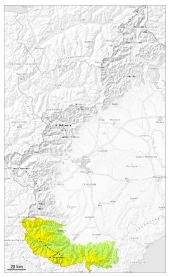

2300m

Tendency: Increasing avalanche danger
on Saturday 14 03 2026

Wind slab

2300m

Wet snow

2400m

Wind slabs and wet snow represent the main danger.

Up to 20 cm of snow, and even more in some localities, fell in the last few days above approximately 1800 m. Little snow fell yesterday.
As a consequence of new snow and a sometimes moderate wind from westerly directions, sometimes avalanche prone wind slabs formed by the early morning in particular adjacent to ridgelines and in gullies and bowls as well as at high altitude. In particular in the regions exposed to heavier precipitation and on very steep slopes small and medium-sized avalanches are possible. They can in isolated cases be released, even by a single winter sport participant.
As a consequence of solar radiation small and medium-sized moist and wet avalanches are possible below approximately 2600 m. This applies in particular in case of releases originating from steep sunny starting zones at intermediate altitudes that have retained the snow thus far. Even a small snow slide can sweep people along and give rise to falls.

Snowpack

Danger patterns dp.6: cold, loose snow and wind

Over a wide area 15 to 20 cm of snow, and up to 30 cm in some localities, fell on Tuesday above approximately 1600 m.
Regions of the south that are exposed to the foehn wind: 2 to 5 cm of snow, and up to 10 cm in some localities, fell on Thursday above approximately 1800 m. The new snow is poorly bonded with the old snowpack in some places below approximately 2200 m.
Intermediate and high altitudes: The new snow is lying on a crust in particular on east to south to west facing aspects. The moderate wind has transported the new snow.

Over a wide area there is still a very large amount of snow.

Tendency

Increase in avalanche danger as a consequence of the snowfall.

Danger Level 1 - Low

AM:

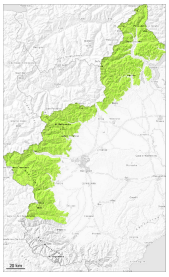

1

Tendency: Increasing avalanche danger
on Saturday 14 03 2026

PM:

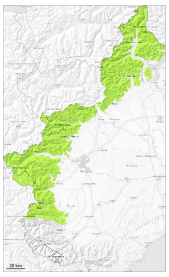

1

Tendency: Increasing avalanche danger
on Saturday 14 03 2026

Wet snow

N S

2400m

The backcountry touring conditions are mostly favourable.

In some localities up to 10 cm of snow, but less in some localities, fell in the last few days above approximately 2000 m. The new snow is lying on top of a quite favourable old snowpack.
As a consequence of solar radiation individual small moist and wet avalanches are possible. This applies in particular on extremely steep sunny slopes, as well as in steep rocky terrain.

In particular in the regions of the north that are exposed to the foehn wind the avalanche prone locations are a little more prevalent and the danger is greater. Even a small snow slide can sweep people along and give rise to falls.

Weak layers in the old snowpack can be released in isolated cases and mostly by large additional loads especially at elevated altitudes. This applies in particular on extremely steep shady slopes above approximately 2700 m.

Snowpack

Danger patterns dp.10: springtime scenario

5 to 15 cm of snow fell on Tuesday above approximately 1600 m. Regions of the north that are exposed to the foehn wind 2 to 5 cm of snow fell on Thursday above approximately 1800 m.
The old snowpack is well consolidated and its surface consists of loosely bonded snow lying on a melt-freeze crust that is strong in many cases.
Sunshine and high temperatures will give rise from the middle of the day to gradual moistening of the snowpack in particular on steep sunny slopes at intermediate altitudes.
Intermediate and high altitudes: Individual weak layers exist in the snowpack especially on northwest, north and northeast facing slopes.
In particular in the vicinity of peaks a little snow is lying.

Tendency

Increase in avalanche danger as a consequence of the snowfall.