BUTLLETÍ DEL PERILL D'ALLAUS DEL PRINCIPAT D'ANDORRA

Prepared on 12/03/2026 16:00
Next update 13/03/2026 at 16 am

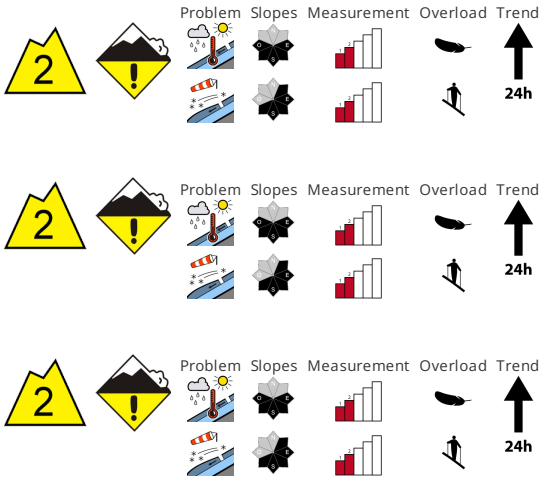

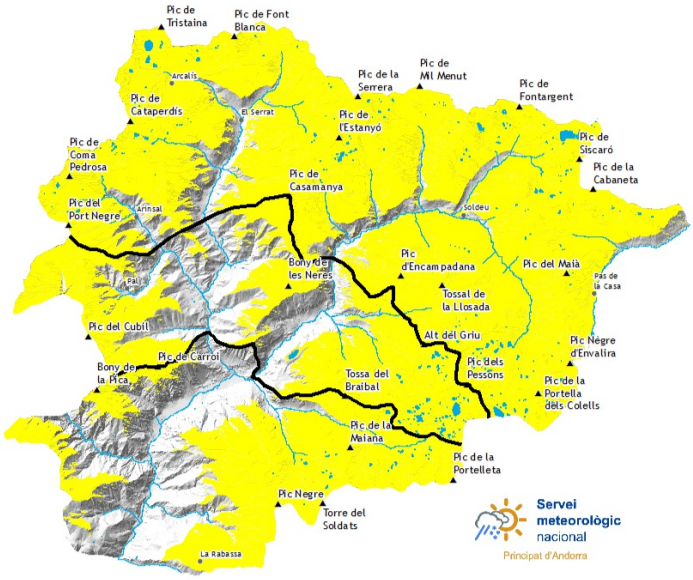

SNOW QUALITY

As a consequence of warming during the day and solar radiation small and, in isolated cases, medium-sized moist snow slides and avalanches are possible in all altitude zones. This applies in particular in very steep, sunny starting zones that still retain some snow. The mostly small wind slabs of yesterday can be released by a single winter sport participant in isolated cases on northeast to east to southwest facing aspects above approximately 2500 m. Apart from the danger of being buried, restraint should be exercised as well in view of the danger of avalanches sweeping people along and giving rise to falls. Gliding avalanches can also occur at any time.

STABILITY OF THE SNOW MANTLE

Outgoing longwave radiation during the night will be good. The surface of the snowpack will freeze to form a strong crust and will already soften in the late morning. shady slopes and intermediate and high altitudes :. The upper section of the snowpack is dry and has a loosely bonded surface. Areas with glide cracks are to be avoided. In particular adjacent to ridgelines and in pass areas snow depths vary greatly above approximately 2400 m, depending on the infuence of the wind. Until Friday the weather will be sunny at times. Above approximately 1200 m snow will fall on Saturday in particular in the north. On Sunday the wind will be strong.

OFF-PISTE SNOW COVER THICKNESSES

BUTLLETÍ DEL PERILL D'ALLAUS DEL PRINCIPAT D'ANDORRA

Servei meteorològic nacional
Principat d'Andorra

North zone		Snow thickness		
Snowpack		1500m	2000m	2500m
N	1600 m	0 cm	150 cm	200 cm
S	1900 m	0 cm	100 cm	150 cm

Center area		Snow thickness		
Snowpack		1500m	2000m	2500m
N	1600 m	0 cm	150 cm	200 cm
S	1900 m	0 cm	100 cm	150 cm

South zone		Snow thickness		
Snowpack		1500m	2000m	2500m
N	1600 m	0 cm	120 cm	150 cm
S	1900 m	0 cm	60 cm	100 cm

BUTLLETÍ DEL PERILL D'ALLAUS DEL PRINCIPAT D'ANDORRA

Servei meteorològic nacional
Principat d'Andorra

Detailed information for protected areas

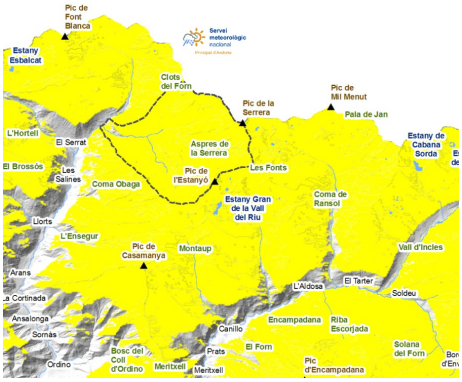

SORTENY

At higher elevations, near peaks, passes and ridges, wind patches may form overnight Wednesday through Thursday. Locally these plates can rest on top of angular grains, and act as a weak layer. During the day the temperature will rise significantly and we expect natural wet snow avalanche activity, especially on the sunny slopes.

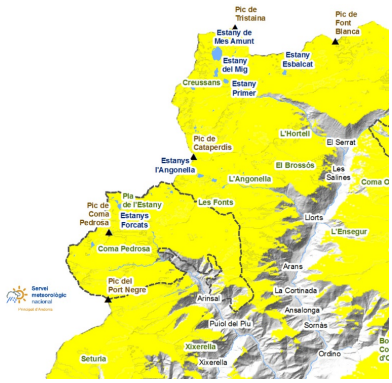

COMAPEDROSA

As in Sorteny, the wind has created new accumulations on the slopes with an eastern component, while the increase in temperatures throughout the day will make it easier for avalanches of wet snow to fall which in some cases can reach the paths in the lower parts of the Park.

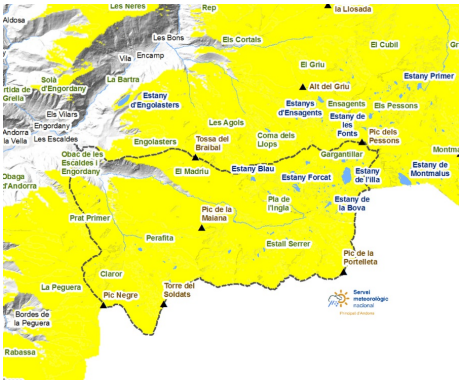

MADRIU-PERAFITA-CLAROR

The eastern slopes have been loaded again with wind plates. At altitude and on the opaque slopes we will still find powder snow during the morning, but it will tend to change throughout the day.

Govern d'Andorra

EAWS
EUROPEAN AVALANCHE WARNING SERVICES

Aquest butlletí ha estat elaborat seguint les normes i recomanacions de l'**European Avalanche Warning Services**, del qual el **Servei meteorològic Nacional** n'és membre

BUTLLETÍ DEL PERILL D'ALLAUS DEL PRINCIPAT D'ANDORRA

Servei meteorològic nacional
Principat d'Andorra

Thick snow in recent days (last 24 hours measured at 06:00 UTC)

	08/03/2026	09/03/2026	10/03/2026	11/03/2026
FEDA (Central)	0 cm	0 cm	0 cm	0 cm
Engolasters - FEDA	0 cm	0 cm	0 cm	0 cm
Bony de les Neres	0 cm	0 cm	0 cm	0 cm
Sorteny	6 cm	4 cm	0 cm	7 cm
Les Fonts d'Arinsal	4 cm	0 cm	0 cm	5 cm
Perafita	3 cm	0 cm	0 cm	0 cm
Tossa Espiolets	2 cm	0 cm	0 cm	4 cm
Grau Roig - FEDA	4 cm	1 cm	0 cm	1 cm
Fontverd	1 cm	0 cm	0 cm	0 cm
Ransol - FEDA	0 cm	0 cm	0 cm	0 cm
Caborreu	2 cm	0 cm	1 cm	2 cm
La Solana	5 cm	0 cm	0 cm	3 cm
Coll Pa	0 cm	0 cm	0 cm	0 cm
Envalira Antenes	9 cm	3 cm	2 cm	0 cm
Vall del Riu FEDA	3 cm	0 cm	0 cm	0 cm